Peering into the twilight - a systematic review on visual-based investigation of mesophotic ecosystems - POLAR

Claudia Campanini

2026-03-31

Table of Contents

DATA PREPARATION 2
Load libraries 2
Load data 3
Subset for studies encompassing polar latitudinal region 3
Cleaning 3
MISSING / ND / NOTAPP VALUES 3
GEOGRAPHICAL DISTRIBUTION 4
Provinces 5
Ecoregions 6
Realms 7
Export geographical distribution summary tables 8
COUNT COLUMNS WITH COMBO 8
Export summary tables 9
COUNT METHODS (PURELY TAXONOMIC STUDIES EXCLUDED) 12
COUNT COLUMNS SPLIT 15
COUNT METHODS (PURELY TAXONOMIC STUDIES EXCLUDED) 20
PUBLICATIONS PER DEPTH 23
PLATFORM BY DEPTH 25
DIRECT - INDIRECT BY DECADE 40
FIELD & INDICATORS 42
Calculate # of ecological indicators per record 47
SAMPLING UNIT 48
Prepare a data frame for sampling unit 48

Calculate # of sampling unit per record 49
Simplified sampling units 50
Quadrat extracted from transect 53
DATA TYPE 54
HABIT 56
SUBSTRATE 58
BENTHIC POSITION 61
TARGET 63
Target level 63
Detected phyla in community studies 65
Target taxonomic groups not at the community level 68
New species described per phyla 71
DATA CROSSING 72
VISUALLY SURVEYED SURFACE 72
Observation 72
Temp replicates & exp 73
ROV & sample 73
Molecular techniques in taxonomic and non-taxonomic studies 73

DATA PREPARATION

Load libraries

```
library(here)

## here() starts at C:/Users/claud/Documents/COMUNE/STUDIO_LAVORO/Data_analys
is/Projects/Mesophotic_systematic_lit_rev_analysis

library(dplyr)

##
## Caricamento pacchetto: 'dplyr'

## I seguenti oggetti sono mascherati da 'package:stats':
##
##     filter, lag

## I seguenti oggetti sono mascherati da 'package:base':
##
##     intersect, setdiff, setequal, union
```

```r
library(ggplot2)
library(readxl)   # to import excel data sets
library(magrittr)
library(stringr) #many data wrangling functions
library(readxl)
```

Load data

```r
polar <- read_excel(here("Extracted_data_analysis","Input_data","extracted_raw.xlsx"))
```

Subset for studies encompassing polar latitudinal region

```r
polar <- subset(polar, str_detect(polar$latitudinalRegion, "polar"))
```

Cleaning

Clean year columns

```r
#keep the year only in the year column (in some rows exact time is specified)
polar$publicationYear <-  stringr::str_remove(polar$publicationYear,
                                  pattern = "\\-.*")
```

MISSING / ND / NOTAPP VALUES

Create a summary table

```r
library(purrr)

##
## Caricamento pacchetto: 'purrr'

## Il seguente oggetto è mascherato da 'package:magrittr':
##
##     set_names

library(tibble)

# Get all column names
cols <- names(polar[,-c(1:13)])

# Create a summary list
summary_list <- map(cols, function(col) {
  data <- polar[,-c(1:13)][[col]]

  tibble(
    Column     = col,
    unique     = paste(unique(data), collapse = ", "),
    nd         = sum(data == "nd", na.rm = TRUE),
    notapp     = sum(data == "notapp", na.rm = TRUE),
    assigned   = sum(!is.na(data) & data != "nd" & data != "notapp"),
```

```
    `NA`         = sum(is.na(data)),
    total      = sum(data == "nd", na.rm = TRUE) +
                 sum(data == "notapp", na.rm = TRUE) +
                 sum(!is.na(data) & data != "nd" & data != "notapp")
  )
})

# Combine into one dataframe
summary_df <- bind_rows(summary_list)

summary_df
```

```
## # A tibble: 72 × 7
##    Column                 unique                  nd notapp assigned  `NA`
 total
##    <chr>                  <chr>                <int>  <int>    <int> <int>
 <int>
##  1 meso_direct_indirect   indirect, mixed          0      0       29     0
    29
##  2 meso_samplingPlatform  dredge+rov, rov, dr…     0      0       29     0
    29
##  3 taxonomic_publication  NA                       0      0        0    29
     0
##  4 meso_substrate         soft, hard, nd, mix…     2      0       23     4
    25
##  5 meso_habitat           mud+sandy, sub_ice,…     1      0       26     2
    27
##  6 meso_protection        nd, yes, no             25      0        4     0
    29
##  7 taxonomicTargetLevel   comm+group, group, …     0      0       29     0
    29
##  8 habit                  mixed, vagile, sess…     0      0       29     0
    29
##  9 environmentalPosition  epi, dem+endo+epi, …     0      0       29     0
    29
## 10 detected_meso_seagrass NA                       0      0        0    29
     0
## # ℹ 62 more rows
```

```
rm(summary_list, cols)
```

GEOGRAPHICAL DISTRIBUTION

```
location <- polar[,c (
  "recordTitle","DOI","publicationYear","prov_code","ecoreg_code")]
```

Load Marine Ecoregion of the World data

```
meow <- read.csv(file=here("Extracted_data_analysis","Input_data","MEOW.csv"))
```

Provinces

```
prov <- location

prov_lvls <-
  unique(
    unlist(
      str_split(location$prov_code, "\\_")
                                 )
                         )



prov[,prov_lvls] <- sapply(prov_lvls,
                                        function(y){
                                          str_count(location$prov_code, y)
                                          }
                                        )
rm(prov_lvls)
```

Create a column with the sum of provinces per publication

```
prov %<>%
   mutate(
     prov_per_record = rowSums(
     across(
       where(is.numeric)
       )
     )
   )

prov$prov_per_record <- as.factor(prov$prov_per_record)

prov_per_record_df <- prov %>%
  group_by(prov_per_record) %>%
  summarise(n_records = length(prov_per_record)) %>%
  mutate(percentage= round(n_records / sum(n_records) * 100,0))

prov_per_record_df

## # A tibble: 3 × 3
##   prov_per_record n_records percentage
##   <fct>               <int>      <dbl>
## 1 1                      20         69
## 2 2                       8         28
## 3 3                       1          3
```

Create a data frame with number of publication per province

```
prov_tot <-
  prov [, -(length(prov)-1)] %>% # filter out the sum column
  summarise(across(where(is.numeric),
```

```
                    list(sum)
                    )
            )

prov_tot <- reshape2::melt(prov_tot, id.vars = NULL)

colnames(prov_tot) <- c("Province", "Count")

prov_tot %<>%
      mutate_at("Province",
                stringr::str_replace, "_1", "")
```

Ecoregions

```
ecoreg <- location
ecoreg_lvls <-
  unique(
    unlist(
      str_split(ecoreg$ecoreg_code, "\\_")
                                )
                        )

ecoreg_lvls<- ecoreg_lvls[! ecoreg_lvls %in% c("")]

ecoreg[,ecoreg_lvls] <- sapply(ecoreg_lvls,
                                        function(y){
                                          str_count(ecoreg$ecoreg_code, y)
                                          }
                                        )
```

Create a column with the number of ecoregions per study

```
ecoreg %<>%
   mutate(
     ecoreg_per_record = rowSums(
     across(
       where(is.numeric)
       )
     )
   )

ecoreg$ecoreg_per_record <- as.factor(ecoreg$ecoreg_per_record)
```

Calculate number of records by number of ecoregions in %

```
ecoreg_per_record_df <- ecoreg %>%
  group_by(ecoreg_per_record) %>%
  summarise(n_records = length(ecoreg_per_record)) %>%
  mutate(percentage= round(n_records / sum(n_records) * 100,1))
```

```
ecoreg_per_record_df

## # A tibble: 3 × 3
##   ecoreg_per_record n_records percentage
##   <fct>                 <int>      <dbl>
## 1 1                        26       89.7
## 2 2                         2        6.9
## 3 3                         1        3.4
```

Create a data frame with number of publication per ecoregion

```
ecoreg_tot <-
  ecoreg [, -(length(ecoreg)-1)] %>% # filter out the sum column
  summarise(across(where(is.numeric),
                   list(sum)
                   )
            )

ecoreg_tot <- reshape2::melt(ecoreg_tot, id.vars = NULL)

colnames(ecoreg_tot) <- c("Ecoregion", "Count")

ecoreg_tot %<>%
      mutate_at("Ecoregion",
                stringr::str_replace, "_1", "")
```

Add count column to Meow and set 0 to all the ecoregions where no study was conducted

```
colnames(ecoreg_tot)[colnames(ecoreg_tot) == 'Ecoregion'] <- 'ECO_CODE'
ecoreg_tot$ECO_CODE <- as.character(ecoreg_tot$ECO_CODE)
meow$ECO_CODE <- as.character(meow$ECO_CODE)



ecoreg_tot <-
  left_join(meow, ecoreg_tot, by = 'ECO_CODE') %>%
  mutate(Count = replace(Count, is.na(Count), 0))
```

Export count per ecoregion to csv for the map in QGIS

```
writexl::write_xlsx(ecoreg_tot,
           here("Extracted_data_analysis","polar","Output-Transformed_data","
eco_reg_tot.xlsx"))
```

Realms

```
realms <- ecoreg_tot %>%
    group_by(RLM_CODE, REALM) %>%
  summarise(Count=sum(Count))
```

```
## `summarise()` has regrouped the output.
## ℹ Summaries were computed grouped by RLM_CODE and REALM.
## ℹ Output is grouped by RLM_CODE.
## ℹ Use `summarise(.groups = "drop_last")` to silence this message.
## ℹ Use `summarise(.by = c(RLM_CODE, REALM))` for per-operation grouping
##   (`?dplyr::dplyr_by`) instead.
```

```
realms %<>%
  rename(Code = RLM_CODE,
         Realm = REALM)

writexl::write_xlsx(realms,
           here("Extracted_data_analysis","polar","Output-Transformed_data","
Realm_count.xlsx"))
```

Export geographical distribution summary tables

```
writexl::write_xlsx(list(realms, prov_tot, prov_per_record_df, ecoreg_tot, ec
oreg_per_record_df),
           here("Extracted_data_analysis","polar","Output-Transformed_data","
geographical_distribution_summary.xlsx"))
```

COUNT COLUMNS WITH COMBO

Create a subset of columns

```
count_columns <- polar %>%
  select(File,
         meso_substrate,
         habit,
         environmentalPosition,
         observationalORexperimental,
         taxonomicTargetLevel,
         indicators,
         collectedDataType,
         molecularAnalyses)
```

Prepare data set with columns that need count only and add percentage column

```
count_columns[,] <- lapply(count_columns[,], as.factor)

count_results <- list()

for (col_name in colnames(count_columns)) {
  counts <- count(count_columns, !!sym(col_name))

  count_results[[col_name]] <- counts

  colnames(count_results[[col_name]]) <- c(col_name, "Count")
```

```
  count_results[[col_name]] %<>%
    filter(
      if_all(.cols = everything(), ~ !grepl("notapp", .x))
    ) %>%
    tidyr::drop_na()

  count_results[[col_name]] %<>%
    mutate(Percentage= round(Count / sum(Count) * 100,2))
}

rm(col_name, counts)

count_results <- count_results[names(count_results) != "File"]
```

Export summary tables

```
library(openxlsx)

write.xlsx(count_results,
           file = here("Extracted_data_analysis",
                       "polar",
                       "Output-Transformed_data",
                     "summary_counts_question_1-3.xlsx"))
```

Create treemaps charts

```
treemap_func = function(dat,var) {
  ggplot(dat,
       aes(area=Count,
           fill=.data[[var]],
           line = "black",
           label=paste0(.data[[var]],
                        " \n ",Percentage,"%"))
       )+
  treemapify::geom_treemap(layout = "squarified")+
  treemapify::geom_treemap_text(place = "centre",
                     size = 20)+
  labs(title = var)+
    theme(plot.title = element_text(hjust = 0.5, size= 20),
          legend.position = "none")

}

treemap_counts <- list()

for (col_name in colnames(count_columns[,-1])) {

  treemap_counts[[col_name]] <- treemap_func(dat= count_results[[col_name]],
var = col_name)
```

```
}

treemap_counts[[1]]
```

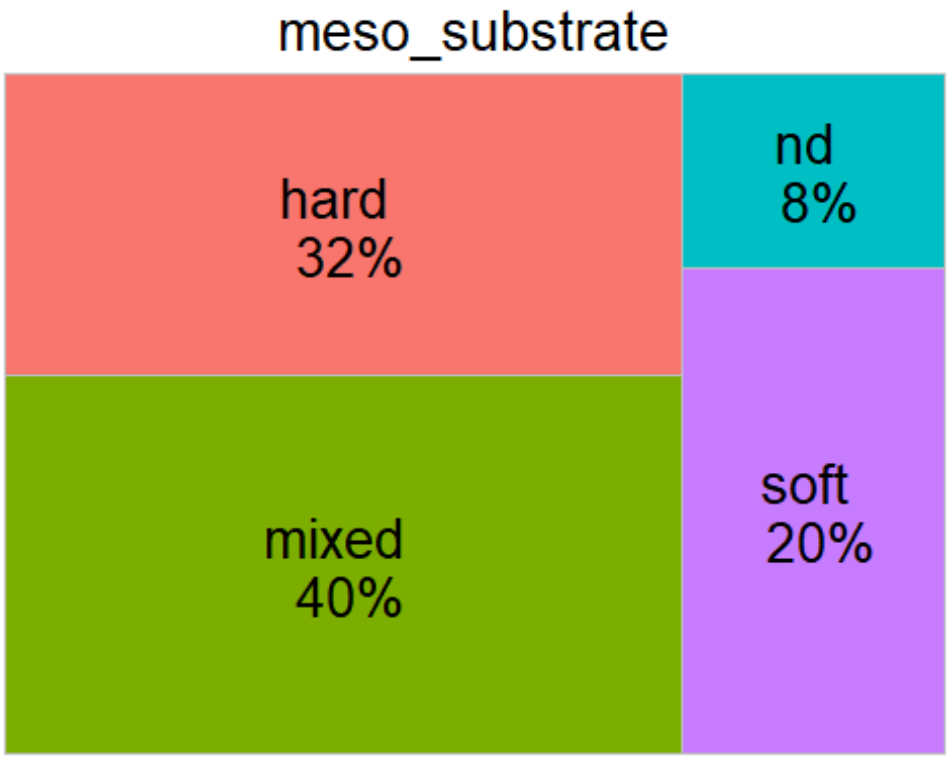

Save all tree maps plots

```
lapply(names(treemap_counts), function(x){
  ggsave(filename=paste0(x,".tiff"),
         plot=treemap_counts[[x]],
         units = "in", width=12, height=4, dpi=300, compression = 'lzw',
         path = here("Extracted_data_analysis",
                     "polar",
                     "Output-Visualization",
                   "Treemap_counts"),
         create.dir = T
         )
  })

## [[1]]
## [1] "C:/Users/claud/Documents/COMUNE/STUDIO_LAVORO/Data_analysis/Projects/
Mesophotic_systematic_lit_rev_analysis/Extracted_data_analysis/polar/Output-V
isualization/Treemap_counts/meso_substrate.tiff"
##
## [[2]]
## [1] "C:/Users/claud/Documents/COMUNE/STUDIO_LAVORO/Data_analysis/Projects/
Mesophotic_systematic_lit_rev_analysis/Extracted_data_analysis/polar/Output-V
```

```
isualization/Treemap_counts/habit.tiff"
##
## [[3]]
## [1] "C:/Users/claud/Documents/COMUNE/STUDIO_LAVORO/Data_analysis/Projects/
Mesophotic_systematic_lit_rev_analysis/Extracted_data_analysis/polar/Output-V
isualization/Treemap_counts/environmentalPosition.tiff"
##
## [[4]]
## [1] "C:/Users/claud/Documents/COMUNE/STUDIO_LAVORO/Data_analysis/Projects/
Mesophotic_systematic_lit_rev_analysis/Extracted_data_analysis/polar/Output-V
isualization/Treemap_counts/observationalORexperimental.tiff"
##
## [[5]]
## [1] "C:/Users/claud/Documents/COMUNE/STUDIO_LAVORO/Data_analysis/Projects/
Mesophotic_systematic_lit_rev_analysis/Extracted_data_analysis/polar/Output-V
isualization/Treemap_counts/taxonomicTargetLevel.tiff"
##
## [[6]]
## [1] "C:/Users/claud/Documents/COMUNE/STUDIO_LAVORO/Data_analysis/Projects/
Mesophotic_systematic_lit_rev_analysis/Extracted_data_analysis/polar/Output-V
isualization/Treemap_counts/indicators.tiff"
##
## [[7]]
## [1] "C:/Users/claud/Documents/COMUNE/STUDIO_LAVORO/Data_analysis/Projects/
Mesophotic_systematic_lit_rev_analysis/Extracted_data_analysis/polar/Output-V
isualization/Treemap_counts/collectedDataType.tiff"
##
## [[8]]
## [1] "C:/Users/claud/Documents/COMUNE/STUDIO_LAVORO/Data_analysis/Projects/
Mesophotic_systematic_lit_rev_analysis/Extracted_data_analysis/polar/Output-V
isualization/Treemap_counts/molecularAnalyses.tiff"
```

```r
lapply(names(treemap_counts), function(x){
  ggsave(filename=paste0(x,".png"),
         plot=treemap_counts[[x]],
         units = "in", width=12, height=4, dpi=300,
         path = here("Extracted_data_analysis",
                     "polar",
                     "Output-Visualization",
                   "Treemap_counts"),
         create.dir = T
         )
  })
```

```
## [[1]]
## [1] "C:/Users/claud/Documents/COMUNE/STUDIO_LAVORO/Data_analysis/Projects/
Mesophotic_systematic_lit_rev_analysis/Extracted_data_analysis/polar/Output-V
isualization/Treemap_counts/meso_substrate.png"
##
## [[2]]
```

```
## [1] "C:/Users/claud/Documents/COMUNE/STUDIO_LAVORO/Data_analysis/Projects/
Mesophotic_systematic_lit_rev_analysis/Extracted_data_analysis/polar/Output-V
isualization/Treemap_counts/habit.png"
##
## [[3]]
## [1] "C:/Users/claud/Documents/COMUNE/STUDIO_LAVORO/Data_analysis/Projects/
Mesophotic_systematic_lit_rev_analysis/Extracted_data_analysis/polar/Output-V
isualization/Treemap_counts/environmentalPosition.png"
##
## [[4]]
## [1] "C:/Users/claud/Documents/COMUNE/STUDIO_LAVORO/Data_analysis/Projects/
Mesophotic_systematic_lit_rev_analysis/Extracted_data_analysis/polar/Output-V
isualization/Treemap_counts/observationalORexperimental.png"
##
## [[5]]
## [1] "C:/Users/claud/Documents/COMUNE/STUDIO_LAVORO/Data_analysis/Projects/
Mesophotic_systematic_lit_rev_analysis/Extracted_data_analysis/polar/Output-V
isualization/Treemap_counts/taxonomicTargetLevel.png"
##
## [[6]]
## [1] "C:/Users/claud/Documents/COMUNE/STUDIO_LAVORO/Data_analysis/Projects/
Mesophotic_systematic_lit_rev_analysis/Extracted_data_analysis/polar/Output-V
isualization/Treemap_counts/indicators.png"
##
## [[7]]
## [1] "C:/Users/claud/Documents/COMUNE/STUDIO_LAVORO/Data_analysis/Projects/
Mesophotic_systematic_lit_rev_analysis/Extracted_data_analysis/polar/Output-V
isualization/Treemap_counts/collectedDataType.png"
##
## [[8]]
## [1] "C:/Users/claud/Documents/COMUNE/STUDIO_LAVORO/Data_analysis/Projects/
Mesophotic_systematic_lit_rev_analysis/Extracted_data_analysis/polar/Output-V
isualization/Treemap_counts/molecularAnalyses.png"
```

COUNT METHODS (PURELY TAXONOMIC STUDIES EXCLUDED)

Remove purely taxonomic studies and subset columns (taxa++ was assigned to studies that led to the description of new species but where also ecological e.g. describing community for a given taxonomic group)

```
methods <- polar %>%
  filter(taxonomic_publication == "taxa++" |  is.na(taxonomic_publication) )
 %>%
  select(File,
         meso_design,
         meso_replicates,
         temporalReplicates,
```

```
         abioticVariablesCollection,
         abioticVariables)

count_columns_method <- methods
```

Prepare data set with columns that need count only and add percentage column

```
count_columns_method[,] <- lapply(count_columns_method[,], as.factor)

count_results_method <- list()

for (col_name in colnames(count_columns_method)) {
  counts <- count(count_columns_method, !!sym(col_name))

  count_results_method[[col_name]] <- counts

  colnames(count_results_method[[col_name]]) <- c(col_name, "Count")

  # remove rows containing "notapp"
  count_results_method[[col_name]] %<>%
    filter(
      if_all(.cols = everything(), ~ !grepl("notapp", .x))
    ) %>%
    tidyr::drop_na()


  count_results_method[[col_name]] %<>%
    mutate(Percentage= round(Count / sum(Count) * 100,1))
}

rm(col_name, counts)

count_results_method <- count_results_method[names(count_results_method) != "
File"]
```

Export summary tables

```
library(openxlsx)

write.xlsx(count_results_method,
           file = here("Extracted_data_analysis", "polar", "Output-Transforme
d_data",
                       "summary_counts_question_4.xlsx"))
```

Create treemaps charts

```
treemap_func = function(dat,var) {
  ggplot(dat,
       aes(area=Count,
```

```
            fill=.data[[var]],
            line = "black",
            label=paste0(.data[[var]],
                         " \n ",Percentage,"%"))
        )+
  treemapify::geom_treemap(layout = "squarified")+
  treemapify::geom_treemap_text(place = "centre",
                    size = 20)+
  labs(title = var)+
    theme(plot.title = element_text(hjust = 0.5, size= 20),
          legend.position = "none")

}

treemap_counts <- list()

for (col_name in colnames(count_columns_method[,-1])) {

  treemap_counts[[col_name]] <- treemap_func(dat= count_results_method[[col_n
ame]], var = col_name)

}

treemap_counts[[1]]
```

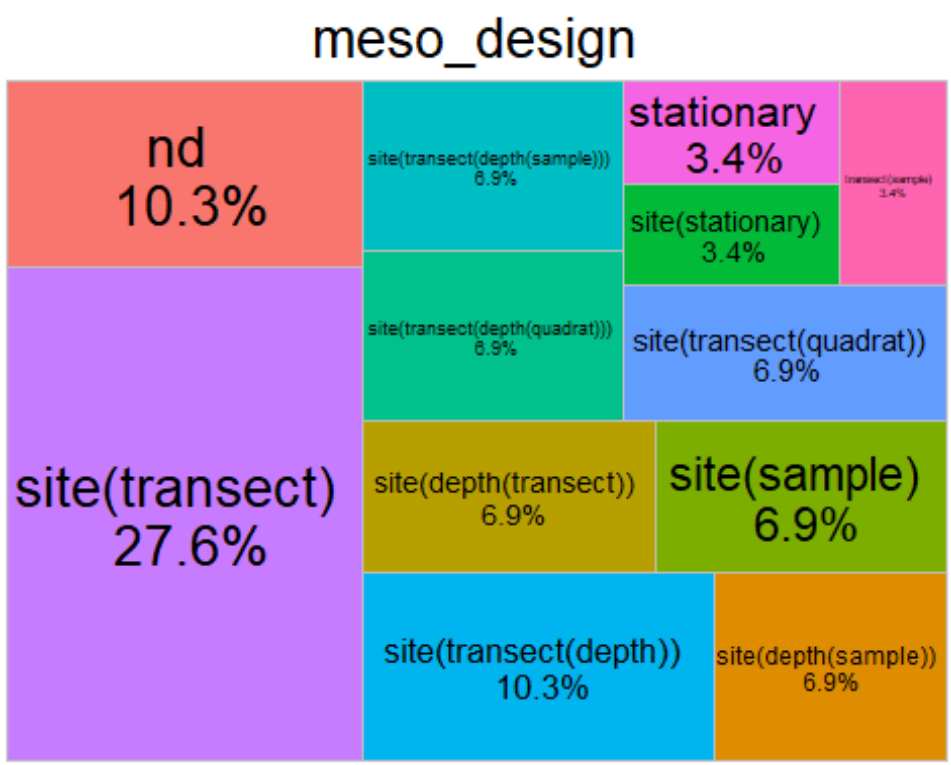

Save all tree maps plots

```
lapply(names(treemap_counts), function(x){
  ggsave(filename=paste0("treemap",x,".tiff"),
         plot=treemap_counts[[x]],
         units = "in", width=12, height=4, dpi=300, compression = 'lzw',
         path = here("Extracted_data_analysis","polar",
  "Output-Visualization","Treemaps_methods"),
         create.dir = T
         )
  })

lapply(names(treemap_counts), function(x){
  ggsave(filename=paste0("treemap",x,".png"),
         plot=treemap_counts[[x]],
         units = "in", width=12, height=4, dpi=300,
         path = here("Extracted_data_analysis", "polar", "Output-Visualizatio
n","Treemaps_methods"),
         create.dir = T
         )
  })
```

COUNT COLUMNS SPLIT

Create a list of data frame splitting values

```
split_columns <- polar %>%
  select(meso_substrate,
         habit,
         environmentalPosition,
         observationalORexperimental,
         taxonomicTargetLevel,
         indicators,
         collectedDataType,
         molecularAnalyses)



split_columns[,] <- lapply(split_columns[,], as.factor)
```

Prepare data set with columns

```
split_results <- list()

for (col_name in colnames(split_columns)) {
  # Split the values of each column by "+"
  lvls <- unique(unlist(str_split(split_columns[[col_name]], "\\+")))

  # Initialize a list to store counts for each level
  split_counts <- sapply(lvls, function(y) {
    # Count how many times each unique level appears in the column
    str_count(split_columns[[col_name]], fixed(y))
```

```
    }
    )

  split_results[[col_name]] <- split_counts
}

rm(lvls)
```

Add percentage column

```
split_tot <- list()

for(col_name in colnames(split_columns)) {
  split_results[[col_name]] <- as.data.frame(split_results[[col_name]])

  split_results[[col_name]] %<>% # delete rows with missing values
    select(where(function(x) any(!is.na(x)))) %>%
    select(-any_of("notapp")) %>%
    tidyr::drop_na()

    split_tot[[col_name]] <- as.data.frame(split_results[[col_name]]) %>%
    summarise(across(where(is.numeric), list(sum)))

  split_tot[[col_name]]  <- reshape2::melt(split_tot[[col_name]], id.vars = N
ULL)

  colnames(split_tot[[col_name]]) <- c(col_name, "Count")

  split_tot[[col_name]] %<>%
        mutate_at(col_name,
                  stringr::str_replace, "_1", "")


  split_tot[[col_name]] %<>%
      mutate(Percentage= round(Count / nrow(split_results[[col_name]] ) * 100,
2))

}

rm(col_name)
```

Export summary tables

```
library(openxlsx)

write.xlsx(split_tot,
           file = here("Extracted_data_analysis",                        "pol
ar",                        "Output-Transformed_data",
                     "summary_split_counts_question_1_3.xlsx"))
```

Create bar charts for each collected parameter

```
barchart_func = function(dat,var) {

 ggplot(dat,
       aes(x = reorder(.data[[var]], Count), y = Count, fill= .data[[var]]))
+
  geom_bar(stat = "identity", fill = "#0097A7") +
  geom_text(
    data = dat %>% filter(Percentage >= 2),
    aes(label = paste0(round(Percentage, 0), "%")),
    position = position_stack(vjust =0.5),
    color = "black",
    size = 2.5
  )+
  labs(y = "# Publications", x = var) +
  theme_minimal() +
  coord_flip()+  # optional: flips for horizontal bars
  theme(legend.position ="none")

}

barchart_counts <- list()

for (col_name in colnames(split_columns)) {

  barchart_counts[[col_name]] <- barchart_func(dat= split_tot[[col_name]], va
r = as.character(col_name))

}

barchart_counts[[1]]
```

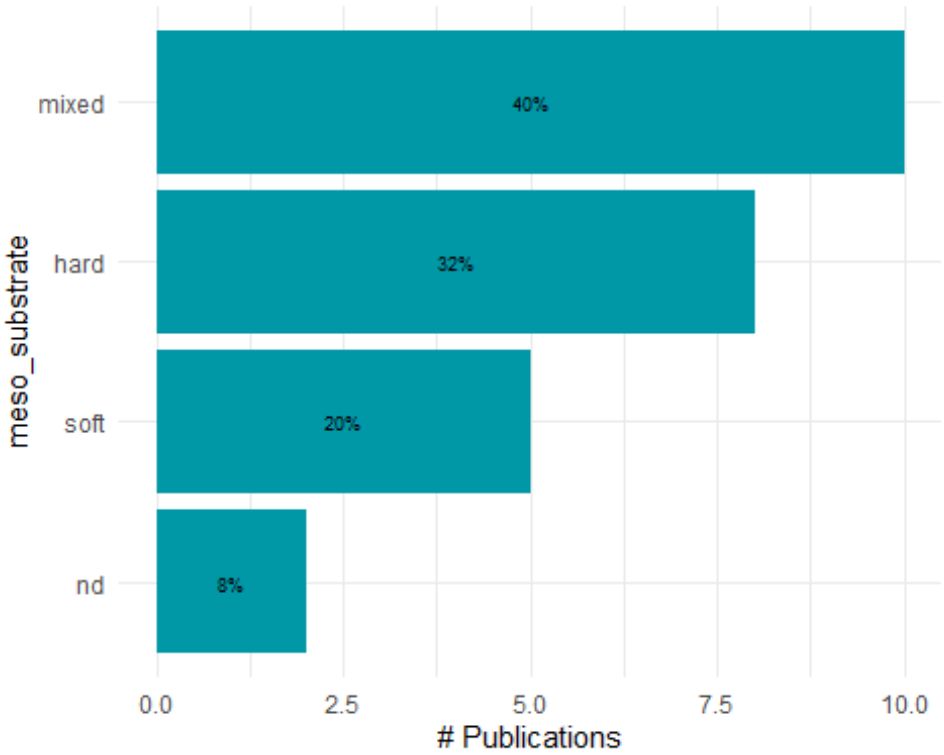


```
lapply(names(barchart_counts), function(x){
  ggsave(filename=paste0("bar_",x,".tiff"),
         plot=barchart_counts[[x]],
         units = "in", width=12, height=4, dpi=300, compression = 'lzw',
         path = here("Extracted_data_analysis",                        "polar
",                          "Output-Visualization","Barcharts_split"),
         create.dir = T
         )
  })
```

```
## [[1]]
## [1] "C:/Users/claud/Documents/COMUNE/STUDIO_LAVORO/Data_analysis/Projects/
Mesophotic_systematic_lit_rev_analysis/Extracted_data_analysis/polar/Output-V
isualization/Barcharts_split/bar_meso_substrate.tiff"
##
## [[2]]
## [1] "C:/Users/claud/Documents/COMUNE/STUDIO_LAVORO/Data_analysis/Projects/
Mesophotic_systematic_lit_rev_analysis/Extracted_data_analysis/polar/Output-V
isualization/Barcharts_split/bar_habit.tiff"
##
## [[3]]
## [1] "C:/Users/claud/Documents/COMUNE/STUDIO_LAVORO/Data_analysis/Projects/
Mesophotic_systematic_lit_rev_analysis/Extracted_data_analysis/polar/Output-V
isualization/Barcharts_split/bar_environmentalPosition.tiff"
##
## [[4]]
## [1] "C:/Users/claud/Documents/COMUNE/STUDIO_LAVORO/Data_analysis/Projects/
```

```
Mesophotic_systematic_lit_rev_analysis/Extracted_data_analysis/polar/Output-V
isualization/Barcharts_split/bar_observationalORexperimental.tiff"
##
## [[5]]
## [1] "C:/Users/claud/Documents/COMUNE/STUDIO_LAVORO/Data_analysis/Projects/
Mesophotic_systematic_lit_rev_analysis/Extracted_data_analysis/polar/Output-V
isualization/Barcharts_split/bar_taxonomicTargetLevel.tiff"
##
## [[6]]
## [1] "C:/Users/claud/Documents/COMUNE/STUDIO_LAVORO/Data_analysis/Projects/
Mesophotic_systematic_lit_rev_analysis/Extracted_data_analysis/polar/Output-V
isualization/Barcharts_split/bar_indicators.tiff"
##
## [[7]]
## [1] "C:/Users/claud/Documents/COMUNE/STUDIO_LAVORO/Data_analysis/Projects/
Mesophotic_systematic_lit_rev_analysis/Extracted_data_analysis/polar/Output-V
isualization/Barcharts_split/bar_collectedDataType.tiff"
##
## [[8]]
## [1] "C:/Users/claud/Documents/COMUNE/STUDIO_LAVORO/Data_analysis/Projects/
Mesophotic_systematic_lit_rev_analysis/Extracted_data_analysis/polar/Output-V
isualization/Barcharts_split/bar_molecularAnalyses.tiff"
```

```r
lapply(names(barchart_counts), function(x){
  ggsave(filename=paste0("bar_",x,".png"),
         plot=barchart_counts[[x]],
         units = "in", width=12, height=4, dpi=300,
         path = here("Extracted_data_analysis",                        "polar
",                        "Output-Visualization","Barcharts_split"),
         create.dir = T
         )
  })
```

```
## [[1]]
## [1] "C:/Users/claud/Documents/COMUNE/STUDIO_LAVORO/Data_analysis/Projects/
Mesophotic_systematic_lit_rev_analysis/Extracted_data_analysis/polar/Output-V
isualization/Barcharts_split/bar_meso_substrate.png"
##
## [[2]]
## [1] "C:/Users/claud/Documents/COMUNE/STUDIO_LAVORO/Data_analysis/Projects/
Mesophotic_systematic_lit_rev_analysis/Extracted_data_analysis/polar/Output-V
isualization/Barcharts_split/bar_habit.png"
##
## [[3]]
## [1] "C:/Users/claud/Documents/COMUNE/STUDIO_LAVORO/Data_analysis/Projects/
Mesophotic_systematic_lit_rev_analysis/Extracted_data_analysis/polar/Output-V
isualization/Barcharts_split/bar_environmentalPosition.png"
##
## [[4]]
## [1] "C:/Users/claud/Documents/COMUNE/STUDIO_LAVORO/Data_analysis/Projects/
```

```
Mesophotic_systematic_lit_rev_analysis/Extracted_data_analysis/polar/Output-V
isualization/Barcharts_split/bar_observationalORexperimental.png"
##
## [[5]]
## [1] "C:/Users/claud/Documents/COMUNE/STUDIO_LAVORO/Data_analysis/Projects/
Mesophotic_systematic_lit_rev_analysis/Extracted_data_analysis/polar/Output-V
isualization/Barcharts_split/bar_taxonomicTargetLevel.png"
##
## [[6]]
## [1] "C:/Users/claud/Documents/COMUNE/STUDIO_LAVORO/Data_analysis/Projects/
Mesophotic_systematic_lit_rev_analysis/Extracted_data_analysis/polar/Output-V
isualization/Barcharts_split/bar_indicators.png"
##
## [[7]]
## [1] "C:/Users/claud/Documents/COMUNE/STUDIO_LAVORO/Data_analysis/Projects/
Mesophotic_systematic_lit_rev_analysis/Extracted_data_analysis/polar/Output-V
isualization/Barcharts_split/bar_collectedDataType.png"
##
## [[8]]
## [1] "C:/Users/claud/Documents/COMUNE/STUDIO_LAVORO/Data_analysis/Projects/
Mesophotic_systematic_lit_rev_analysis/Extracted_data_analysis/polar/Output-V
isualization/Barcharts_split/bar_molecularAnalyses.png"
```

COUNT METHODS (PURELY TAXONOMIC STUDIES EXCLUDED)

Create data frame with subset

```
split_columns_methods <- methods

split_columns_methods[,] <- lapply(split_columns_methods[,], as.factor)
```

Prepare data set with columns

```
split_results_methods <- list()

for (col_name in colnames(split_columns_methods)) {
  # Split the values of each column by "+"
  lvls <- unique(unlist(str_split(split_columns_methods[[col_name]], "\\+")))

  # Initialize a list to store counts for each level
  split_counts_methods <- sapply(lvls, function(y) {
    # Count how many times each unique level appears in the column
    str_count(split_columns_methods[[col_name]], fixed(y))
    }
    )

  split_results_methods[[col_name]] <- split_counts_methods
```

```
}

rm(lvls)
```

Add percentage column

```
split_tot_methods <- list()

for(col_name in colnames(split_columns_methods)) {
  split_results_methods[[col_name]] <- as.data.frame(split_results_methods[[c
ol_name]])

  split_results_methods[[col_name]] %<>% # delete rows with missing values
    select(where(function(x) any(!is.na(x)))) %>%
    select(-any_of("notapp")) %>%
    tidyr::drop_na()

    split_tot_methods[[col_name]] <- as.data.frame(split_results_methods[[col
_name]]) %>%
    summarise(across(where(is.numeric), list(sum)))

  split_tot_methods[[col_name]]  <- reshape2::melt(split_tot_methods[[col_nam
e]], id.vars = NULL)

  colnames(split_tot_methods[[col_name]]) <- c(col_name, "Count")

  split_tot_methods[[col_name]] %<>%
        mutate_at(col_name,
                  stringr::str_replace, "_1", "")


  split_tot_methods[[col_name]] %<>%
      mutate(Percentage= round(Count / nrow(split_results_methods[[col_name]]
 ) * 100,2))

}

rm(col_name)
```

Export summary tables

```
library(openxlsx)

write.xlsx(split_results_methods,
           file = here("Extracted_data_analysis",                        "pol
ar",                        "Output-Transformed_data",
                    "summary_split_counts_question_4.xlsx"))
```

Create bar charts per each parameter collected

```
barchart_func = function(dat,var) {

 ggplot(dat,
       aes(x = reorder(.data[[var]], Count), y = Count, fill= .data[[var]]))
+
  geom_bar(stat = "identity", fill = "#0097A7") +
  geom_text(
    data = dat %>% filter(Percentage >= 2),
    aes(label = paste0(round(Percentage, 0), "%")),
    position = position_stack(vjust =0.5),
    color = "black",
    size = 2.5
  )+
  labs(y = "# Publications", x = var) +
  theme_minimal() +
  coord_flip()+  # optional: flips for horizontal bars
  theme(legend.position ="none")

}

barchart_split_methods <- list()

for (col_name in colnames(split_columns_methods)) {

  barchart_split_methods[[col_name]] <- barchart_func(dat= split_tot_methods
[[col_name]], var = as.character(col_name))

}

barchart_split_methods[[4]]
```

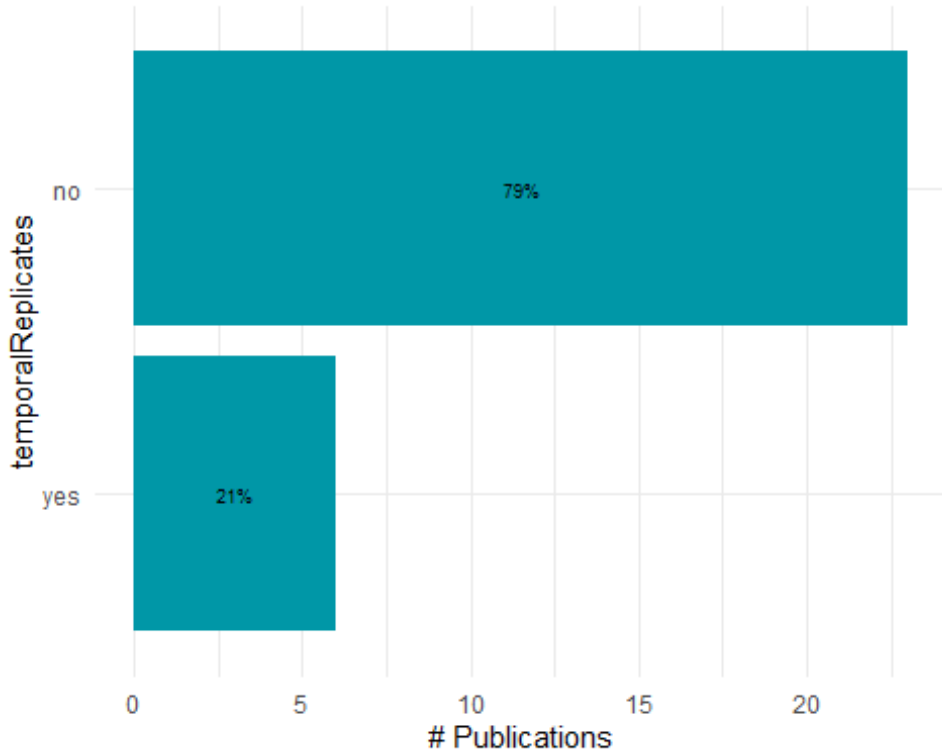

Export bar charts in a dedicated folder

```
lapply(names(barchart_counts), function(x){
  ggsave(filename=paste0("bar_",x,".tiff"),
         plot=barchart_counts[[x]],
         units = "in", width=12, height=4, dpi=300, compression = 'lzw',
         path = here("Extracted_data_analysis",                        "polar
",                        "Output-Visualization","Barcharts_split_methods"),
create.dir = T
         )
  })

lapply(names(barchart_counts), function(x){
  ggsave(filename=paste0("bar_",x,".png"),
         plot=barchart_counts[[x]],
         units = "in", width=12, height=4, dpi=300,
         path = here("Extracted_data_analysis",                        "polar
",                        "Output-Visualization","Barcharts_split"), create.d
ir = T
         )
  })
```

PUBLICATIONS PER DEPTH

```
polar$mininumSurveyedDepthInMeters <- as.numeric(polar$mininumSurveyedDepthIn
Meters)
```

```
## Warning: NA introdotti per coercizione

polar$maximumSurveyedDepthInMeters <- as.numeric(polar$maximumSurveyedDepthIn
Meters)

## Warning: NA introdotti per coercizione

# Define depth bins
bins <- seq(31, 151, by = 10)

# Create a data frame to hold bin counts
pubs_depth <- data.frame(
  bin_start = bins[-length(bins)],
  bin_end = bins[-1]-1,
  count = 0
)

# For each bin, count how many studies cover that depth range
for (i in 1:nrow(pubs_depth)) {
  bin_start <- pubs_depth$bin_start[i]
  bin_end <- pubs_depth$bin_end[i]

  pubs_depth$count[i] <- sum(polar$maximumSurveyedDepthInMeters >= bin_start
& polar$mininumSurveyedDepthInMeters < bin_end, na.rm = TRUE)
}

pubs_depth$depth_bin <- paste(pubs_depth$bin_start, "-", pubs_depth$bin_end)

pubs_depth$depth_bin <- reorder(pubs_depth$depth_bin, -pubs_depth$bin_start)


ggplot(pubs_depth, aes(x = factor(depth_bin), y = count)) +
  geom_bar(stat = "identity", fill = "#2a788e") +
  labs(x = "Depth interval (m)", y = "Number of publications") +
  theme_minimal()+
  coord_flip()+
  scale_y_continuous(position="right")
```

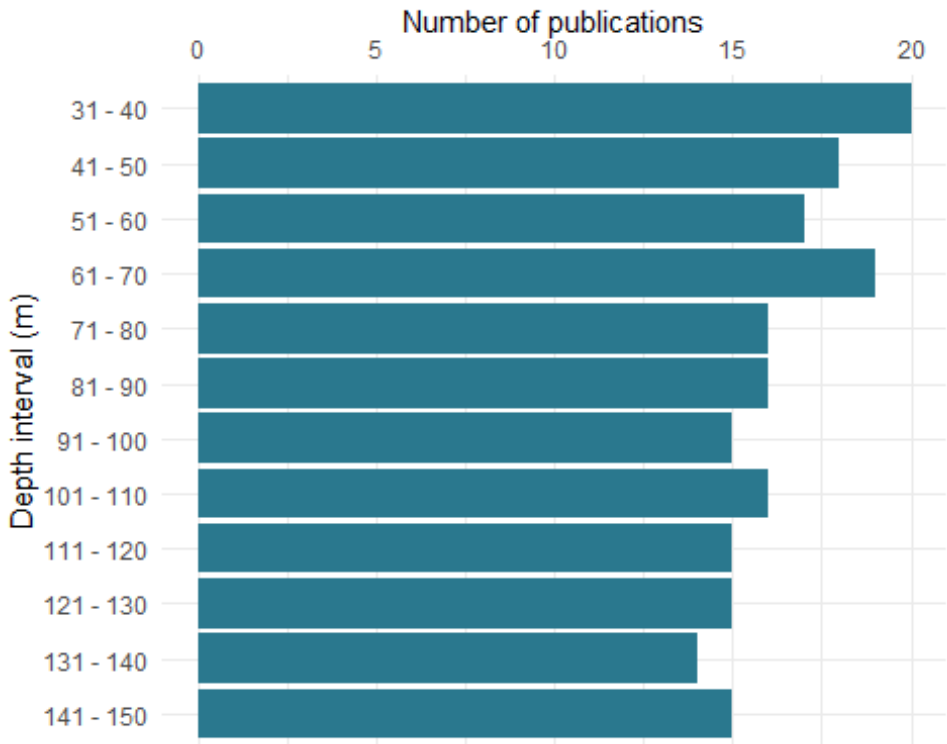

Export pubs per depth bar plot

PLATFORM BY DEPTH

Create a platform by depth data frame and keep meso_samplingPlatform

```
platform_depth <- polar %>%
  select(File,
         mininumSurveyedDepthInMeters,
         maximumSurveyedDepthInMeters,
         meso_direct_indirect,
         meso_samplingPlatform,
         max_depth_hov, min_depth_hov,
         max_depth_rov, min_depth_rov,
         max_depth_ccr, min_depth_ccr,
         max_depth_open, min_depth_open,
         max_depth_scuba, min_depth_scuba
         )
```

Split the platform column in one binary column per platform

```
platform_lvls <-
  unique(
    unlist(
      str_split(platform_depth$meso_samplingPlatform, "\\+")
                                  )
```

```
                          )

platform_lvls<- platform_lvls[! platform_lvls %in% c("",NA,"notapp",",","nd")]

platform_depth[,platform_lvls] <- sapply(platform_lvls,
                                         function(y){
                                           str_count(platform_depth$meso_samplin
gPlatform, y)
                                           }
                                         )

rm(platform_lvls)

platform_depth[,-c(1:15)] <- lapply(platform_depth[,-c(1:15)], as.numeric)

platform_depth[,c(1:15)] <- lapply(platform_depth[,c(1:15)], as.character)


platform_depth %<>%
  rename(open_direct = open)  %>%
  select(-meso_samplingPlatform)
```

Create a summary table with # studies per platform

```
platform_summary <- platform_depth %>%
  summarise(across(where(is.numeric), ~ sum(.x, na.rm = TRUE)))

platform_summary <- as.data.frame(t(platform_summary))

platform_summary %<>%
  mutate(Platform = rownames(platform_summary)) %>%
  rename(Count = V1) %>%
  relocate(Count,.after = where(is.character))

platform_summary

##                Platform Count
## dredge           dredge     4
## rov                 rov    16
## drop               drop     8
## fishery         fishery     2
## grab               grab     3
## trawl             trawl     1
## open_direct open_direct     1
## station         station     1
## acou               acou     5
## tcs                 tcs     2
## bruv               bruv     1
## hov                 hov     6
```

Create a column with the number of platforms per study

```
platform_per_record <- platform_depth %>%
  filter(meso_direct_indirect != "nd") %>%
   mutate(
     platform_per_record = rowSums(
     across(
       where(is.numeric)
       )
     )
   )

platform_per_record$platform_per_record <- as.factor(platform_per_record$plat
form_per_record)
```

Calculate number of records by number of platforms in %

```
platform_per_record <- platform_per_record %>%
  group_by(platform_per_record) %>%
  summarise(n_records = length(platform_per_record)) %>%
  mutate(percentage= round(n_records / sum(n_records) * 100,1))

platform_per_record
```

```
## # A tibble: 4 × 3
##   platform_per_record n_records percentage
##   <fct>                     <int>      <dbl>
## 1 1                            16       55.2
## 2 2                             6       20.7
## 3 3                             6       20.7
## 4 4                             1        3.4
```

Keep most common visual platforms only

```
platform_depth_mod <- cbind(platform_depth[,c(1:14)],
                            platform_depth$open_direct,
                            platform_depth$hov,
                            platform_depth$rov)

names(platform_depth_mod) <- gsub("platform_depth\\$", "", names(platform_dep
th_mod))
```

Set max depth of studies with max depth > 150 to 150 so they fit into the plot

```
platform_depth_long <- within(platform_depth_mod, rm(mininumSurveyedDepthInMe
ters, maximumSurveyedDepthInMeters, max_depth_direct, meso_direct_indirect, h
ov, rov, open_direct, ccr_direct, scuba_direct))

platform_depth_long[,-1] <- lapply(platform_depth_long[,-1], as.numeric)

str(platform_depth_long)
```

```
## 'data.frame':    29 obs. of  11 variables:
##  $ File           : chr  "AmbroseEtAl_2001_Role_echinoderms_benthic.md" "A
mbroseJr.EtAl_2005_subice_algal_community.md" "AnsellEtAl_1998_Swimming_Antar
ctic_scallop.md" "CastellanEtAl_2021_Visual_imaging_benthic.md" ...
##  $ max_depth_hov  : num  NA NA NA NA NA NA NA NA NA NA ...
##  $ min_depth_hov  : num  NA NA NA NA NA NA NA NA NA NA ...
##  $ max_depth_rov  : num  212 1061 80 260 NA ...
##  $ min_depth_rov  : num  28 0 30 30 NA 15 NA 65 143 16 ...
##  $ max_depth_ccr  : num  NA NA NA NA NA NA NA NA NA NA ...
##  $ min_depth_ccr  : num  NA NA NA NA NA NA NA NA NA NA ...
##  $ max_depth_open : num  NA NA NA NA NA NA NA NA NA NA ...
##  $ min_depth_open : num  NA NA NA NA NA NA NA NA NA NA ...
##  $ max_depth_scuba: num  NA NA NA NA NA NA NA NA NA NA ...
##  $ min_depth_scuba: num  NA NA NA NA NA NA NA NA NA NA ...
```

```
platform_depth_long  %<>%
  mutate(max_depth_scuba = case_when(max_depth_scuba >= 150 ~ 150,
                                     TRUE ~ max_depth_scuba)
         ) %>%
  mutate(max_depth_hov = case_when(max_depth_hov >= 150 ~ 150,
                                     TRUE ~ max_depth_hov)
         ) %>%
  mutate(max_depth_rov = case_when(max_depth_rov >= 150 ~ 150,
                                     TRUE ~ max_depth_rov)
         ) %>%
  mutate(max_depth_ccr = case_when(max_depth_ccr >= 150 ~ 150,
                                     TRUE ~ max_depth_ccr)) %>%
  mutate(max_depth_open = case_when(max_depth_open >= 150 ~ 150,
                                     TRUE ~ max_depth_open))
```

Set min depth of studies with min depth <30 to 30 so they fit into the plot

```
platform_depth_long %<>%
  mutate(min_depth_scuba = case_when(min_depth_scuba <= 30 ~ 30,
                                     TRUE ~ min_depth_scuba)
         ) %>%
  mutate(min_depth_hov = case_when(min_depth_hov <= 30 ~ 30,
                                     TRUE ~ min_depth_hov)
         ) %>%
  mutate(min_depth_rov = case_when(min_depth_rov <= 30 ~ 30,
                                     TRUE ~ min_depth_rov)
         ) %>%
  mutate(min_depth_ccr = case_when(min_depth_ccr <= 30 ~ 30,
                                     TRUE ~ min_depth_ccr)) %>%
  mutate(min_depth_open = case_when(min_depth_open <= 30 ~ 30,
                                     TRUE ~ min_depth_open))
```

Convert platform_depth_long to long format

```
platform_min_depth_long <- platform_depth_long %>%
  select(-c(max_depth_hov, max_depth_rov, max_depth_open, max_depth_scuba, ma
```

```
x_depth_ccr))


platform_min_depth_long[,c(1,2)] <- lapply(platform_min_depth_long[,c(1,2)],
as.factor)

platform_min_depth_long %<>%
  reshape2::melt(platform_min_depth_long,
                 id.vars = c("File"),
                 measure.vars = grep("^min_depth_|^max_depth_",
                                     names(platform_min_depth_long),
                                     value = TRUE),
                 variable.name = "Platform",
                 value.name = "min_depth"
                 )

## Warning: attributes are not identical across measure variables; they will
be
## dropped

platform_max_depth_long <- platform_depth_long %>%
    select(-c(min_depth_hov, min_depth_rov, min_depth_open, min_depth_scuba,
min_depth_ccr))

platform_max_depth_long %<>%
    reshape2::melt(platform_max_depth_long,
                 id.vars = c("File"),
                 measure.vars = grep("^min_depth_|^max_depth_",
                                     names(platform_max_depth_long),
                                     value = TRUE),
                 variable.name = "Platform",
                 value.name = "max_depth"
                 )

platform_depth_lat_long <- cbind(platform_min_depth_long, platform_max_depth_
long$max_depth)

rm(platform_min_depth_long, platform_max_depth_long)

platform_depth_lat_long

##                                                        File        Platfo
rm
## 1               AmbroseEtAl_2001_Role_echinoderms_benthic.md   min_depth_h
ov
## 2              AmbroseJr.EtAl_2005_subice_algal_community.md   min_depth_h
ov
## 3              AnsellEtAl_1998_Swimming_Antarctic_scallop.md   min_depth_h
ov
## 4               CastellanEtAl_2021_Visual_imaging_benthic.md   min_depth_h
```

```
ov
## 5                    CooperEtAl_2019_video_seafloor_survey.md   min_depth_h
ov
## 6             CrookDavoren_2016_Influence_spawning_capelin.md   min_depth_h
ov
## 7                        DejaEtAl_2023_New_strategies_new.md   min_depth_h
ov
## 8                      DinnEtAl_2019_Sponge_Porifera_fauna.md   min_depth_h
ov
## 9               GuttEtAl_2013_Shifts_Antarctic_megabenthic.md   min_depth_h
ov
## 10              HamadaEtAl_1986_Observation_marine_benthic.md   min_depth_h
ov
## 11         KimCazenave_2022_Benthic_community_descriptions.md   min_depth_h
ov
## 12              KimEtAl_2021_Patterns_drivers_implications.md   min_depth_h
ov
## 13          KrawczykEtAl_2021_First_highresolution_benthic.md   min_depth_h
ov
## 14        MedelyteEtAl_2022_Application_underwater_imagery.md   min_depth_h
ov
## 15          PierrejeanEtAl_2020_Influence_deepwater_corals.md   min_depth_h
ov
## 16  RangeleyEtAl_2022_Megabenthic_biodiversity_culturally.md   min_depth_h
ov
## 17                   RobinsonEtAl_2022_New_confirmed_depth.md   min_depth_h
ov
## 18                     SchimaniEtAl_2022_Video_survey_deep.md   min_depth_h
ov
## 19                    SiglerEtAl_2023_Alaska_deepsea_coral.md   min_depth_h
ov
## 20          TeichertEtAl_2012_Rhodolith_beds_Corallinalesa.md   min_depth_h
ov
## 21                 TeichertEtAl_2014_Arctic_rhodolith_beds.md   min_depth_h
ov
## 22  TeichertEtAl_2021_Microplastic_contamination_drilling.md   min_depth_h
ov
## 23             TeichertFreiwald_2014_Polar_coralline_algal.md   min_depth_h
ov
## 24     TeixidoEtAl_2006_Observations_asexual_reproductive.md   min_depth_h
ov
## 25         WatsonEtAl_2018_Patterns_distribution_abundance.md   min_depth_h
ov
## 26                     WisshakEtAl_2022_Ten_Years_longterm.md   min_depth_h
ov
## 27                 WisshakNeumann_2020_Dead_urchin_walking.md   min_depth_h
ov
## 28              YessonEtAl_2017_impact_trawling_epibenthic.md   min_depth_h
ov
## 29                  ZhouShirley_1998_submersible_study_red.md   min_depth_h
```

```
ov
## 30              AmbroseEtAl_2001_Role_echinoderms_benthic.md   min_depth_r
ov
## 31             AmbroseJr.EtAl_2005_subice_algal_community.md   min_depth_r
ov
## 32             AnsellEtAl_1998_Swimming_Antarctic_scallop.md   min_depth_r
ov
## 33              CastellanEtAl_2021_Visual_imaging_benthic.md   min_depth_r
ov
## 34                  CooperEtAl_2019_video_seafloor_survey.md   min_depth_r
ov
## 35           CrookDavoren_2016_Influence_spawning_capelin.md   min_depth_r
ov
## 36                      DejaEtAl_2023_New_strategies_new.md   min_depth_r
ov
## 37                    DinnEtAl_2019_Sponge_Porifera_fauna.md   min_depth_r
ov
## 38             GuttEtAl_2013_Shifts_Antarctic_megabenthic.md   min_depth_r
ov
## 39             HamadaEtAl_1986_Observation_marine_benthic.md   min_depth_r
ov
## 40        KimCazenave_2022_Benthic_community_descriptions.md   min_depth_r
ov
## 41             KimEtAl_2021_Patterns_drivers_implications.md   min_depth_r
ov
## 42         KrawczykEtAl_2021_First_highresolution_benthic.md   min_depth_r
ov
## 43       MedelyteEtAl_2022_Application_underwater_imagery.md   min_depth_r
ov
## 44         PierrejeanEtAl_2020_Influence_deepwater_corals.md   min_depth_r
ov
## 45  RangeleyEtAl_2022_Megabenthic_biodiversity_culturally.md   min_depth_r
ov
## 46                  RobinsonEtAl_2022_New_confirmed_depth.md   min_depth_r
ov
## 47                    SchimaniEtAl_2022_Video_survey_deep.md   min_depth_r
ov
## 48                   SiglerEtAl_2023_Alaska_deepsea_coral.md   min_depth_r
ov
## 49         TeichertEtAl_2012_Rhodolith_beds_Corallinalesa.md   min_depth_r
ov
## 50                TeichertEtAl_2014_Arctic_rhodolith_beds.md   min_depth_r
ov
## 51  TeichertEtAl_2021_Microplastic_contamination_drilling.md   min_depth_r
ov
## 52            TeichertFreiwald_2014_Polar_coralline_algal.md   min_depth_r
ov
## 53     TeixidoEtAl_2006_Observations_asexual_reproductive.md   min_depth_r
ov
## 54        WatsonEtAl_2018_Patterns_distribution_abundance.md   min_depth_r
```

```
ov
## 55                    WisshakEtAl_2022_Ten_Years_longterm.md   min_depth_r
ov
## 56                WisshakNeumann_2020_Dead_urchin_walking.md   min_depth_r
ov
## 57             YessonEtAl_2017_impact_trawling_epibenthic.md   min_depth_r
ov
## 58                 ZhouShirley_1998_submersible_study_red.md   min_depth_r
ov
## 59              AmbroseEtAl_2001_Role_echinoderms_benthic.md   min_depth_c
cr
## 60             AmbroseJr.EtAl_2005_subice_algal_community.md   min_depth_c
cr
## 61             AnsellEtAl_1998_Swimming_Antarctic_scallop.md   min_depth_c
cr
## 62              CastellanEtAl_2021_Visual_imaging_benthic.md   min_depth_c
cr
## 63                  CooperEtAl_2019_video_seafloor_survey.md   min_depth_c
cr
## 64           CrookDavoren_2016_Influence_spawning_capelin.md   min_depth_c
cr
## 65                      DejaEtAl_2023_New_strategies_new.md   min_depth_c
cr
## 66                    DinnEtAl_2019_Sponge_Porifera_fauna.md   min_depth_c
cr
## 67             GuttEtAl_2013_Shifts_Antarctic_megabenthic.md   min_depth_c
cr
## 68             HamadaEtAl_1986_Observation_marine_benthic.md   min_depth_c
cr
## 69        KimCazenave_2022_Benthic_community_descriptions.md   min_depth_c
cr
## 70             KimEtAl_2021_Patterns_drivers_implications.md   min_depth_c
cr
## 71         KrawczykEtAl_2021_First_highresolution_benthic.md   min_depth_c
cr
## 72       MedelyteEtAl_2022_Application_underwater_imagery.md   min_depth_c
cr
## 73         PierrejeanEtAl_2020_Influence_deepwater_corals.md   min_depth_c
cr
## 74  RangeleyEtAl_2022_Megabenthic_biodiversity_culturally.md   min_depth_c
cr
## 75                  RobinsonEtAl_2022_New_confirmed_depth.md   min_depth_c
cr
## 76                    SchimaniEtAl_2022_Video_survey_deep.md   min_depth_c
cr
## 77                   SiglerEtAl_2023_Alaska_deepsea_coral.md   min_depth_c
cr
## 78         TeichertEtAl_2012_Rhodolith_beds_Corallinalesa.md   min_depth_c
cr
## 79                TeichertEtAl_2014_Arctic_rhodolith_beds.md   min_depth_c
```

```
cr
## 80  TeichertEtAl_2021_Microplastic_contamination_drilling.md   min_depth_c
cr
## 81            TeichertFreiwald_2014_Polar_coralline_algal.md   min_depth_c
cr
## 82     TeixidoEtAl_2006_Observations_asexual_reproductive.md   min_depth_c
cr
## 83        WatsonEtAl_2018_Patterns_distribution_abundance.md   min_depth_c
cr
## 84                    WisshakEtAl_2022_Ten_Years_longterm.md   min_depth_c
cr
## 85                WisshakNeumann_2020_Dead_urchin_walking.md   min_depth_c
cr
## 86             YessonEtAl_2017_impact_trawling_epibenthic.md   min_depth_c
cr
## 87                 ZhouShirley_1998_submersible_study_red.md   min_depth_c
cr
## 88              AmbroseEtAl_2001_Role_echinoderms_benthic.md  min_depth_op
en
## 89             AmbroseJr.EtAl_2005_subice_algal_community.md  min_depth_op
en
## 90             AnsellEtAl_1998_Swimming_Antarctic_scallop.md  min_depth_op
en
## 91              CastellanEtAl_2021_Visual_imaging_benthic.md  min_depth_op
en
## 92                  CooperEtAl_2019_video_seafloor_survey.md  min_depth_op
en
## 93           CrookDavoren_2016_Influence_spawning_capelin.md  min_depth_op
en
## 94                       DejaEtAl_2023_New_strategies_new.md  min_depth_op
en
## 95                    DinnEtAl_2019_Sponge_Porifera_fauna.md  min_depth_op
en
## 96             GuttEtAl_2013_Shifts_Antarctic_megabenthic.md  min_depth_op
en
## 97             HamadaEtAl_1986_Observation_marine_benthic.md  min_depth_op
en
## 98        KimCazenave_2022_Benthic_community_descriptions.md  min_depth_op
en
## 99             KimEtAl_2021_Patterns_drivers_implications.md  min_depth_op
en
## 100        KrawczykEtAl_2021_First_highresolution_benthic.md  min_depth_op
en
## 101      MedelyteEtAl_2022_Application_underwater_imagery.md  min_depth_op
en
## 102        PierrejeanEtAl_2020_Influence_deepwater_corals.md  min_depth_op
en
## 103 RangeleyEtAl_2022_Megabenthic_biodiversity_culturally.md  min_depth_op
en
## 104                 RobinsonEtAl_2022_New_confirmed_depth.md  min_depth_op
```

```
en
## 105                    SchimaniEtAl_2022_Video_survey_deep.md  min_depth_op
en
## 106                   SiglerEtAl_2023_Alaska_deepsea_coral.md  min_depth_op
en
## 107         TeichertEtAl_2012_Rhodolith_beds_Corallinalesa.md  min_depth_op
en
## 108                TeichertEtAl_2014_Arctic_rhodolith_beds.md  min_depth_op
en
## 109 TeichertEtAl_2021_Microplastic_contamination_drilling.md  min_depth_op
en
## 110            TeichertFreiwald_2014_Polar_coralline_algal.md  min_depth_op
en
## 111    TeixidoEtAl_2006_Observations_asexual_reproductive.md  min_depth_op
en
## 112       WatsonEtAl_2018_Patterns_distribution_abundance.md  min_depth_op
en
## 113                    WisshakEtAl_2022_Ten_Years_longterm.md  min_depth_op
en
## 114                WisshakNeumann_2020_Dead_urchin_walking.md  min_depth_op
en
## 115             YessonEtAl_2017_impact_trawling_epibenthic.md  min_depth_op
en
## 116                 ZhouShirley_1998_submersible_study_red.md  min_depth_op
en
## 117              AmbroseEtAl_2001_Role_echinoderms_benthic.md min_depth_scu
ba
## 118             AmbroseJr.EtAl_2005_subice_algal_community.md min_depth_scu
ba
## 119             AnsellEtAl_1998_Swimming_Antarctic_scallop.md min_depth_scu
ba
## 120              CastellanEtAl_2021_Visual_imaging_benthic.md min_depth_scu
ba
## 121                  CooperEtAl_2019_video_seafloor_survey.md min_depth_scu
ba
## 122           CrookDavoren_2016_Influence_spawning_capelin.md min_depth_scu
ba
## 123                       DejaEtAl_2023_New_strategies_new.md min_depth_scu
ba
## 124                    DinnEtAl_2019_Sponge_Porifera_fauna.md min_depth_scu
ba
## 125             GuttEtAl_2013_Shifts_Antarctic_megabenthic.md min_depth_scu
ba
## 126             HamadaEtAl_1986_Observation_marine_benthic.md min_depth_scu
ba
## 127       KimCazenave_2022_Benthic_community_descriptions.md min_depth_scu
ba
## 128             KimEtAl_2021_Patterns_drivers_implications.md min_depth_scu
ba
## 129         KrawczykEtAl_2021_First_highresolution_benthic.md min_depth_scu
```

```
ba
## 130      MedelyteEtAl_2022_Application_underwater_imagery.md min_depth_scu
ba
## 131        PierrejeanEtAl_2020_Influence_deepwater_corals.md min_depth_scu
ba
## 132 RangeleyEtAl_2022_Megabenthic_biodiversity_culturally.md min_depth_scu
ba
## 133                 RobinsonEtAl_2022_New_confirmed_depth.md min_depth_scu
ba
## 134                   SchimaniEtAl_2022_Video_survey_deep.md min_depth_scu
ba
## 135                  SiglerEtAl_2023_Alaska_deepsea_coral.md min_depth_scu
ba
## 136        TeichertEtAl_2012_Rhodolith_beds_Corallinalesa.md min_depth_scu
ba
## 137               TeichertEtAl_2014_Arctic_rhodolith_beds.md min_depth_scu
ba
## 138 TeichertEtAl_2021_Microplastic_contamination_drilling.md min_depth_scu
ba
## 139           TeichertFreiwald_2014_Polar_coralline_algal.md min_depth_scu
ba
## 140    TeixidoEtAl_2006_Observations_asexual_reproductive.md min_depth_scu
ba
## 141       WatsonEtAl_2018_Patterns_distribution_abundance.md min_depth_scu
ba
## 142                   WisshakEtAl_2022_Ten_Years_longterm.md min_depth_scu
ba
## 143               WisshakNeumann_2020_Dead_urchin_walking.md min_depth_scu
ba
## 144            YessonEtAl_2017_impact_trawling_epibenthic.md min_depth_scu
ba
## 145                ZhouShirley_1998_submersible_study_red.md min_depth_scu
ba
##     min_depth platform_max_depth_long$max_depth
## 1        <NA>                                NA
## 2        <NA>                                NA
## 3        <NA>                                NA
## 4        <NA>                                NA
## 5        <NA>                                NA
## 6        <NA>                                NA
## 7        <NA>                                NA
## 8        <NA>                                NA
## 9        <NA>                                NA
## 10       <NA>                                NA
## 11       <NA>                                NA
## 12       <NA>                                NA
## 13       <NA>                                NA
## 14       <NA>                                NA
## 15       <NA>                                NA
## 16       <NA>                                NA
```

```
## 17        <NA>                                  NA
## 18        <NA>                                  NA
## 19        <NA>                                  NA
## 20          30                                  99
## 21          38                                  50
## 22          30                                  40
## 23          38                                  50
## 24        <NA>                                  NA
## 25        <NA>                                  NA
## 26          30                                 127
## 27        <NA>                                  NA
## 28        <NA>                                  NA
## 29          30                                 150
## 30          30                                 150
## 31          30                                 150
## 32          30                                  80
## 33          30                                 150
## 34        <NA>                                  NA
## 35          30                                  40
## 36        <NA>                                  NA
## 37          65                                  65
## 38         143                                 150
## 39          30                                 150
## 40          40                                  70
## 41          30                                  90
## 42        <NA>                                  NA
## 43          30                                  65
## 44         127                                 150
## 45        <NA>                                  NA
## 46          89                                 102
## 47          30                                 128
## 48        <NA>                                  NA
## 49        <NA>                                  NA
## 50        <NA>                                  NA
## 51        <NA>                                  NA
## 52        <NA>                                  NA
## 53         108                                 150
## 54          32                                 150
## 55        <NA>                                  NA
## 56        <NA>                                  NA
## 57        <NA>                                  NA
## 58        <NA>                                  NA
## 59        <NA>                                  NA
## 60        <NA>                                  NA
## 61        <NA>                                  NA
## 62        <NA>                                  NA
## 63        <NA>                                  NA
## 64        <NA>                                  NA
## 65        <NA>                                  NA
## 66        <NA>                                  NA
```

```
## 67        <NA>                                    NA
## 68        <NA>                                    NA
## 69        <NA>                                    NA
## 70        <NA>                                    NA
## 71        <NA>                                    NA
## 72        <NA>                                    NA
## 73        <NA>                                    NA
## 74        <NA>                                    NA
## 75        <NA>                                    NA
## 76        <NA>                                    NA
## 77        <NA>                                    NA
## 78        <NA>                                    NA
## 79        <NA>                                    NA
## 80        <NA>                                    NA
## 81        <NA>                                    NA
## 82        <NA>                                    NA
## 83        <NA>                                    NA
## 84        <NA>                                    NA
## 85        <NA>                                    NA
## 86        <NA>                                    NA
## 87        <NA>                                    NA
## 88        <NA>                                    NA
## 89        <NA>                                    NA
## 90        <NA>                                    NA
## 91        <NA>                                    NA
## 92        <NA>                                    NA
## 93        <NA>                                    NA
## 94        <NA>                                    NA
## 95        <NA>                                    NA
## 96        <NA>                                    NA
## 97        <NA>                                    NA
## 98          35                                    40
## 99        <NA>                                    NA
## 100       <NA>                                    NA
## 101       <NA>                                    NA
## 102       <NA>                                    NA
## 103       <NA>                                    NA
## 104       <NA>                                    NA
## 105       <NA>                                    NA
## 106       <NA>                                    NA
## 107       <NA>                                    NA
## 108       <NA>                                    NA
## 109       <NA>                                    NA
## 110       <NA>                                    NA
## 111       <NA>                                    NA
## 112       <NA>                                    NA
## 113       <NA>                                    NA
## 114       <NA>                                    NA
## 115       <NA>                                    NA
## 116       <NA>                                    NA
```

```
## 117       <NA>                                  NA
## 118       <NA>                                  NA
## 119       <NA>                                  NA
## 120       <NA>                                  NA
## 121       <NA>                                  NA
## 122       <NA>                                  NA
## 123       <NA>                                  NA
## 124       <NA>                                  NA
## 125       <NA>                                  NA
## 126       <NA>                                  NA
## 127       <NA>                                  NA
## 128       <NA>                                  NA
## 129       <NA>                                  NA
## 130       <NA>                                  NA
## 131       <NA>                                  NA
## 132       <NA>                                  NA
## 133       <NA>                                  NA
## 134       <NA>                                  NA
## 135       <NA>                                  NA
## 136       <NA>                                  NA
## 137       <NA>                                  NA
## 138       <NA>                                  NA
## 139       <NA>                                  NA
## 140       <NA>                                  NA
## 141       <NA>                                  NA
## 142       <NA>                                  NA
## 143       <NA>                                  NA
## 144       <NA>                                  NA
## 145       <NA>                                  NA
```

```
platform_depth_lat_long %<>%
  rename(max_depth =`platform_max_depth_long$max_depth`)

platform_depth_lat_long$Platform <- gsub("min_depth_", "", platform_depth_lat
_long$Platform)

platform_depth_lat_long$Platform <- gsub("max_depth_", "", platform_depth_lat
_long$Platform)
```

Set proper labelling for platform

```
platform_depth_lat_long %<>%
  mutate(Platform = case_when(Platform == "open" ~ "OC",
                              Platform == "rov" ~ "ROV",
                              Platform == "hov" ~ "HOV",
                              TRUE ~ Platform)
         ) %>%
  mutate(Platform = as.factor(Platform))
```

Add visual column to reorder platform

```r
platform_depth_lat_long %<>%
  mutate(Visual = as.factor(case_when(Platform == "OC" |
                                      Platform == "SCUBA" |
                                      Platform == "CCR" ~ "direct",
                              TRUE ~ "indirect" )
  )
  )

platform_depth_lat_long %<>%
  mutate(Platform = forcats::fct_reorder(Platform, as.integer(Visual)))
```

Create a bar plot with depth bins by platform and latitudinalRegion

```r
depth_bins <- tibble(
  bin_start = seq(-30, -140, by = -10),
  bin_end   = seq(-40, -150, by = -10)
) %>%
  mutate(bin_label = paste0(abs(bin_start), "-", abs(bin_end)))

platform_depth_lat_long <- platform_depth_lat_long %>%
  mutate(
    min_depth = as.numeric(min_depth),  # positive e.g., 30
    max_depth = as.numeric(max_depth)   # positive e.g., 150
  )

expanded_data <- platform_depth_lat_long %>%
  tidyr::crossing(depth_bins) %>%
  # Convert study range to negative depths: [-max_depth, -min_depth]
  filter(bin_end >= -max_depth, bin_start <= -min_depth) %>%
  mutate(
    bin_label = factor(bin_label, levels = rev(depth_bins$bin_label))
  )

# Plot with count labels on the right
platform_depth_plot <- ggplot(expanded_data, aes(x = bin_label)) +
  geom_bar(position = "stack", alpha= 0.8, fill= "#2a788e") +
  scale_y_continuous(name = "Number of Studies",
                     expand = expansion(mult = c(0, 0.15))) +  # Make room fo
r text
  scale_x_discrete(name = "Depth (m)") +
  coord_flip() +  # Depth on y-axis (shallow at top)
  facet_wrap(~ Platform, nrow = 1) +
  theme_minimal() +
  theme(legend.position = "none")

platform_depth_plot
```

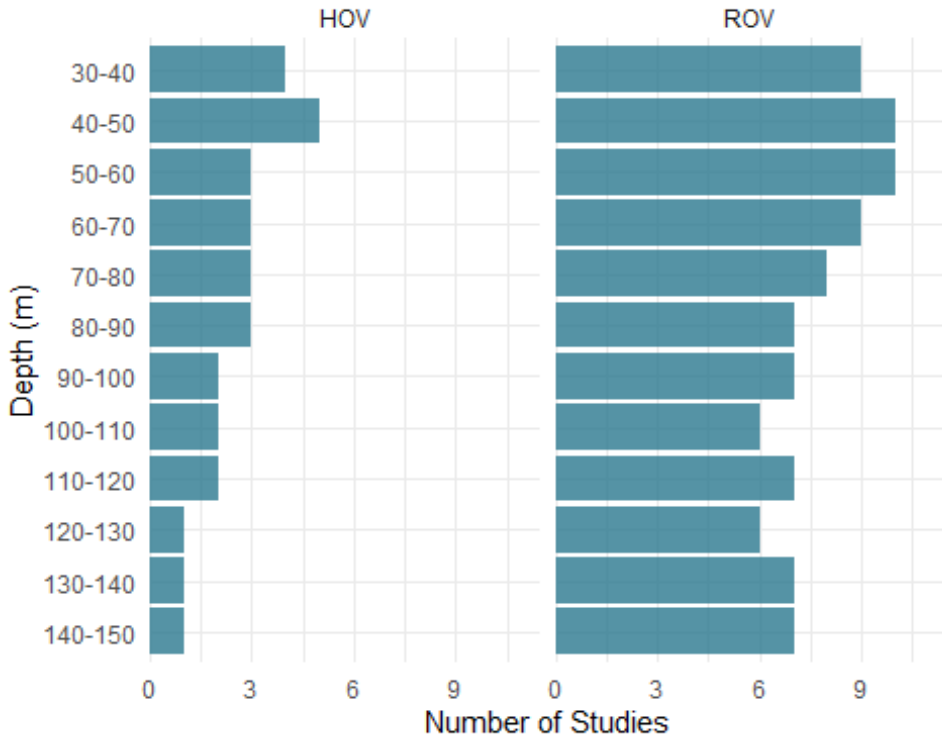

Export bar plot of most common platform per depth interval

```
ggsave("platform_depth_plot.tiff",
       plot = platform_depth_plot,
       units = "in", width = 8, height = 6, dpi = 300, compression = 'lzw',
       path = here ("Extracted_data_analysis",                        "polar",
                        "Output-Visualization"))

ggsave("platform_depth_plot.png",
       plot = platform_depth_plot,
       units = "in", width = 8, height = 5,
       path = here ("Extracted_data_analysis", "polar",
"Output-Visualization"))
```

DIRECT - INDIRECT BY DECADE

```
dir_ind_by_decade <- polar

dir_ind_by_decade %<>%
         mutate(decade = case_when(publicationYear >= 1960 & publicationYear
< 1970 ~ "1970-1979",
                                   publicationYear >= 1970 & publicationYear <
1980 ~ "1970-1979",
                                   publicationYear >= 1980 & publicationYear <
1990 ~ "1980-1989",
                                   publicationYear >= 1990 & publicationYear <
```

```
2000 ~ "1990-1999",
                                  publicationYear >= 2000 & publicationYear <
2010 ~ "2000-2009",
                                  publication Year >= 2010 & publicationYear <
2020 ~ "2010-2019",
                                  publicationYear >= 2020 ~ "2020-2023")
              )

dir_ind_by_decade_lat <- dir_ind_by_decade

dir_ind_by_decade <- dir_ind_by_decade [, c("meso_direct_indirect","decade")]
 %>%
  group_by(decade,meso_direct_indirect) %>%
  tally()

colnames(dir_ind_by_decade) <- c("Decade", "Technique","Count")

unique(dir_ind_by_decade$Technique)

## [1] "indirect" "mixed"

dir_ind_by_decade %<>%
  filter(Technique != "nd" & Technique != "NA") %>% #remove nd from viz becau
se they accounted for a really small percentage
  group_by(Decade) %>%
  mutate(Percentage = round(Count / sum(Count) * 100,1))
```

Make bar plot of technique by decade

```
technique_decade_barplot <- ggplot(subset(dir_ind_by_decade,
              dir_ind_by_decade$Decade != "1970-1979"),
       aes(x=Technique, y=Count, label = Technique)
       ) +
  geom_bar(position="dodge",
           stat="identity", alpha= 0.8, fill = "#2a788e" ) +
  geom_text(aes(label = paste(round(Percentage,0),"%", sep="")),
            parse = F,
            vjust = -0.25,
            size=3.9)+
  facet_grid(~ Decade,
             switch = "y") +
  theme_classic() +
  theme(legend.position = "bottom",
        legend.text = element_text(size = 10),
        axis.text.y = element_text(size=8.7),
        axis.title.x = element_blank(),
        axis.title.y = element_text(size=13),
        strip.text = element_text(size = 13))+
  labs(y= "Number of publications")
```

```
technique_decade_barplot
```

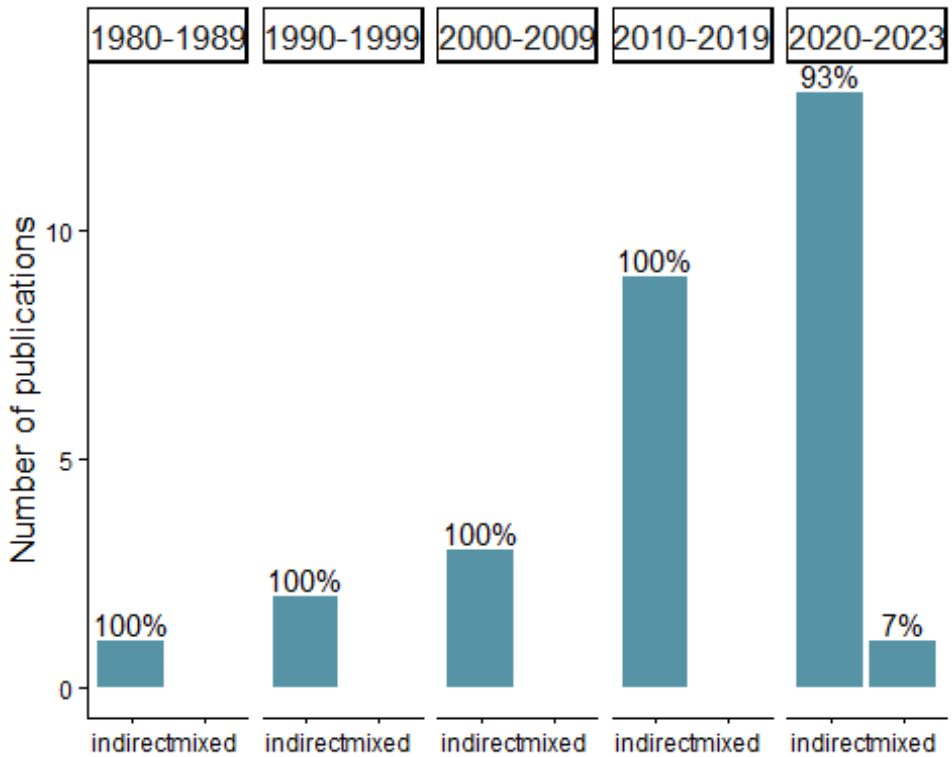

Export bar plot of technique by decade

```
ggsave("technique_decade_barplot.tiff",
       plot = technique_decade_barplot,
       units = "in", width = 7, height = 6, dpi = 300, compression = 'lzw',
       path = here ("Extracted_data_analysis",                        "polar",
                    "Output-Visualization"))

ggsave("technique_decade_barplot.png",
       plot = technique_decade_barplot,
       units = "in", width = 7, height = 6,
       path = here ("Extracted_data_analysis",                        "polar",
                    "Output-Visualization"))
```

FIELD & INDICATORS

Create subset for field & indicators

```
field_merged <- polar[,c(59:length(polar))]

field_merged[,] <- lapply(field_merged[,], as.numeric)

colSums(field_merged)
```

```
##                  field_cons              field_commdesc
##                           1                          17
##                   field_map                field_impass
##                          11                           5
##                 field_troph                  field_taxo
##                           4                           3
##                  field_dist                  field_aqua
##                           4                           0
##                field_method                field_physio
##                           1                           1
##                  field_func               field_habtype
##                           5                           0
##               field_fishery                 field_stock
##                           2                           1
##                 field_paleo                 field_phylo
##                           0                           0
##                  field_rest               field_archaeo
##                           0                           0
##                 field_micro           field_biomedicine
##                           0                           0
##                  field_chem     field_Molecular_ecology
##                           0                           2
##              field_Acoustics field_environmental_drivers
##                           5                          13
##              field_Behaviour         field_Geomorphology
##                           5                           2
##               field_Taxonomy
##                           3
```

Select only the most common fields

```r
field_merged <- field_merged[, colSums(field_merged) > 3]

field_merged$field_Taxonomy <- NULL

colSums(field_merged)
```

```
##               field_commdesc                   field_map
##                           17                          11
##                 field_impass                 field_troph
##                            5                           4
##                   field_dist                  field_func
##                            4                           5
##              field_Acoustics field_environmental_drivers
##                            5                          13
##              field_Behaviour
##                            5
```

```r
field_merged <- field_merged[, order(colSums(field_merged), decreasing = F)]

colSums(field_merged)
```

```
##                 field_troph                  field_dist
##                           4                           4
##                field_impass                  field_func
##                           5                           5
##             field_Acoustics             field_Behaviour
##                           5                           5
##                   field_map field_environmental_drivers
##                          11                          13
##              field_commdesc
##                          17
```

Rename fields with long version names

```r
field_merged %<>%
  rename(`Biodiversity and \n community structure (17)` = field_commdesc,
         `Distribution and \n connectivity (4)` = field_dist,
         `Disturbances (5)` = field_impass,
         `Trophic ecology (4)` = field_troph,
         `Functional ecology (5)` =  field_func,
         `Mapping (11)` = field_map,
         `Behaviour (5)` = field_Behaviour ,
         `Acoustics (5)` = field_Acoustics ,
         `Environmental drivers and \n spatio-temporal patterns (13)` = field
_environmental_drivers
         )
colSums(field_merged)
```

```
##                                          Trophic ecology (4)
##                                                            4
##                       Distribution and \n connectivity (4)
##                                                            4
##                                             Disturbances (5)
##                                                            5
##                                       Functional ecology (5)
##                                                            5
##                                                Acoustics (5)
##                                                            5
##                                                Behaviour (5)
##                                                            5
##                                                 Mapping (11)
##                                                           11
## Environmental drivers and \n spatio-temporal patterns (13)
##                                                           13
##                 Biodiversity and \n community structure (17)
##                                                           17
```

Prepare the indicator matrix

```r
ind_matrix <- split_results[["indicators"]]
```

Select only the most common indicators

```r
colSums(ind_matrix)

##        Abundance          Biomass          Density        Diversity
##               13                4               10               18
##             Size            Cover        Behaviour          Trophic
##                4                8                4                3
##          Habitat    Morphological             taxo geneticSequences
##                9                7                3                2
##           Litter    Physiological           growth             func
##                1                1                1                1
##      Recruitment
##                1

ind_matrix <- ind_matrix[, order(colSums(ind_matrix), decreasing = TRUE)]

ind_matrix <- as.data.frame(ind_matrix)

ind_matrix <- ind_matrix[!purrr::map_lgl(ind_matrix, ~ all(is.na(.)))] # remo
ve empty column
```

Remove taxonomy studies which have a dedicated section

```r
ind_matrix$taxo <- NULL
field_merged$field_taxo <- NULL

colSums(ind_matrix)

##        Diversity        Abundance          Density          Habitat
##               18               13               10                9
##            Cover    Morphological          Biomass             Size
##                8                7                4                4
##        Behaviour          Trophic geneticSequences           Litter
##                4                3                2                1
##    Physiological           growth             func      Recruitment
##                1                1                1                1
```

Rename indicators with long version names

```r
ind_matrix %<>%
  rename(`Abundance \n (13)` = Abundance,
         `Cover \n (8)` = Cover,
         `Diversity \n (18)` = Diversity,
         `Habitat \n (9)` = Habitat,
         `Morphology \n (7)` = Morphological,
         `Size \n (4) ` = Size,
         `Recruitment \n (1) ` = Recruitment,
         `Density \n (10)` = Density,
```

```
         `Physiological \n indicator \n (1)` = Physiological,
         `Litter \n (1)` = Litter,
         `Biomass \n (4)` = Biomass,
         `Genetic \n sequence \n (2)` = geneticSequences,
         `Functional indicators \n (1)` = func,
         `Growth \n (1)` = growth,
         `Trophic \n (3)` = Trophic,
         `Behaviour \n (4)` = Behaviour
         )

colSums(ind_matrix)
```

```
##                 Diversity \n (18)                 Abundance \n (13)
##                                18                                13
##                   Density \n (10)                    Habitat \n (9)
##                                10                                 9
##                      Cover \n (8)                 Morphology \n (7)
##                                 8                                 7
##                    Biomass \n (4)                      Size \n (4)
##                                 4                                 4
##                  Behaviour \n (4)                    Trophic \n (3)
##                                 4                                 3
##        Genetic \n sequence \n (2)                     Litter \n (1)
##                                 2                                 1
## Physiological \n indicator \n (1)                     Growth \n (1)
##                                 1                                 1
##      Functional indicators \n (1)                Recruitment \n (1)
##                                 1                                 1
```

Multiply the transpose of the field matrix with the indicator matrix

```
co_occurrence_matrix <- t(as.matrix(field_merged)) %*% as.matrix(ind_matrix)
```

Reshape the co-occurrence matrix for plotting}

```
co_occurrence_df <- reshape2::melt(co_occurrence_matrix)

colnames(co_occurrence_df) <- c("Field", "Indicator", "Count")
```

Plot the heatmap

```
field_ind_heat <- ggplot(co_occurrence_df, aes(x = Indicator, y = Field, fill
 = Count)) +
  geom_tile(color = "white") +
  scale_fill_gradient(low = "white", high = "deepskyblue4") +
  geom_text(aes(label = Count), color = "black") +
  theme_minimal()+
  scale_x_discrete(position="top")

field_ind_heat
```



Export plot

```
ggsave("field_ind_heat.png",
       units = "in", width = 12.5, height = 5.5,
       path = here ("Extracted_data_analysis", "polar",
  "Output-Visualization"))
```

Calculate # of ecological indicators per record

Create a column with the sum of ecological indicators values to see how many different sampling units were adopted by each study

```
ind_summary <- as.data.frame(split_results[["indicators"]])

ind_summary <- ind_summary[!purrr::map_lgl(ind_summary, ~ all(is.na(.)))] # r
emove empty column

ind_summary %<>%  rowwise() %>%
   mutate(ind_per_record =  sum(c_across(where(is.numeric))))
```

Calculate number of records by number of sampling units in %

```
ind_summary$ind_per_record <- as.factor(ind_summary$ind_per_record)

ind_per_record <- ind_summary %>%
  group_by(ind_per_record) %>%
  summarise(n_records = length(ind_per_record)) %>%
```

```
  mutate(percentage= round(n_records / sum(n_records) * 100,1))

ind_per_record
```

```
## # A tibble: 6 × 3
##   ind_per_record n_records percentage
##   <fct>              <int>      <dbl>
## 1 1                      3       10.3
## 2 2                      5       17.2
## 3 3                     14       48.3
## 4 4                      1        3.4
## 5 5                      5       17.2
## 6 6                      1        3.4
```

SAMPLING UNIT

Prepare a data frame for sampling unit

```
sampling_df <- polar %>%
  filter(is.na(taxonomic_publication)) %>% # remove purely taxonomic studies
  select(File,recordTitle,DOI,publicationYear,mininumSurveyedDepthInMeters,ma
ximumSurveyedDepthInMeters,samplingUnit)

sampling_df %>% tidyr::drop_na(samplingUnit)
sampling_df[!is.na(sampling_df$samplingUnit),]

sampling_df %<>%
  filter(samplingUnit != "notapp")

sampling_df$samplingUnit <- as.character(sampling_df$samplingUnit)
```

Prepare columns per sampling units

```
sampling_lvls <- unique(unlist(str_split(sampling_df$samplingUnit,
                                         "\\+")
                               )
                        )

rownames(is.na(sampling_df$samplingUnit))
```

```
## NULL
```

```
sampling_df[,sampling_lvls] <- sapply(sampling_lvls,
                                      function(y){
                                        str_count(sampling_df$samplingUnit, y)
                                        }
                                      )

rm(sampling_lvls)
```

```r
colnames(sampling_df)
```

```
##  [1] "File"                          "recordTitle"
##  [3] "DOI"                           "publicationYear"
##  [5] "mininumSurveyedDepthInMeters" "maximumSurveyedDepthInMeters"
##  [7] "samplingUnit"                  "quadrat"
##  [9] "nd"                            "transect"
## [11] "stationary"                    "sample"
## [13] "expunit"
```

Calculate # of sampling unit per record

Create a column with the sum of sampling units values to see how many different sampling units were adopted by each study

```r
sampling_df %<>%
   mutate(type_per_record = rowSums(across(quadrat:expunit)
                          )
   )
```

Calculate number of records by number of sampling units in %

```r
sampling_df$type_per_record <- as.factor(sampling_df$type_per_record)

sampling_unit_per_record <- sampling_df %>%
  group_by(type_per_record) %>%
  summarise(n_records = length(type_per_record)) %>%
  mutate(percentage= round(n_records / sum(n_records) * 100,0))

sampling_unit_per_record
```

```
## # A tibble: 2 × 3
##   type_per_record n_records percentage
##   <fct>               <int>      <dbl>
## 1 1                      27         93
## 2 2                       2          7
```

Create a data frame with number of publication per sampling unit type

```r
sampling_unit_tot <- sampling_df  %>%
  summarise(across(c(8:(length(sampling_df)-1)),
                   list(sum)))

sampling_unit_tot <- reshape2::melt(sampling_unit_tot)
```

```
## No id variables; using all as measure variables
```

```r
colnames(sampling_unit_tot) <- c("Sampling_unit", "Count")

sampling_unit_tot %<>%
```

```
        mutate_at("Sampling_unit",
                  stringr::str_replace, "_1", "")
```

Simplified sampling units

Create a column with a simplified sampling units for transect and quadrat

```
  sampling_unit_tot %<>%
       mutate(Sampling_unit_macro = case_when(Sampling_unit == 'quadrat' |
                                    Sampling_unit == "permquad" ~ "Quadrat",
                                    Sampling_unit == "transect"|
                                    Sampling_unit == "lit" |
                                    Sampling_unit == "pit" |
                                    Sampling_unit == "permlit" |
                                    Sampling_unit == "permtrans" |
                                    Sampling_unit == "circular_transect" |
                                    Sampling_unit == "radial_transect"~ "Transe
ct",
                                    Sampling_unit == "nd" ~ "ND",
                                    Sampling_unit == "stationary" ~ "Stationary
",
                                    Sampling_unit == "expunit" ~ "Experimental
unit",
                                    Sampling_unit == "sample" ~ "Sample",
                                    .default = "Other")
              )

# Change columns order
sampling_unit_tot <- cbind(sampling_unit_tot$Sampling_unit_macro,
                       sampling_unit_tot$Sampling_unit,
                       sampling_unit_tot$Count)

colnames(sampling_unit_tot) <- c("Sampling_unit_macro","Sampling_unit","Count
")

sampling_unit_tot <- as.data.frame(sampling_unit_tot)

sampling_unit_tot[,1:2] <- lapply(sampling_unit_tot[,1:2], as.factor)
sampling_unit_tot$Count <- as.numeric(sampling_unit_tot$Count)

sampling_unit_simplified <- aggregate(Count ~ Sampling_unit_macro, data = sam
pling_unit_tot, FUN = sum)

sampling_unit_simplified %<>%
  group_by(Sampling_unit_macro) %>%
  mutate(Percentage_macro= round(Count / sum(sampling_unit_simplified$Count)
* 100,1))

sampling_unit_simplified
```

```
## # A tibble: 6 × 3
## # Groups:   Sampling_unit_macro [6]
##   Sampling_unit_macro Count Percentage_macro
##   <fct>               <dbl>            <dbl>
## 1 Experimental unit       1              3.2
## 2 ND                      2              6.5
## 3 Quadrat                 6             19.4
## 4 Sample                  6             19.4
## 5 Stationary              2              6.5
## 6 Transect               14             45.2
```

Build a treemap with simplified sampling unit

```
library(treemapify)

RdYlBu <- RColorBrewer::brewer.pal(7, "RdYlBu")
RdYlBu

## [1] "#D73027" "#FC8D59" "#FEE090" "#FFFFBF" "#E0F3F8" "#91BFDB" "#4575B4"

sampling_simplified_treemap <-
ggplot(sampling_unit_simplified,
       aes(area=Count,
           fill=Sampling_unit_macro,
           line = "black",
           label=paste0(Sampling_unit_macro, " \n ",Percentage_macro,"%"))
       )+
  treemapify::geom_treemap(layout = "squarified")+
  geom_treemap_text(place = "centre",
                    size = 20)+
    theme(plot.title = element_text(hjust = 0.5, size= 20),
          legend.position = "none")+
  scale_fill_manual(values= c("#FC8D59", "#FEE090","#FFFFBF", "#E0F3F8", "#D7
3027", "#91BFDB", "#4575B4"))
  scale_fill_brewer(palette = "RdYlBu")

## <ggproto object: Class ScaleDiscrete, Scale, gg>
##     aesthetics: fill
##     axis_order: function
##     break_info: function
##     break_positions: function
##     breaks: waiver
##     call: call
##     clone: function
##     dimension: function
##     drop: TRUE
##     expand: waiver
##     fallback_palette: function
##     get_breaks: function
##     get_breaks_minor: function
##     get_labels: function
```

```
##     get_limits: function
##     get_transformation: function
##     guide: legend
##     is_discrete: function
##     is_empty: function
##     labels: waiver
##     limits: NULL
##     make_sec_title: function
##     make_title: function
##     map: function
##     map_df: function
##     minor_breaks: waiver
##     n.breaks.cache: NULL
##     na.translate: TRUE
##     na.value: NA
##     name: waiver
##     palette: function
##     palette.cache: NULL
##     position: left
##     range: environment
##     rescale: function
##     reset: function
##     train: function
##     train_df: function
##     transform: function
##     transform_df: function
##     super:  <ggproto object: Class ScaleDiscrete, Scale, gg>
```

```
sampling_unit_simplified %<>%
  mutate(case_when(Sampling_unit_macro == "Experimental unit" ~
          "Experimental \n unit", T ~ Sampling_unit_macro))

sampling_simplified_treemap <-
ggplot(sampling_unit_simplified,
       aes(area=Count,
           fill= reorder(Sampling_unit_macro, -Count),
           line = "black",
           label=paste0(Sampling_unit_macro, " \n ",Percentage_macro,"%"))
       )+
  treemapify::geom_treemap(layout = "squarified")+
  geom_treemap_text(place = "centre", fontface = "bold",
                    size = 20)+
    theme(plot.title = element_text(hjust = 0.5, size= 20),
          legend.position = "none")+
  scale_fill_manual(values=c("#01665E","#5AB4AC","#C7EAE5", "#8C510A","#D8B36
5","#F6E8C3","#F5F5F5")) # selected from "BrBG" palette of RBrewer

sampling_simplified_treemap
```

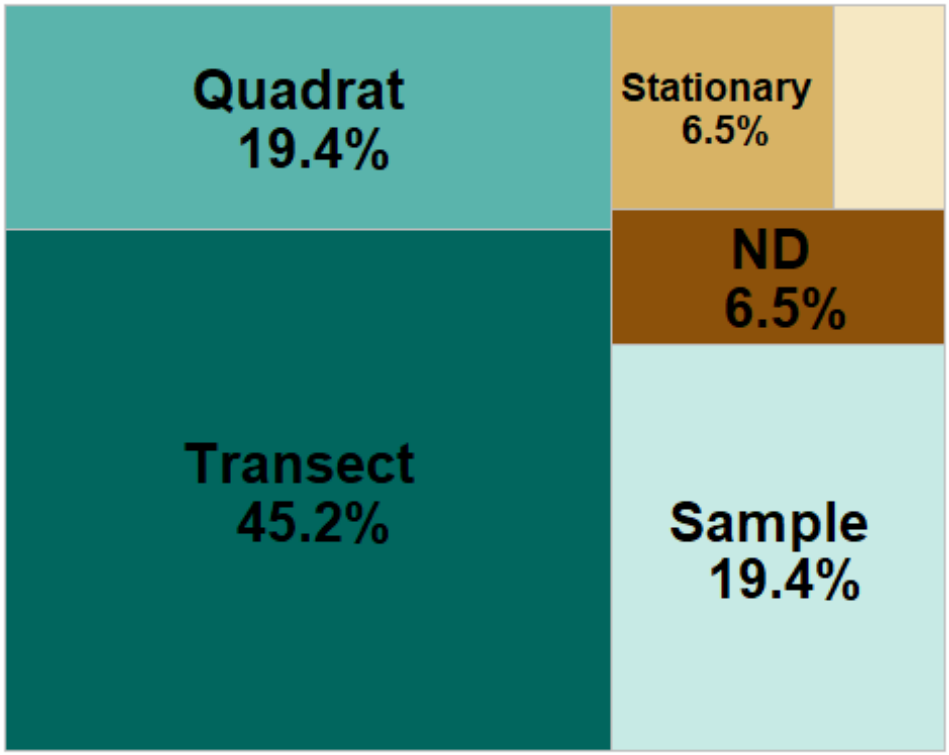

Export sampling_simplified_treemap

```
ggsave("sampling_simplified_treemap.png",
       plot = sampling_simplified_treemap,
       units = "in", width = 7, height = 6,
       path = here ("Extracted_data_analysis",
                    "polar",
                    "Output-Visualization"))
```

Export sampling_unit_tot table for supplementary materials

```
library(openxlsx)

openxlsx::write.xlsx(sampling_unit_tot,
           file = here("Extracted_data_analysis", "polar", "Output-Transforme
d_data",
                    "sampling_unit_tot.xlsx"))
```

Quadrat extracted from transect

```
print(paste("Number of publications where quadrat is the sampling unit or one
 of the sampling unit: ",
            nrow(quad_design <- subset(polar,grepl("quad", samplingUnit)
                                       )
                                 )
            )
)
```

```
## [1] "Number of publications where quadrat is the sampling unit or one of t
he sampling unit:  6"
```

```
print(paste("Number of publications where quadrats were collected along trans
ects: ", nrow(subset(quad_design,
            grepl("transect\\(quadrat", meso_design) |
              grepl("transect\\(depth\\(quadrat", meso_design)
            )
     )
)
)
```

```
## [1] "Number of publications where quadrats were collected along transects:
  4"
```

DATA TYPE

```
data_type <- count_results[["collectedDataType"]]

data_type$Percentage <- round(data_type$Percentage, 1)

data_type
```

```
## # A tibble: 10 × 3
##    collectedDataType          Count Percentage
##    <fct>                      <int>      <dbl>
##  1 photo                          4       13.8
##  2 photo+specimen                 2        6.9
##  3 photo+specimen+video+water     1        3.5
##  4 photo+video                    5       17.2
##  5 sediment+video                 1        3.5
##  6 specimen                       2        6.9
##  7 specimen+sediment+water        1        3.5
##  8 specimen+video                 3       10.3
##  9 specimen+video+water           1        3.5
## 10 video                          9       31
```

Lump uncommon combination into “Other”

```
data_type_simplified <- data_type %>%
  rename(`Data type`= collectedDataType) %>%
  mutate(`Data type` = as.character(`Data type`)) %>%
  filter(Percentage > 2) %>%
  bind_rows(
    data_type %>%
      filter(Percentage <= 2) %>%
      summarise(
        `Data type` = "other",
        Count = sum(.data$Count),
        Percentage = sum(.data$Percentage)
```

```
      )
  )


data_type_simplified %<>%
       mutate(`Data type` =
                case_when(`Data type` == 'photo'  ~ "Photo",
                          `Data type` == "video"~ "Video",
                          `Data type` == "other" ~ "Other",
                          `Data type` == "specimen" ~ "Specimen",
                          `Data type` == "photo+specimen" ~ "Photo + \n Speci
men",
                          `Data type` == "photo+specimen+video+water" ~ "Phot
o + Video + \n Specimen \n Water",
                          `Data type` == "photo+video" ~ "Photo + \n Video",
                          `Data type` == "sediment+video" ~ "Sediment + \n Vi
deo",
                          `Data type` == "specimen+sediment+water" ~ "Specime
n + \n Sediment + \n Water",
                          `Data type` == "specimen+video" ~ "Specimen + \n Vi
deo",
                          `Data type` == "specimen+video+water" ~ "Specimen +
 Water + \n Specimen",
                                   .default = "Other")
              )
```

Build a treemap with data type

```
library(treemapify)
library(RColorBrewer)

data_type_treemap <-
ggplot(data_type_simplified,
       aes(area=Count,
           fill=`Data type`,
           line = "black",
           label=paste0(`Data type`, " \n ",Percentage,"%"))
       )+
  treemapify::geom_treemap(layout = "squarified")+
  geom_treemap_text(place = "centre", fontface = "bold",
                    size = 20)+
    theme(plot.title = element_text(hjust = 0.5, size= 20),
          legend.position = "none")+
    scale_fill_brewer(palette = "RdYlBu")

data_type_treemap
```

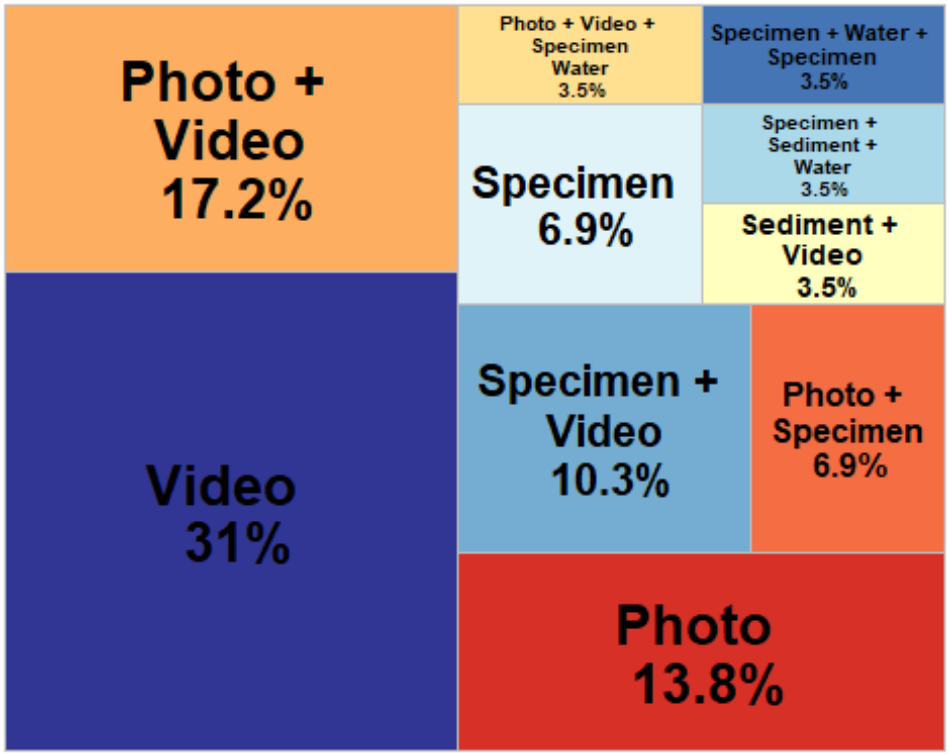

Export sampling_simplified_treemap

```
ggsave("data_type_treemap.png",
       plot = data_type_treemap,
       units = "in", width = 7, height = 6,
       path = here ("Extracted_data_analysis",                        "polar",
                          "Output-Visualization"))
```

HABIT

```
habit <- as.data.frame(count_results["habit"])

# Rename columns
habit %<>%
  rename(Habit = habit.habit,
         Count = habit.Count,
         Percentage = habit.Percentage)
```

Make the habit donut plot

```
habit %<>%
  mutate(ymax = cumsum(Count),
    ymin = c(0, head(ymax, n = -1)),
    mid = (ymin + ymax) / 2,
    angle = 90 - (mid / sum(Count)) * 360
  )
```

```r
# Split and assign labels
habit_inside <- habit %>%
  mutate(label = paste0(round(Percentage,1), "%"))

habit_outside <- habit %>%
  mutate(label = Habit)

# Plot
habit_donut <- ggplot() +
  # Donut segments
  geom_rect(data = habit,
            aes(ymin = ymin, ymax = ymax, xmin = 2.5, xmax = 4, fill = Habit),
            color = "black") +

  # Inside labels
  geom_text(data = habit_inside,
            aes(x = 3.2, y = mid, label = label),
            size = 5, color = "black",
            fontface = "bold") +

  # Outside labels with Habit name
  ggrepel::geom_text_repel(data = habit_outside,
                  aes(x = 4.3, y = mid, label = label),
                  size = 5.5,
                  nudge_x = 0.5,
                  direction = "y",
                  segment.color = "black",
                  hjust = 0,
                  box.padding = 0.3,
                  max.overlaps = Inf) +
  coord_polar(theta = "y") +
  xlim(0.2, 5) +
  scale_fill_brewer(palette = "Purples") +
  theme_void() +
  theme(legend.position = "none")+
  annotate(geom = 'text', x = 0.5, y = 0,
           label = c("HABIT"), size = 8)

habit_donut
```

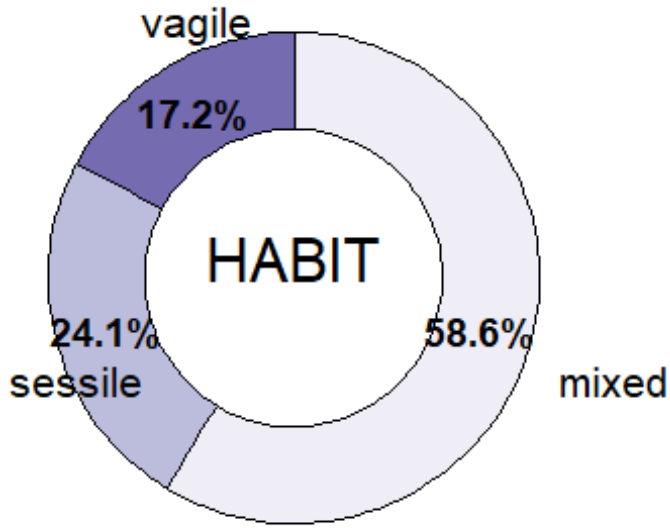

Export habit_donut

```
ggsave("habit_donut.png",
       plot = habit_donut,
       units = "in", width = 7, height = 6,
       path = here ("Extracted_data_analysis",                        "polar",
                          "Output-Visualization"))
```

SUBSTRATE

```
substrate <- as.data.frame(count_results["meso_substrate"])

# Rename columns
substrate %<>%
  rename(Substrate = meso_substrate.meso_substrate,
         Count = meso_substrate.Count,
         Percentage = meso_substrate.Percentage)

# Remove rows with nd
substrate <- substrate[!substrate$Substrate %in% "nd",]

# Merge substrate combination with less than 3% and recalculate Count and Per
centages
substrate <- substrate %>%
  mutate(Substrate = if_else(Percentage < 3, "Other combinations", Substrate))
 %>%
```

```
  group_by(Substrate) %>%
  select(-Percentage) %>%
  summarise(
    Count = sum(Count)) %>%
  mutate(Percentage = round(Count / sum(Count) * 100,1)
  )

substrate %<>%
  mutate(
    Substrate = case_when(Substrate == "hard" ~ "Hard",
                          Substrate == "soft"~ "Soft",
                          Substrate == "mixed" ~ paste0("Hard+","\n","Soft"),
                          Substrate == "artificial" ~ "Artificial",
                          Substrate == "Other combinations" ~ "Other combinat
ions"))
```

Make the substrate donut plot

```
substrate %<>%
  mutate(
    ymax = cumsum(Count),
    ymin = c(0, head(ymax, n = -1)),
    mid = (ymin + ymax) / 2,
    angle = 90 - (mid / sum(Count)) * 360
  )


# Split and assign labels
substrate_inside <- substrate %>%
    filter(Percentage >= 5) %>%
  mutate(label = paste0(Percentage, "%"))

substrate_outside <- substrate %>%
  mutate(label = Substrate)

# Plot
substrate_donut <- ggplot() +
  # Donut segments
  geom_rect(data = substrate,
            aes(ymin = ymin, ymax = ymax, xmin = 2.5, xmax = 4, fill = Substr
ate),
            color = "black") +

  # Inside labels
  geom_text(data = substrate_inside,
            aes(x = 3.2, y = mid, label = label),
            size = 5, color = "black",
            fontface = "bold") +
```

```r
  # Outside labels with substrate name
  ggrepel::geom_text_repel(data = substrate_outside,
                   aes(x = 4.4, y = mid, label = label),
                   size = 5.5,
                   nudge_x = 0.3,
                   direction = "y",
                   segment.color = "black",
                   hjust = 0,
                   box.padding = 0.3,
                   max.overlaps = Inf) +
  coord_polar(theta = "y") +
  xlim(0.2, 5) +
  scale_fill_brewer(palette = "GnBu") +
  theme_void() +
  theme(legend.position = "none")+
  annotate(geom = 'text', x = 0.5, y = 0,
           label = c("SUBSTRATE"), size = 8)

substrate_donut
```

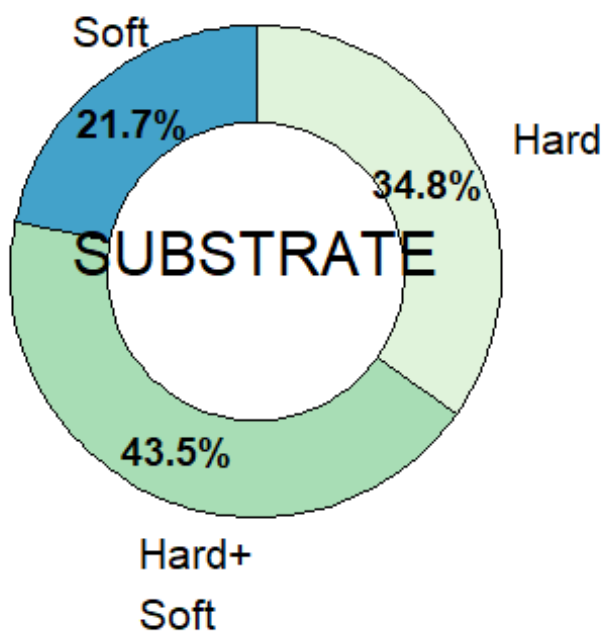

Export the substrate donut plot

```r
ggsave("substrate_donut.png",
       plot = substrate_donut,
       units = "in", width = 7, height = 6,
       path = here ("Extracted_data_analysis",                    "polar",
                    "Output-Visualization"))
```

BENTHIC POSITION

Create a data frame with benthic position

```
position <- as.data.frame(count_results["environmentalPosition"])

# Rename columns
position %<>%
  rename(Position = environmentalPosition.environmentalPosition,
         Count = environmentalPosition.Count,
         Percentage = environmentalPosition.Percentage)

# Merge position combination with less than 3% and recalculate Count and Perc
entages
position <- position %>%
  mutate(Position = if_else(Percentage < 4, "Other combinations", Position))
 %>%
  group_by(Position) %>%
  select(-Percentage) %>%
  summarise(
    Count = sum(Count)) %>%
  mutate(Percentage = round(Count / sum(Count) * 100,1)
  )
```

Make the benthic position donut plot

```
position %<>%
  mutate(
    Position = case_when(Position == "epi" ~ "Epi",
                         Position == "endo"~ "Endo",
                         Position == "dem+epi" ~ "Hyper + \n Epi",
                         Position == "endo+epi" ~ "Endo + \n Epi",
                         Position == "Other combinations" ~ "Other combinati
ons"),
    ymax = cumsum(Count),
    ymin = c(0, head(ymax, n = -1)),
    mid = (ymin + ymax) / 2,
    angle = 90 - (mid / sum(Count)) * 360
  )


# Split and assign labels
position_inside <- position %>%
  filter(Percentage > 3) %>%
  mutate(label = paste0(Percentage, "%"))

position_outside <- position %>%
  mutate(label = Position)
```

```r
# Plot
benthic_position_donut <- ggplot() +
  # Donut segments
  geom_rect(data = position,
            aes(ymin = ymin, ymax = ymax, xmin = 2.5, xmax = 4, fill = Positi
on),
            color = "black") +

  # Inside labels
  geom_text(data = position_inside,
            aes(x = 3.2, y = mid, label = label),
            size = 5, color = "black",
            fontface = "bold") +

  # Outside labels with Position name
  ggrepel::geom_text_repel(data = position_outside,
                  aes(x = 4.2, y = mid, label = label),
                  size = 5.5,
                  nudge_x = 0.3,
                  direction = "y",
                  segment.color = "black",
                  hjust = 0,
                  box.padding = 0.3,
                  max.overlaps = Inf) +
  coord_polar(theta = "y") +
  xlim(0.2, 5) +
  scale_fill_brewer(palette = "OrRd") +
  theme_void() +
  theme(legend.position = "none")+
  annotate(geom = 'text', x = 0.5, y = 0,
           label = c("BENTHIC \n POSITION"), size = 8)

benthic_position_donut
```

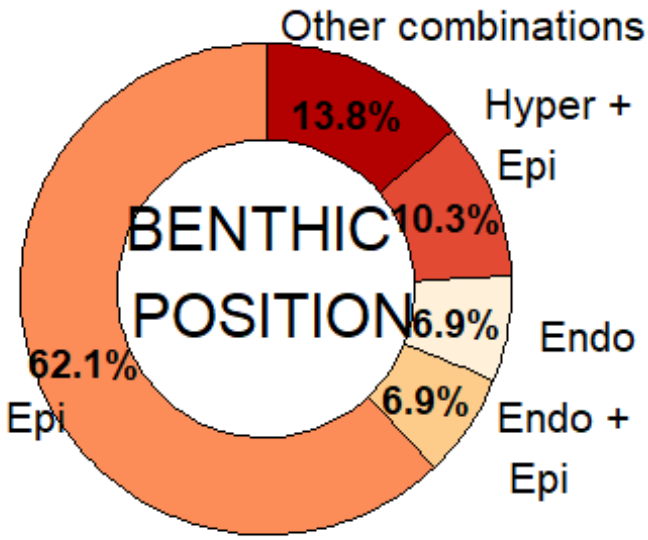

Export the benthic_position donut plot

```
ggsave("benthic_position_donut.png",
       plot = benthic_position_donut,
       units = "in", width = 7, height = 6,
       path = here ("Extracted_data_analysis",                        "polar",
                          "Output-Visualization"))
```

TARGET

Target level

```
target_level <- as.data.frame(count_results["taxonomicTargetLevel"])

# Rename columns
target_level %<>%
  rename(Level = taxonomicTargetLevel.taxonomicTargetLevel,
         Count = taxonomicTargetLevel.Count,
         Percentage = taxonomicTargetLevel.Percentage)

# Remove rows with nd
target_level <- target_level[!target_level$Level %in% "species,species",]
target_level <- target_level[!target_level$Level %in% ",species",]

# Merge habit combination with less than 3% and recalculate Count and Percent
ages
```

```
target_level <- target_level %>%
  mutate(Level = if_else(Percentage < 3, "Other combinations", Level)) %>%
  group_by(Level) %>%
  select(-Percentage) %>%
  summarise(
    Count = sum(Count)) %>%
  mutate(Percentage = round(Count / sum(Count) * 100,1)
  )
```

Treemap with the taxonomic target level

```
target_level_labels <- target_level %<>%
  mutate(
    Level = case_when(Level == "comm" ~ "Community",
                      Level == "group"~ "Group",
                      Level == "single" ~ "Single species",
                      Level == "species" ~ ">1 species",
                      Level == "comm+group" ~ "Community+Group",
                      Level == "comm+species" ~ "Community+Species",
                      Level == "group+species" ~ "Group+\nSpecies",
                      Level == "Other combinations" ~ "Other")
    )

target_level_treemap <- ggplot(target_level_labels,
       aes(area=Count,
           fill=Level,
           line = "black",
           label=paste0(Level,
                        " \n ",Percentage,"%"))
       )+
  treemapify::geom_treemap(layout = "squarified")+
  treemapify::geom_treemap_text(place = "centre",
                    size = 20)+
    theme(plot.title = element_text(hjust = 0.5, size= 20),
          legend.position = "none")+
  scale_fill_manual(values= c("#A6D854" ,"#66C2A5","#E78AC3", "#8DA0CB","#FFD
92F","#B3B3B3", "#E5C494", "#FC8D62"))

target_level_treemap
```

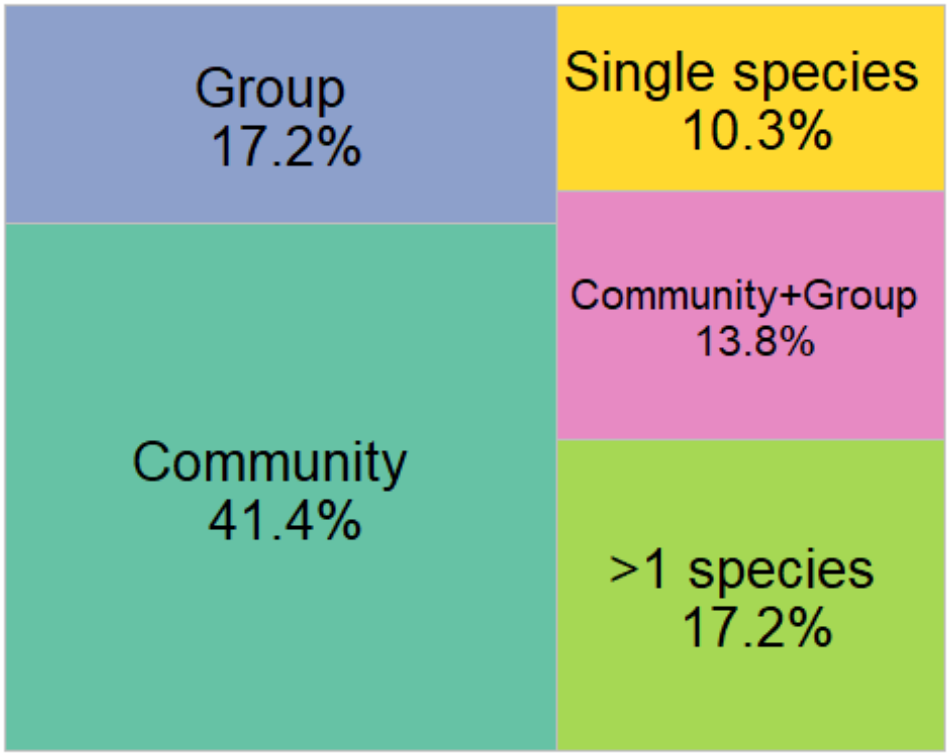


```
ggsave("target_level_treemap.png",
       plot = target_level_treemap,
       units = "in", width = 9, height = 6,
       path = here ("Extracted_data_analysis",                        "polar",
                        "Output-Visualization"))
```

Detected phyla in community studies

```
detected <- polar %>%
    filter(str_detect(taxonomicTargetLevel,"comm")) %>%
  select(File,
         detected_meso_cnidaria,
         detected_meso_sponges,
         detected_meso_seagrass,
         detected_meso_algae,
         detected_meso_mollusca,
         detected_meso_chondrichthyes,
         detected_meso_fish,
         detected_meso_crustacea,
         detected_meso_echino,
         detected_meso_other_taxa)

detected_lvls <-
  unique(
    unlist(
      str_split(detected$detected_meso_other_taxa, "\\+")
                                )
```

```
                          )
detected_lvls<- detected_lvls[! detected_lvls %in% c("",NA,"notapp",",","nd")]
detected[,detected_lvls] <- sapply(detected_lvls,
                                   function(y){
                                     str_count(detected$detected_meso_othe
r_taxa, y)
                                     }
                                   )

rm(detected_lvls)

detected %<>%
  mutate(across(everything(), as.character)) %>%
  replace(is.na(.), "0") %>%
  select(-detected_meso_other_taxa)

detected <- detected %>%
  mutate(across(-File, ~ case_when(
    .x %in% c("x", "x,", "xx") ~ "1",
    .x == "," ~ "0",
    TRUE ~ .x
  ))) %>%
  mutate(across(-File, as.numeric))
```

Calculate number of publications per taxonomic group

```
detected_tot <-
  detected %>%
  summarise(across(where(is.numeric),
                   list(sum)
                   )
            )

detected_tot  <- reshape2::melt(detected_tot, id.vars = NULL)

colnames(detected_tot) <- c("Taxa", "Count")

detected_tot %<>%
        mutate_at("Taxa",
                  stringr::str_replace, "_1", "") %>%
        mutate_at("Taxa",
                  stringr::str_replace, "detected_meso_", "")


detected_tot %<>%
      mutate(Percentage= round(Count / nrow(detected) * 100,1))

rm(detected)
```

Remove absent taxonomic groups

```
detected_tot_collapsed <- subset(detected_tot, detected_tot$Count>0)
```

Create a bar chart with detected taxonomic groups

```
detected_bar <- ggplot(detected_tot_collapsed, aes(x = reorder(Taxa, Count),
y = Count, fill= Taxa)) +
  geom_bar(stat = "identity") +
  geom_text(
    data = detected_tot_collapsed %>% filter(Percentage > 11),
    aes(label = paste0(round(Percentage, 0), "%")),
    position = position_stack(vjust = 0.5),
    color = "black",
    size = 3.5
  )+
  labs(y = "# Publications at the community level", x = "Detected taxonomic g
roup") +
  theme_minimal() +
  coord_flip()+  # optional: flips for horizontal bars
  theme(legend.position ="none") +
  scale_x_discrete(labels = rev(c("Echinodermata",
                                  "Porifera",
                                  "Cnidaria",
                                  "Mollusca",
                                  "Crustacea",
                                  "Annelida",
                                  "Tunicata",
                                  "Bryozoa",
                                  "Osteichthyes",
                                  "Pycnogonida",
                              "macroalgae*",
                              "Brachiopoda",
                              "Nemertea",
                              "Nematoda",
                              "Hemichoradata",
                              "Foraminifera")))

detected_palette <- c("algae" ="darkseagreen3",
                      "cnidaria" = "mediumvioletred",
                      "crustacea" = "indianred1",
                      "sponges" = "khaki1",
                      "mollusca" = "darkorange3",
                      "fish" = "paleturquoise2",
                      "echino" = "royalblue4",
                      "Tunicata" = "mediumpurple4",
                      "Hemichordata" = "gray69",
                      "Brachiopoda" = "gray69",
                      "Nemertea" = "gray69",
                      "Pycnogonida" = "gray69",
```

```
                        "Nematoda" = "gray69",
                        "Foraminifera"   =    "gray69",
                        "Bryozoa" = "goldenrod1",
                        "Annelida" = "burlywood4")



detected_bar +
  scale_fill_manual(values = detected_palette,
    limits = names(detected_palette))+
  theme(axis.text = element_text(size = 14),
        axis.title = element_text(size = 16)
        )
```

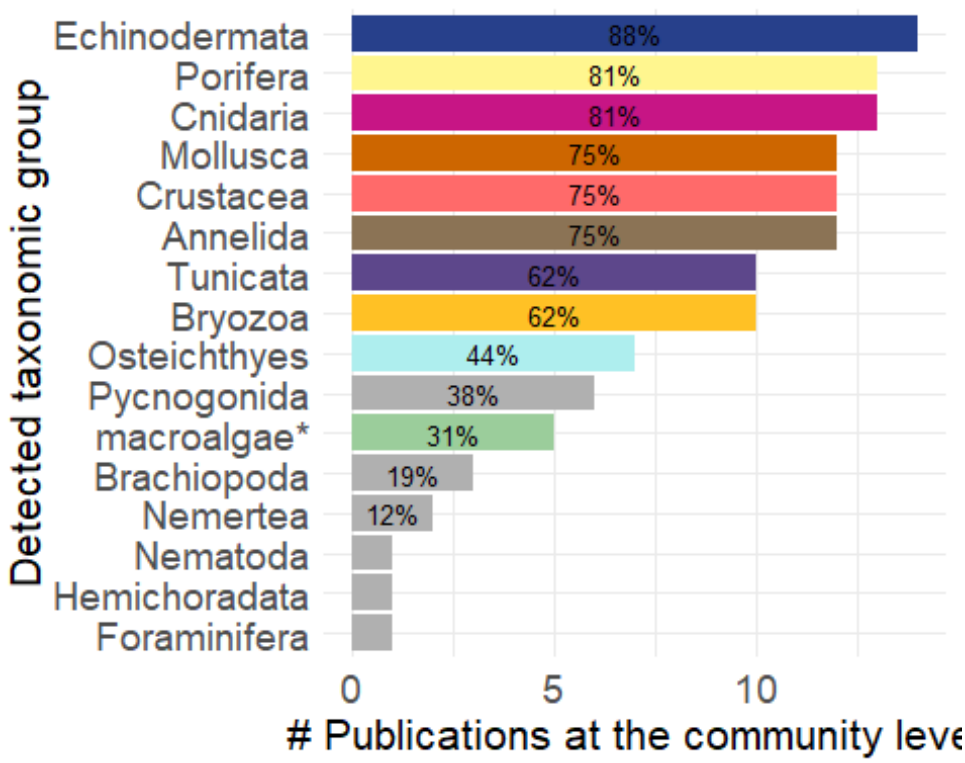


```
ggsave("detected_bar.png",
       units = "in", width = 7, height = 6,
       path = here ("Extracted_data_analysis",                        "polar",
                        "Output-Visualization"))
```

Target taxonomic groups not at the community level

```
group <- polar %>%
    filter(taxonomicTargetLevel != "comm") %>%
  select(File,
         detected_meso_cnidaria,
         detected_meso_sponges,
         detected_meso_seagrass,
```

```
         detected_meso_algae,
         detected_meso_mollusca,
         detected_meso_chondrichthyes,
         detected_meso_fish,
         detected_meso_crustacea,
         detected_meso_echino,
         detected_meso_other_taxa,
         targetTaxa)

group_lvls <-
  unique(
    unlist(
      str_split(group$detected_meso_other_taxa, "\\+")
                                )
                          )
group_lvls<- group_lvls[! group_lvls %in% c("",NA,"notapp",",","nd")]
group[,group_lvls] <- sapply(group_lvls,
                                        function(y){
                                          str_count(group$detected_meso_other_t
axa, y)
                                          }
                                        )

rm(group_lvls)

group <- group %>%
  mutate(across(everything(), as.character)) %>%
  replace(is.na(.), "0") %>%
  select(-detected_meso_other_taxa,-targetTaxa) %>%
  mutate(across(-File, ~ case_when(
    .x %in% c("x", "x,", "xx") ~ "1",
    .x == "," ~ "0",
    TRUE ~ .x
  ))) %>%
  mutate(across(-File, as.numeric))

group_tot <-
  group %>%
  summarise(across(where(is.numeric),
                   list(sum)
                   )
            )

group_tot  <- reshape2::melt(group_tot, id.vars = NULL)

colnames(group_tot) <- c("Taxa", "Count")

group_tot %<>%
        mutate_at("Taxa",
                  stringr::str_replace, "_1", "") %>%
```

```
        mutate_at("Taxa",
                  stringr::str_replace, "detected_meso_", "")



group_tot %<>%
      mutate(Percentage= round(Count / nrow(group) * 100,1))

group_tot_collapsed <- group_tot %>%
  filter(Percentage > 0 ) %>%
  group_by(Taxa) %>%
  summarise(
    Count = sum(Count),
    Percentage = sum(Percentage),
    .groups = "drop"
  )

group_tot_collapsed %<>%
  mutate(Taxa = case_when(Taxa == 'echino' ~ "Echinodermata",
                          Taxa == 'fish' ~ "Osteichthyes",
                          Taxa == 'mollusca' ~ "Mollusca",
                          Taxa == 'algae' ~ "macroalgae*",
                          Taxa == "sponges" ~ "Porifera",
                          Taxa == "crustacea" ~ "Crustacea",
                          Taxa == "cnidaria" ~ "Cnidaria",
                          Taxa == "algae" ~ "algae*",
         .default = Taxa))

group_bar <- ggplot(group_tot_collapsed, aes(x = reorder(Taxa, Count), y = Co
unt, fill= Taxa)) +
  geom_bar(stat = "identity") +
  geom_text(
    data = group_tot_collapsed %>% filter(Percentage > 10),
    aes(label = paste0(round(Percentage, 0), "%")),
    position = position_stack(vjust = 0.5),
    color = "black",
    size = 3.5
  )+
  labs(y = "N of publications not at community level", x = "Taxonomic group")
 +
  theme_minimal() +
  coord_flip()+  # optional: flips for horizontal bars
  theme(legend.position ="none")

group_palette <- c("macroalgae*" ="darkseagreen3",
                      "Cnidaria" = "mediumvioletred",
                      "Crustacea" = "indianred1",
                      "Porifera" = "khaki1",
                      "Mollusca" = "darkorange3",
                      "Osteichthyes" = "paleturquoise2",
                      "Echinodermata" = "royalblue4",
```

```
                        "Tunicata" = "mediumpurple4",
                        "Chondrichthyes" = "gray69",
                        "Brachiopoda" =  "gray69",
                        "Pycnogonida" =  "gray69",
                        "Bryozoa" = "goldenrod1",
                        "Annelida" = "burlywood4")

group_bar <- group_bar +
  scale_fill_manual(values = group_palette,
    limits = names(group_palette))+
    theme(axis.text = element_text(size = 14),
        axis.title = element_text(size = 16)
        )

group_bar
```

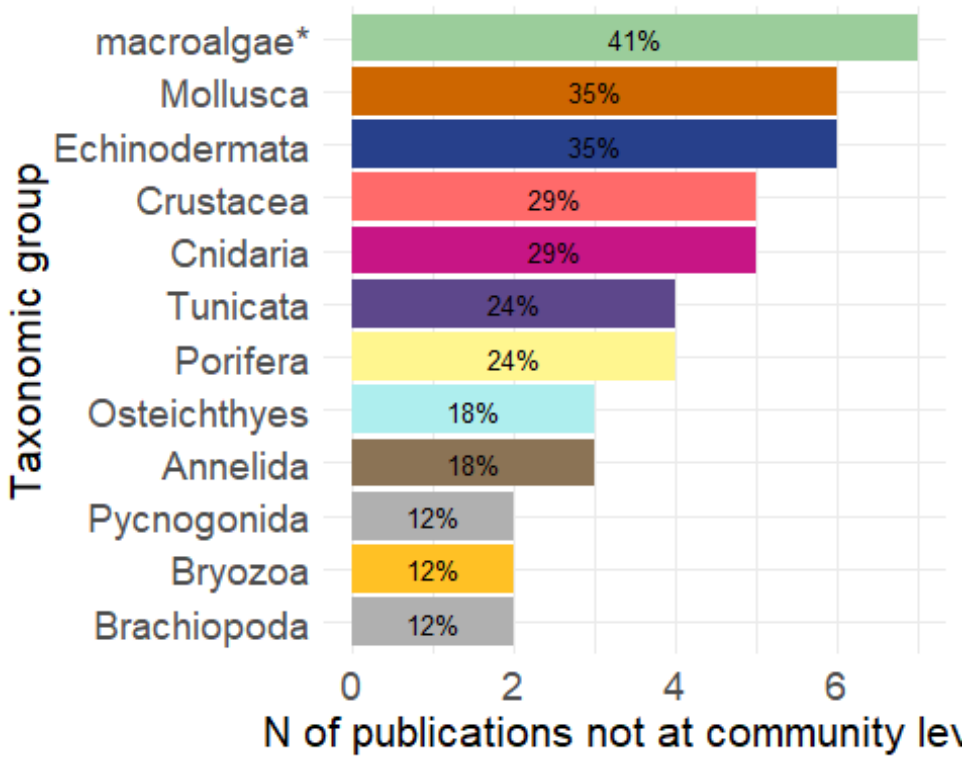

Export bar plot

```
ggsave("group_bar.png",
       plot = group_bar,
       units = "in", width = 7, height = 6,
       path = here ("Extracted_data_analysis",                    "polar",
                    "Output-Visualization"))
```

New species described per phyla

```
new_spec <- polar %>%
  filter(str_detect(taxonomic_publication, "taxa"))
```

```
new_spec %<>%
  select(File,
         detected_meso_cnidaria,
         detected_meso_sponges,
         detected_meso_seagrass,
         detected_meso_algae,
         detected_meso_mollusca,
         detected_meso_chondrichthyes,
         detected_meso_fish,
         detected_meso_crustacea,
         detected_meso_echino,
         detected_meso_other_taxa)
```

DATA CROSSING

```
table(polar$meso_protection)

##
##  nd  no yes
##  25   2   2
```

VISUALLY SURVEYED SURFACE

```
polar$visuallySurveyedSurface <- as.factor(polar$visuallySurveyedSurface)
summary(subset(polar, is.na(polar$taxonomic_publication))$visuallySurveyedSur
face)

##       <1      >10     >100    >1000   >10000  >100000 >1000000       nd
##        1        2        3        6        1        1        1       13
##   notapp
##        1
```

Observation

```
print(paste("Number of manipulative experimental studies:",nrow(subset(polar,
 grepl("exp", polar$observationalORexperimental)))))

## [1] "Number of manipulative experimental studies: 1"

print(paste("Number of manipulative experimental studies in the field of rest
oration:", nrow(subset(polar, grepl("exp", polar$observationalORexperimental)
 & polar$field_rest != 0)

               )
            )
      )

## [1] "Number of manipulative experimental studies in the field of restorati
on: 0"
```

Temp replicates & exp

```
print(paste("# Publications that included temporal replicates:", nrow(subset
(polar, grepl("yes", temporalReplicates)))))

## [1] "# Publications that included temporal replicates: 6"

print(paste("# Publications relying on a manipulative experiment that include
d temporal replicates:", nrow(subset(polar, (grepl("exp", polar$observational
ORexperimental) & grepl("yes", temporalReplicates))))))

## [1] "# Publications relying on a manipulative experiment that included tem
poral replicates: 1"
```

ROV & sample

```
rov <- subset(polar, grepl("rov", meso_samplingPlatform) )

rov_specimen <- subset(rov,  grepl("specimen", collectedDataType) )

print(paste("Percentage of publications relying solely on ROV where specimens
 were collected:", round(nrow(rov_specimen)/nrow(rov)*100,1),"%"))

## [1] "Percentage of publications relying solely on ROV where specimens were
 collected: 31.2 %"

rm(rov, rov_specimen)
```

Molecular techniques in taxonomic and non-taxonomic studies

```
polar$taxonomic_publication <- as.factor(polar$taxonomic_publication )

molecular <- polar %>%
  filter(molecularAnalyses != "no" &
           molecularAnalyses != "notapp" &
           molecularAnalyses != "nd")

print(paste("# Publications that adopted molecular techniques: ",nrow(molecul
ar)))

## [1] "# Publications that adopted molecular techniques:  2"

molecular_notaxa <- molecular %>%
  filter(is.na(taxonomic_publication))

print(paste("# Publications that adopted molecular techniques not for taxonom
y: ",nrow(molecular_notaxa)))

## [1] "# Publications that adopted molecular techniques not for taxonomy:  2
"

rm(molecular, molecular_notaxa)
```