Peering into the twilight - a systematic review on visual-based investigation of mesophotic ecosystems - TEMPERATE

Claudia Campanini

2026-03-31

Table of Contents

DATA PREPARATION 2
Load libraries 2
Load data 3
Subset for studies encompassing temperate latitudinal region 3
Cleaning 3
MISSING / ND / NOTAPP VALUES 3
GEOGRAPHICAL DISTRIBUTION 4
Provinces 5
Ecoregions 6
Realms 8
Export geographical distribution summary tables 8
COUNT COLUMNS WITH COMBO 8
Export summary tables 9
COUNT METHODS (PURELY TAXONOMIC STUDIES EXCLUDED) 12
COUNT COLUMNS SPLIT 15
COUNT METHODS (PURELY TAXONOMIC STUDIES EXCLUDED) 20
PUBLICATIONS PER DEPTH 23
PLATFORM BY DEPTH 25
DIRECT - INDIRECT BY DECADE 32
FIELD & INDICATORS 34
Calculate # of ecological indicators per record 39
SAMPLING UNIT 40
Prepare a data frame for sampling unit 40

Calculate # of sampling unit per record 41
Simplified sampling units 42
Quadrat extracted from transect 46
DATA TYPE 46
HABIT 49
SUBSTRATE 50
BENTHIC POSITION 53
TARGET 56
Target level 56
Detected phyla in community studies 57
Target taxonomic groups not at the community level 61
New species described per phyla 64
New species descriptions that included molecular analyses 67
DATA CROSSING 68
VISUALLY SURVEYED SURFACE 68
Observation 68
Temp replicates & exp 68
Health 69
ROV & sample 70
Molecular techniques in taxonomic and non-taxonomic studies 70

DATA PREPARATION

Load libraries

```
library(here)

## here() starts at C:/Users/claud/Documents/COMUNE/STUDIO_LAVORO/Data_analys
is/Projects/Mesophotic_systematic_lit_rev_analysis

library(dplyr)

##
## Caricamento pacchetto: 'dplyr'

## I seguenti oggetti sono mascherati da 'package:stats':
##
##     filter, lag
```

```
## I seguenti oggetti sono mascherati da 'package:base':
##
##     intersect, setdiff, setequal, union
```

```r
library(ggplot2)
library(readxl)   # to import excel data sets
library(magrittr)
library(stringr) #many data wrangling functions
library(readxl)
```

Load data

```r
temperate <- read_excel(here("Extracted_data_analysis","Input_data","extracte
d_raw.xlsx"))
```

Subset for studies encompassing temperate latitudinal region

```r
temperate <- subset(temperate, str_detect(temperate$latitudinalRegion, "tempe
rate"))
```

Cleaning

Clean year columns

```r
#keep the year only in the year column (in some rows exact time is specified)
temperate$publicationYear <-  stringr::str_remove(temperate$publicationYear,
                                  pattern = "\\-.*")
```

MISSING / ND / NOTAPP VALUES

Create a summary table

```r
library(purrr)
```

```
##
## Caricamento pacchetto: 'purrr'

## Il seguente oggetto è mascherato da 'package:magrittr':
##
##     set_names
```

```r
library(tibble)

# Get all column names
cols <- names(temperate[,-c(1:13)])

# Create a summary list
summary_list <- map(cols, function(col) {
  data <- temperate[,-c(1:13)][[col]]

  tibble(
    Column     = col,
```

```r
    unique    = paste(unique(data), collapse = ", "),
    nd        = sum(data == "nd", na.rm = TRUE),
    notapp    = sum(data == "notapp", na.rm = TRUE),
    assigned  = sum(!is.na(data) & data != "nd" & data != "notapp"),
    `NA`        = sum(is.na(data)),
    total     = sum(data == "nd", na.rm = TRUE) +
                sum(data == "notapp", na.rm = TRUE) +
                sum(!is.na(data) & data != "nd" & data != "notapp")
  )
})

# Combine into one dataframe
summary_df <- bind_rows(summary_list)

summary_df
```

```
## # A tibble: 72 × 7
##    Column                 unique                  nd notapp assigned  `NA`
 total
##    <chr>                  <chr>                <int>  <int>    <int> <int>
 <int>
##  1 meso_direct_indirect   indirect, direct, m…     2      0      537     0
   539
##  2 meso_samplingPlatform  rov+trawl, acou+dre…     2      0      537     0
   539
##  3 taxonomic_publication  NA, taxa++, taxa         0      0       15   524
    15
##  4 meso_substrate         artificial+hard+sof…    12      0      494    33
   506
##  5 meso_habitat           cwc+mud+sandy+wreck…    10      0      491    38
   501
##  6 meso_protection        nd, yes, mixed, no     290      0      249     0
   539
##  7 taxonomicTargetLevel   group, comm+group, …     0     16      523     0
   539
##  8 habit                  sessile, mixed, not…     0     15      524     0
   539
##  9 environmentalPosition  endo+epi, epi, dem+…     0      7      532     0
   539
## 10 detected_meso_seagrass NA, x, notapp            0     10       26   503
    36
## # ℹ 62 more rows
```

```r
rm(summary_list, cols)
```

GEOGRAPHICAL DISTRIBUTION

```r
location <- temperate[,c (
  "recordTitle","DOI","publicationYear","prov_code","ecoreg_code")]
```

Load Marine Ecoregion of the World data

```
meow <- read.csv(file=here("Extracted_data_analysis","Input_data","MEOW.csv"))
```

Provinces

```
prov <- location

prov_lvls <-
  unique(
    unlist(
      str_split(location$prov_code, "\\_")
                                 )
                         )



prov[,prov_lvls] <- sapply(prov_lvls,
                                        function(y){
                                          str_count(location$prov_code, y)
                                          }
                                        )
rm(prov_lvls)
```

Create a column with the sum of provinces per publication

```
prov %<>%
   mutate(
     prov_per_record = rowSums(
     across(
       where(is.numeric)
       )
     )
   )

prov$prov_per_record <- as.factor(prov$prov_per_record)

prov_per_record_df <- prov %>%
  group_by(prov_per_record) %>%
  summarise(n_records = length(prov_per_record)) %>%
  mutate(percentage= round(n_records / sum(n_records) * 100,0))

prov_per_record_df

## # A tibble: 7 × 3
##   prov_per_record n_records percentage
##   <fct>               <int>      <dbl>
## 1 1                     418         78
## 2 2                      46          9
## 3 3                      56         10
## 4 4                       5          1
## 5 5                       8          1
```

```
## 6 6                          5          1
## 7 11                         1          0
```

Create a data frame with number of publication per province

```
prov_tot <-
  prov [, -(length(prov)-1)] %>% # filter out the sum column
  summarise(across(where(is.numeric),
                   list(sum)
                   )
            )

prov_tot <- reshape2::melt(prov_tot, id.vars = NULL)

colnames(prov_tot) <- c("Province", "Count")

prov_tot %<>%
      mutate_at("Province",
                stringr::str_replace, "_1", "")
```

Ecoregions

```
ecoreg <- location
ecoreg_lvls <-
  unique(
    unlist(
      str_split(ecoreg$ecoreg_code, "\\_")
                                )
                          )

ecoreg_lvls<- ecoreg_lvls[! ecoreg_lvls %in% c("")]

ecoreg[,ecoreg_lvls] <- sapply(ecoreg_lvls,
                                       function(y){
                                         str_count(ecoreg$ecoreg_code, y)
                                         }
                                       )
```

Create a column with the number of ecoregions per study

```
ecoreg %<>%
   mutate(
     ecoreg_per_record = rowSums(
     across(
       where(is.numeric)
       )
     )
   )

ecoreg$ecoreg_per_record <- as.factor(ecoreg$ecoreg_per_record)
```

Calculate number of records by number of ecoregions in %

```
ecoreg_per_record_df <- ecoreg %>%
  group_by(ecoreg_per_record) %>%
  summarise(n_records = length(ecoreg_per_record)) %>%
  mutate(percentage= round(n_records / sum(n_records) * 100,1))

ecoreg_per_record_df
```

```
## # A tibble: 5 × 3
##   ecoreg_per_record n_records percentage
##   <fct>                 <int>      <dbl>
## 1 1                       472       87.6
## 2 2                        40        7.4
## 3 3                        18        3.3
## 4 4                         7        1.3
## 5 5                         2        0.4
```

Create a data frame with number of publication per ecoregion

```
ecoreg_tot <-
  ecoreg [, -(length(ecoreg)-1)] %>% # filter out the sum column
  summarise(across(where(is.numeric),
                   list(sum)
                   )
            )

ecoreg_tot <- reshape2::melt(ecoreg_tot, id.vars = NULL)

colnames(ecoreg_tot) <- c("Ecoregion", "Count")

ecoreg_tot %<>%
      mutate_at("Ecoregion",
                stringr::str_replace, "_1", "")
```

Add count column to Meow and set 0 to all the ecoregions where no study was conducted

```
colnames(ecoreg_tot)[colnames(ecoreg_tot) == 'Ecoregion'] <- 'ECO_CODE'
ecoreg_tot$ECO_CODE <- as.character(ecoreg_tot$ECO_CODE)
meow$ECO_CODE <- as.character(meow$ECO_CODE)



ecoreg_tot <-
  left_join(meow, ecoreg_tot, by = 'ECO_CODE') %>%
  mutate(Count = replace(Count, is.na(Count), 0))
```

Export count per ecoregion to csv for the map in QGIS

```
writexl::write_xlsx(ecoreg_tot,
           here("Extracted_data_analysis","temperate","Output-Transformed_dat
a","eco_reg_tot.xlsx"))
```

Realms

```
realms <- ecoreg_tot %>%
    group_by(RLM_CODE, REALM) %>%
  summarise(Count=sum(Count))

## `summarise()` has regrouped the output.
## ℹ Summaries were computed grouped by RLM_CODE and REALM.
## ℹ Output is grouped by RLM_CODE.
## ℹ Use `summarise(.groups = "drop_last")` to silence this message.
## ℹ Use `summarise(.by = c(RLM_CODE, REALM))` for per-operation grouping
##   (`?dplyr::dplyr_by`) instead.

realms %<>%
  rename(Code = RLM_CODE,
         Realm = REALM)

writexl::write_xlsx(realms,
           here("Extracted_data_analysis","temperate","Output-Transformed_dat
a","Realm_count.xlsx"))
```

Export geographical distribution summary tables

```
writexl::write_xlsx(list(realms, prov_tot, prov_per_record_df, ecoreg_tot, ec
oreg_per_record_df),
           here("Extracted_data_analysis","temperate","Output-Transformed_dat
a","geographical_distribution_summary.xlsx"))
```

COUNT COLUMNS WITH COMBO

Create a subset of columns

```
count_columns <- temperate %>%
  select(File,
         meso_substrate,
         habit,
         environmentalPosition,
         observationalORexperimental,
         taxonomicTargetLevel,
         indicators,
         collectedDataType,
         molecularAnalyses)
```

Prepare data set with columns that need count only and add percentage column

```
count_columns[,] <- lapply(count_columns[,], as.factor)

count_results <- list()

for (col_name in colnames(count_columns)) {
```

```r
  counts <- count(count_columns, !!sym(col_name))

  count_results[[col_name]] <- counts

  colnames(count_results[[col_name]]) <- c(col_name, "Count")

  count_results[[col_name]] %<>%
    filter(
      if_all(.cols = everything(), ~ !grepl("notapp", .x))
    ) %>% # delete rows with "notapp"
    tidyr::drop_na()

  count_results[[col_name]] %<>%
    mutate(Percentage= round(Count / sum(Count) * 100,2))
}

rm(col_name, counts)

count_results <- count_results[names(count_results) != "File"]
```

Export summary tables

```r
library(openxlsx)

write.xlsx(count_results,
           file = here("Extracted_data_analysis",
                       "temperate",
                       "Output-Transformed_data",
                     "summary_counts_question_1-3.xlsx"))
```

Create treemaps charts

```r
treemap_func = function(dat,var) {
  ggplot(dat,
       aes(area=Count,
           fill=.data[[var]],
           line = "black",
           label=paste0(.data[[var]],
                        " \n ",Percentage,"%"))
       )+
  treemapify::geom_treemap(layout = "squarified")+
  treemapify::geom_treemap_text(place = "centre",
                     size = 20)+
  labs(title = var)+
    theme(plot.title = element_text(hjust = 0.5, size= 20),
          legend.position = "none")

}

treemap_counts <- list()
```

```
for (col_name in colnames(count_columns[,-1])) {

  treemap_counts[[col_name]] <- treemap_func(dat= count_results[[col_name]],
var = col_name)

}

treemap_counts[[1]]
```

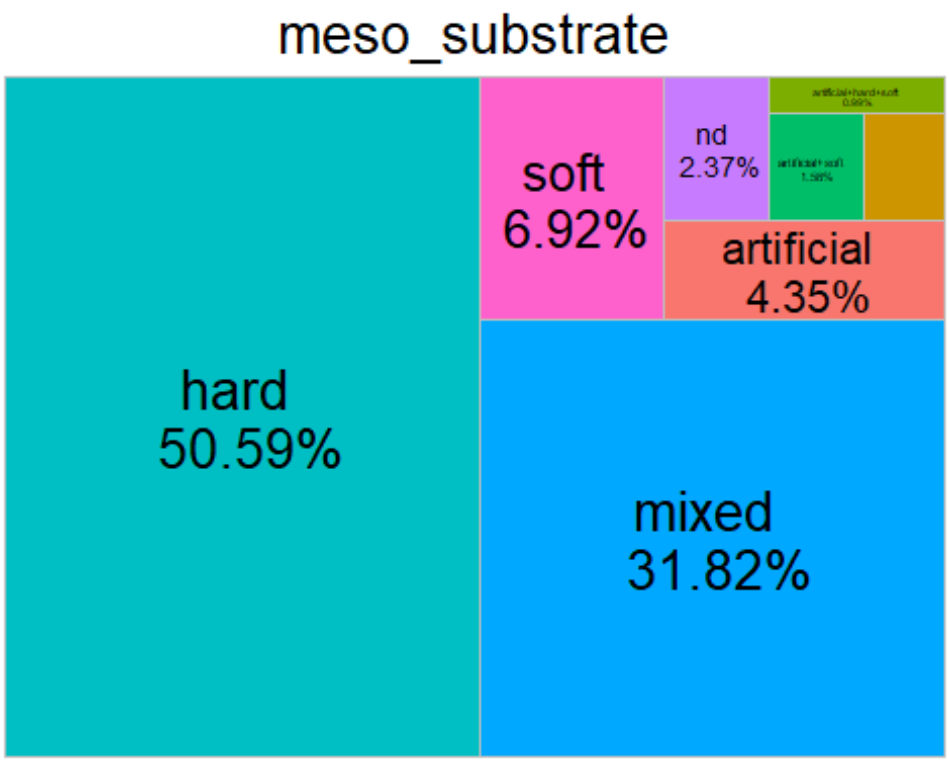

Save all tree maps plots

```
lapply(names(treemap_counts), function(x){
  ggsave(filename=paste0(x,".tiff"),
         plot=treemap_counts[[x]],
         units = "in", width=12, height=4, dpi=300, compression = 'lzw',
         path = here("Extracted_data_analysis",
                     "temperate",
                     "Output-Visualization",
                   "Treemap_counts"),
         create.dir = T
         )
  })

## [[1]]
## [1] "C:/Users/claud/Documents/COMUNE/STUDIO_LAVORO/Data_analysis/Projects/
Mesophotic_systematic_lit_rev_analysis/Extracted_data_analysis/temperate/Outp
```

```
ut-Visualization/Treemap_counts/meso_substrate.tiff"
##
## [[2]]
## [1] "C:/Users/claud/Documents/COMUNE/STUDIO_LAVORO/Data_analysis/Projects/
Mesophotic_systematic_lit_rev_analysis/Extracted_data_analysis/temperate/Outp
ut-Visualization/Treemap_counts/habit.tiff"
##
## [[3]]
## [1] "C:/Users/claud/Documents/COMUNE/STUDIO_LAVORO/Data_analysis/Projects/
Mesophotic_systematic_lit_rev_analysis/Extracted_data_analysis/temperate/Outp
ut-Visualization/Treemap_counts/environmentalPosition.tiff"
##
## [[4]]
## [1] "C:/Users/claud/Documents/COMUNE/STUDIO_LAVORO/Data_analysis/Projects/
Mesophotic_systematic_lit_rev_analysis/Extracted_data_analysis/temperate/Outp
ut-Visualization/Treemap_counts/observationalORexperimental.tiff"
##
## [[5]]
## [1] "C:/Users/claud/Documents/COMUNE/STUDIO_LAVORO/Data_analysis/Projects/
Mesophotic_systematic_lit_rev_analysis/Extracted_data_analysis/temperate/Outp
ut-Visualization/Treemap_counts/taxonomicTargetLevel.tiff"
##
## [[6]]
## [1] "C:/Users/claud/Documents/COMUNE/STUDIO_LAVORO/Data_analysis/Projects/
Mesophotic_systematic_lit_rev_analysis/Extracted_data_analysis/temperate/Outp
ut-Visualization/Treemap_counts/indicators.tiff"
##
## [[7]]
## [1] "C:/Users/claud/Documents/COMUNE/STUDIO_LAVORO/Data_analysis/Projects/
Mesophotic_systematic_lit_rev_analysis/Extracted_data_analysis/temperate/Outp
ut-Visualization/Treemap_counts/collectedDataType.tiff"
##
## [[8]]
## [1] "C:/Users/claud/Documents/COMUNE/STUDIO_LAVORO/Data_analysis/Projects/
Mesophotic_systematic_lit_rev_analysis/Extracted_data_analysis/temperate/Outp
ut-Visualization/Treemap_counts/molecularAnalyses.tiff"
```

```r
lapply(names(treemap_counts), function(x){
  ggsave(filename=paste0(x,".png"),
         plot=treemap_counts[[x]],
         units = "in", width=12, height=4, dpi=300,
         path = here("Extracted_data_analysis",
                     "temperate",
                     "Output-Visualization",
                   "Treemap_counts"),
         create.dir = T
         )
  })
```

```
## [[1]]
## [1] "C:/Users/claud/Documents/COMUNE/STUDIO_LAVORO/Data_analysis/Projects/
Mesophotic_systematic_lit_rev_analysis/Extracted_data_analysis/temperate/Outp
ut-Visualization/Treemap_counts/meso_substrate.png"
##
## [[2]]
## [1] "C:/Users/claud/Documents/COMUNE/STUDIO_LAVORO/Data_analysis/Projects/
Mesophotic_systematic_lit_rev_analysis/Extracted_data_analysis/temperate/Outp
ut-Visualization/Treemap_counts/habit.png"
##
## [[3]]
## [1] "C:/Users/claud/Documents/COMUNE/STUDIO_LAVORO/Data_analysis/Projects/
Mesophotic_systematic_lit_rev_analysis/Extracted_data_analysis/temperate/Outp
ut-Visualization/Treemap_counts/environmentalPosition.png"
##
## [[4]]
## [1] "C:/Users/claud/Documents/COMUNE/STUDIO_LAVORO/Data_analysis/Projects/
Mesophotic_systematic_lit_rev_analysis/Extracted_data_analysis/temperate/Outp
ut-Visualization/Treemap_counts/observationalORexperimental.png"
##
## [[5]]
## [1] "C:/Users/claud/Documents/COMUNE/STUDIO_LAVORO/Data_analysis/Projects/
Mesophotic_systematic_lit_rev_analysis/Extracted_data_analysis/temperate/Outp
ut-Visualization/Treemap_counts/taxonomicTargetLevel.png"
##
## [[6]]
## [1] "C:/Users/claud/Documents/COMUNE/STUDIO_LAVORO/Data_analysis/Projects/
Mesophotic_systematic_lit_rev_analysis/Extracted_data_analysis/temperate/Outp
ut-Visualization/Treemap_counts/indicators.png"
##
## [[7]]
## [1] "C:/Users/claud/Documents/COMUNE/STUDIO_LAVORO/Data_analysis/Projects/
Mesophotic_systematic_lit_rev_analysis/Extracted_data_analysis/temperate/Outp
ut-Visualization/Treemap_counts/collectedDataType.png"
##
## [[8]]
## [1] "C:/Users/claud/Documents/COMUNE/STUDIO_LAVORO/Data_analysis/Projects/
Mesophotic_systematic_lit_rev_analysis/Extracted_data_analysis/temperate/Outp
ut-Visualization/Treemap_counts/molecularAnalyses.png"
```

COUNT METHODS (PURELY TAXONOMIC STUDIES EXCLUDED)

Remove purely taxonomic studies and subset columns (taxa++ was assigned to studies that led to the description of new species but where also ecological e.g. describing community for a given taxonomic group)

```
methods <- temperate %>%
  filter(taxonomic_publication == "taxa++" |  is.na(taxonomic_publication) )
 %>%
  select(File,
         meso_design,
         meso_replicates,
         temporalReplicates,
         abioticVariablesCollection,
         abioticVariables)

count_columns_method <- methods
```

Prepare data set with columns that need count only and add percentage column

```
count_columns_method[,] <- lapply(count_columns_method[,], as.factor)

count_results_method <- list()

for (col_name in colnames(count_columns_method)) {
  counts <- count(count_columns_method, !!sym(col_name))

  count_results_method[[col_name]] <- counts

  colnames(count_results_method[[col_name]]) <- c(col_name, "Count")

  count_results_method[[col_name]] %<>%
    filter(
      if_all(.cols = everything(), ~ !grepl("notapp", .x))
    ) %>%  # delete rows with "notapp"
    tidyr::drop_na()

  count_results_method[[col_name]] %<>%
    mutate(Percentage= round(Count / sum(Count) * 100,1))
}

rm(col_name, counts)

count_results_method <- count_results_method[names(count_results_method) != "
File"]
```

Export summary tables

```
library(openxlsx)

write.xlsx(count_results_method,
           file = here("Extracted_data_analysis",                        "tem
perate",                        "Output-Transformed_data",
                    "summary_counts_question_4.xlsx"))
```

Create treemaps charts

```
treemap_func = function(dat,var) {
  ggplot(dat,
       aes(area=Count,
           fill=.data[[var]],
           line = "black",
           label=paste0(.data[[var]],
                        " \n ",Percentage,"%"))
       )+
  treemapify::geom_treemap(layout = "squarified")+
  treemapify::geom_treemap_text(place = "centre",
                    size = 20)+
  labs(title = var)+
    theme(plot.title = element_text(hjust = 0.5, size= 20),
          legend.position = "none")

}

treemap_counts <- list()

for (col_name in colnames(count_columns_method[,-1])) {

  treemap_counts[[col_name]] <- treemap_func(dat= count_results_method[[col_n
ame]], var = col_name)

}

treemap_counts[[1]]
```

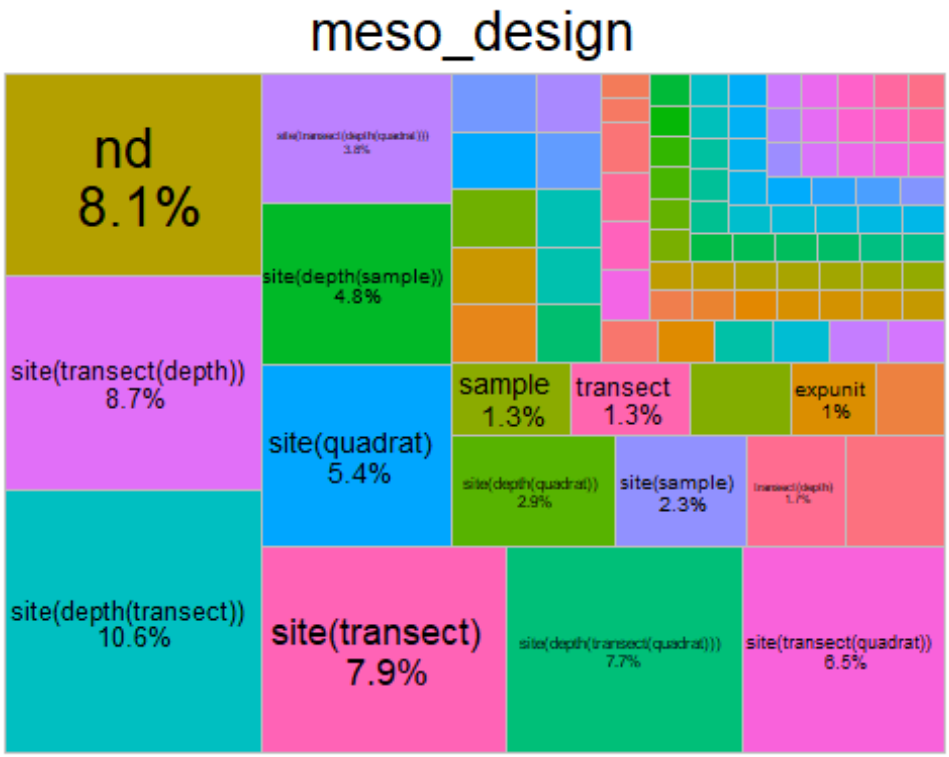

Save all tree maps plots

```
lapply(names(treemap_counts), function(x){
  ggsave(filename=paste0("treemap",x,".tiff"),
         plot=treemap_counts[[x]],
         units = "in", width=12, height=4, dpi=300, compression = 'lzw',
         path = here("Extracted_data_analysis","temperate",
      "Output-Visualization","Treemaps_methods"),
         create.dir = T
         )
  })

lapply(names(treemap_counts), function(x){
  ggsave(filename=paste0("treemap",x,".png"),
         plot=treemap_counts[[x]],
         units = "in", width=12, height=4, dpi=300,
         path = here("Extracted_data_analysis",                        "tempe
rate",                        "Output-Visualization","Treemaps_methods"),
         create.dir = T
         )
  })
```

COUNT COLUMNS SPLIT

Create a list of data frame splitting values

```r
split_columns <- temperate %>%
  select(meso_substrate,
         habit,
         environmentalPosition,
         observationalORexperimental,
         taxonomicTargetLevel,
         indicators,
         collectedDataType,
         molecularAnalyses)


split_columns[,] <- lapply(split_columns[,], as.factor)
```

Prepare data set with columns

```r
split_results <- list()

for (col_name in colnames(split_columns)) {
  # Split the values of each column by "+"
  lvls <- unique(unlist(str_split(split_columns[[col_name]], "\\+")))

  # Initialize a list to store counts for each level
  split_counts <- sapply(lvls, function(y) {
    # Count how many times each unique level appears in the column
    str_count(split_columns[[col_name]], fixed(y))
    }
    )

  split_results[[col_name]] <- split_counts
}

## Warning in stri_count_fixed(string, pattern, opts_fixed = opts(pattern)):
empty
## search patterns are not supported

rm(lvls)
```

Add percentage column

```r
split_tot <- list()

for(col_name in colnames(split_columns)) {
  split_results[[col_name]] <- as.data.frame(split_results[[col_name]])

  split_results[[col_name]] %<>% # delete rows with missing values
    select(where(function(x) any(!is.na(x)))) %>%
    select(-any_of("notapp")) %>%
    tidyr::drop_na()

    split_tot[[col_name]] <- as.data.frame(split_results[[col_name]]) %>%
```

```
    summarise(across(where(is.numeric), list(sum)))

  split_tot[[col_name]]  <- reshape2::melt(split_tot[[col_name]], id.vars = N
ULL)

  colnames(split_tot[[col_name]]) <- c(col_name, "Count")

  split_tot[[col_name]] %<>%
        mutate_at(col_name,
                  stringr::str_replace, "_1", "")


  split_tot[[col_name]] %<>%
      mutate(Percentage= round(Count / nrow(split_results[[col_name]] ) * 100,
2))

}

rm(col_name)
```

Export summary tables

```
library(openxlsx)

write.xlsx(split_tot,
           file = here("Extracted_data_analysis",                        "tem
perate",                        "Output-Transformed_data",
                     "summary_split_counts_question_1_3.xlsx"))
```

Create bar charts for each collected parameter

```
barchart_func = function(dat,var) {

 ggplot(dat,
       aes(x = reorder(.data[[var]], Count), y = Count, fill= .data[[var]]))
+
  geom_bar(stat = "identity", fill = "#0097A7") +
  geom_text(
    data = dat %>% filter(Percentage >= 2),
    aes(label = paste0(round(Percentage, 0), "%")),
    position = position_stack(vjust =0.5),
    color = "black",
    size = 2.5
  )+
  labs(y = "# Publications", x = var) +
  theme_minimal() +
  coord_flip()+  # optional: flips for horizontal bars
  theme(legend.position ="none")
```

```
}

barchart_counts <- list()

for (col_name in colnames(split_columns)) {

  barchart_counts[[col_name]] <- barchart_func(dat= split_tot[[col_name]], va
r = as.character(col_name))

}

barchart_counts[[1]]
```

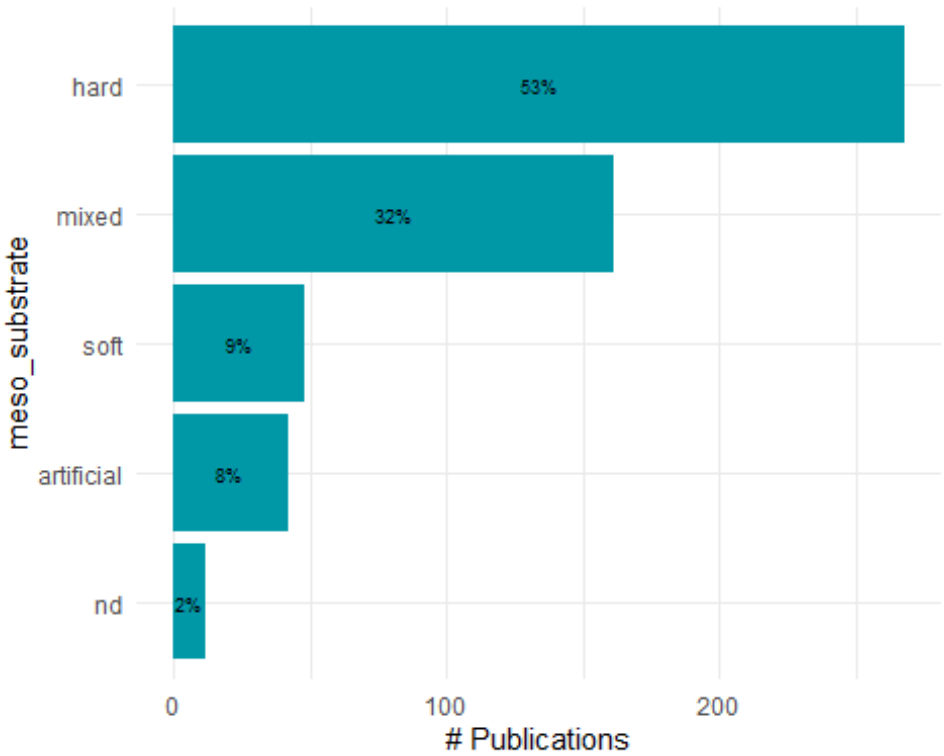


```
lapply(names(barchart_counts), function(x){
  ggsave(filename=paste0("bar_",x,".tiff"),
         plot=barchart_counts[[x]],
         units = "in", width=12, height=4, dpi=300, compression = 'lzw',
         path = here("Extracted_data_analysis",                        "tempe
rate",                        "Output-Visualization","Barcharts_split"),
         create.dir = T
         )
  })

## [[1]]
## [1] "C:/Users/claud/Documents/COMUNE/STUDIO_LAVORO/Data_analysis/Projects/
Mesophotic_systematic_lit_rev_analysis/Extracted_data_analysis/temperate/Outp
```

```
ut-Visualization/Barcharts_split/bar_meso_substrate.tiff"
##
## [[2]]
## [1] "C:/Users/claud/Documents/COMUNE/STUDIO_LAVORO/Data_analysis/Projects/
Mesophotic_systematic_lit_rev_analysis/Extracted_data_analysis/temperate/Outp
ut-Visualization/Barcharts_split/bar_habit.tiff"
##
## [[3]]
## [1] "C:/Users/claud/Documents/COMUNE/STUDIO_LAVORO/Data_analysis/Projects/
Mesophotic_systematic_lit_rev_analysis/Extracted_data_analysis/temperate/Outp
ut-Visualization/Barcharts_split/bar_environmentalPosition.tiff"
##
## [[4]]
## [1] "C:/Users/claud/Documents/COMUNE/STUDIO_LAVORO/Data_analysis/Projects/
Mesophotic_systematic_lit_rev_analysis/Extracted_data_analysis/temperate/Outp
ut-Visualization/Barcharts_split/bar_observationalORexperimental.tiff"
##
## [[5]]
## [1] "C:/Users/claud/Documents/COMUNE/STUDIO_LAVORO/Data_analysis/Projects/
Mesophotic_systematic_lit_rev_analysis/Extracted_data_analysis/temperate/Outp
ut-Visualization/Barcharts_split/bar_taxonomicTargetLevel.tiff"
##
## [[6]]
## [1] "C:/Users/claud/Documents/COMUNE/STUDIO_LAVORO/Data_analysis/Projects/
Mesophotic_systematic_lit_rev_analysis/Extracted_data_analysis/temperate/Outp
ut-Visualization/Barcharts_split/bar_indicators.tiff"
##
## [[7]]
## [1] "C:/Users/claud/Documents/COMUNE/STUDIO_LAVORO/Data_analysis/Projects/
Mesophotic_systematic_lit_rev_analysis/Extracted_data_analysis/temperate/Outp
ut-Visualization/Barcharts_split/bar_collectedDataType.tiff"
##
## [[8]]
## [1] "C:/Users/claud/Documents/COMUNE/STUDIO_LAVORO/Data_analysis/Projects/
Mesophotic_systematic_lit_rev_analysis/Extracted_data_analysis/temperate/Outp
ut-Visualization/Barcharts_split/bar_molecularAnalyses.tiff"
```

```r
lapply(names(barchart_counts), function(x){
  ggsave(filename=paste0("bar_",x,".png"),
         plot=barchart_counts[[x]],
         units = "in", width=12, height=4, dpi=300,
         path = here("Extracted_data_analysis",                        "tempe
rate",                        "Output-Visualization","Barcharts_split"),
         create.dir = T
         )
  })
```

```
## [[1]]
## [1] "C:/Users/claud/Documents/COMUNE/STUDIO_LAVORO/Data_analysis/Projects/
Mesophotic_systematic_lit_rev_analysis/Extracted_data_analysis/temperate/Outp
```

```
ut-Visualization/Barcharts_split/bar_meso_substrate.png"
##
## [[2]]
## [1] "C:/Users/claud/Documents/COMUNE/STUDIO_LAVORO/Data_analysis/Projects/
Mesophotic_systematic_lit_rev_analysis/Extracted_data_analysis/temperate/Outp
ut-Visualization/Barcharts_split/bar_habit.png"
##
## [[3]]
## [1] "C:/Users/claud/Documents/COMUNE/STUDIO_LAVORO/Data_analysis/Projects/
Mesophotic_systematic_lit_rev_analysis/Extracted_data_analysis/temperate/Outp
ut-Visualization/Barcharts_split/bar_environmentalPosition.png"
##
## [[4]]
## [1] "C:/Users/claud/Documents/COMUNE/STUDIO_LAVORO/Data_analysis/Projects/
Mesophotic_systematic_lit_rev_analysis/Extracted_data_analysis/temperate/Outp
ut-Visualization/Barcharts_split/bar_observationalORexperimental.png"
##
## [[5]]
## [1] "C:/Users/claud/Documents/COMUNE/STUDIO_LAVORO/Data_analysis/Projects/
Mesophotic_systematic_lit_rev_analysis/Extracted_data_analysis/temperate/Outp
ut-Visualization/Barcharts_split/bar_taxonomicTargetLevel.png"
##
## [[6]]
## [1] "C:/Users/claud/Documents/COMUNE/STUDIO_LAVORO/Data_analysis/Projects/
Mesophotic_systematic_lit_rev_analysis/Extracted_data_analysis/temperate/Outp
ut-Visualization/Barcharts_split/bar_indicators.png"
##
## [[7]]
## [1] "C:/Users/claud/Documents/COMUNE/STUDIO_LAVORO/Data_analysis/Projects/
Mesophotic_systematic_lit_rev_analysis/Extracted_data_analysis/temperate/Outp
ut-Visualization/Barcharts_split/bar_collectedDataType.png"
##
## [[8]]
## [1] "C:/Users/claud/Documents/COMUNE/STUDIO_LAVORO/Data_analysis/Projects/
Mesophotic_systematic_lit_rev_analysis/Extracted_data_analysis/temperate/Outp
ut-Visualization/Barcharts_split/bar_molecularAnalyses.png"
```

COUNT METHODS (PURELY TAXONOMIC STUDIES EXCLUDED)

Create data frame with subset

```
split_columns_methods <- methods

split_columns_methods[,] <- lapply(split_columns_methods[,], as.factor)
```

Prepare data set with columns

```r
split_results_methods <- list()

for (col_name in colnames(split_columns_methods)) {
  # Split the values of each column by "+"
  lvls <- unique(unlist(str_split(split_columns_methods[[col_name]], "\\+")))

  # Initialize a list to store counts for each level
  split_counts_methods <- sapply(lvls, function(y) {
    # Count how many times each unique level appears in the column
    str_count(split_columns_methods[[col_name]], fixed(y))
    }
    )

  split_results_methods[[col_name]] <- split_counts_methods
}

rm(lvls)
```

Add percentage column

```r
split_tot_methods <- list()

for(col_name in colnames(split_columns_methods)) {
  split_results_methods[[col_name]] <- as.data.frame(split_results_methods[[c
ol_name]])

  split_results_methods[[col_name]] %<>% # delete rows with missing values
    select(where(function(x) any(!is.na(x)))) %>%
    select(-any_of("notapp")) %>%
    tidyr::drop_na()

    split_tot_methods[[col_name]] <- as.data.frame(split_results_methods[[col
_name]]) %>%
    summarise(across(where(is.numeric), list(sum)))

  split_tot_methods[[col_name]]  <- reshape2::melt(split_tot_methods[[col_nam
e]], id.vars = NULL)

  colnames(split_tot_methods[[col_name]]) <- c(col_name, "Count")

  split_tot_methods[[col_name]] %<>%
        mutate_at(col_name,
                  stringr::str_replace, "_1", "")


  split_tot_methods[[col_name]] %<>%
      mutate(Percentage= round(Count / nrow(split_results_methods[[col_name]]
 ) * 100,2))
```

```
}

rm(col_name)
```

Export summary tables

```
library(openxlsx)

write.xlsx(split_results_methods,
           file = here("Extracted_data_analysis",                        "tem
perate",                          "Output-Transformed_data",
                     "summary_split_counts_question_4.xlsx"))
```

Create bar charts per each parameter collected

```
barchart_func = function(dat,var) {

 ggplot(dat,
       aes(x = reorder(.data[[var]], Count), y = Count, fill= .data[[var]]))
+
  geom_bar(stat = "identity", fill = "#0097A7") +
  geom_text(
    data = dat %>% filter(Percentage >= 2),
    aes(label = paste0(round(Percentage, 0), "%")),
    position = position_stack(vjust =0.5),
    color = "black",
    size = 2.5
  )+
  labs(y = "# Publications", x = var) +
  theme_minimal() +
  coord_flip()+  # optional: flips for horizontal bars
  theme(legend.position ="none")

}

barchart_split_methods <- list()

for (col_name in colnames(split_columns_methods)) {

  barchart_split_methods[[col_name]] <- barchart_func(dat= split_tot_methods
[[col_name]], var = as.character(col_name))

}

barchart_split_methods[[4]]
```

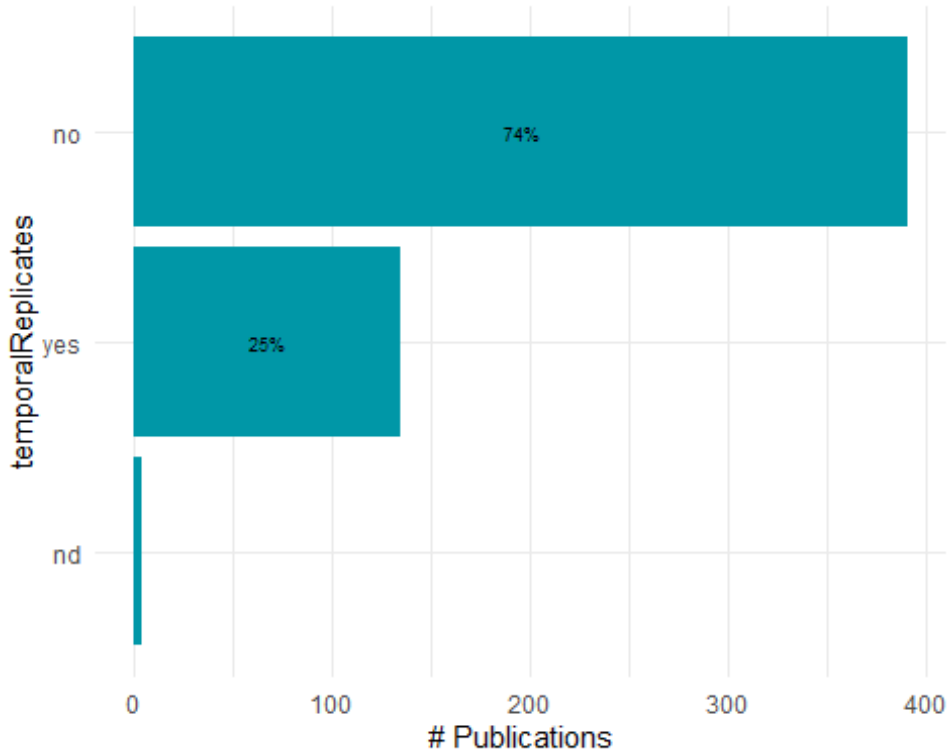

Export bar charts in a dedicated folder

```
lapply(names(barchart_counts), function(x){
  ggsave(filename=paste0("bar_",x,".tiff"),
         plot=barchart_counts[[x]],
         units = "in", width=12, height=4, dpi=300, compression = 'lzw',
         path = here("Extracted_data_analysis",                        "tempe
rate",                        "Output-Visualization","Barcharts_split_methods
"), create.dir = T
         )
  })

lapply(names(barchart_counts), function(x){
  ggsave(filename=paste0("bar_",x,".png"),
         plot=barchart_counts[[x]],
         units = "in", width=12, height=4, dpi=300,
         path = here("Extracted_data_analysis",                        "tempe
rate",                        "Output-Visualization","Barcharts_split"), crea
te.dir = T
         )
  })
```

PUBLICATIONS PER DEPTH

```
temperate$mininumSurveyedDepthInMeters <- as.numeric(temperate$mininumSurveye
dDepthInMeters)
```

```
## Warning: NA introdotti per coercizione

temperate$maximumSurveyedDepthInMeters <- as.numeric(temperate$maximumSurveye
dDepthInMeters)

## Warning: NA introdotti per coercizione

# Define depth bins
bins <- seq(31, 151, by = 10)

# Create a data frame to hold bin counts
pubs_depth <- data.frame(
  bin_start = bins[-length(bins)],
  bin_end = bins[-1]-1,
  count = 0
)

# For each bin, count how many studies cover that depth range
for (i in 1:nrow(pubs_depth)) {
  bin_start <- pubs_depth$bin_start[i]
  bin_end <- pubs_depth$bin_end[i]

  pubs_depth$count[i] <- sum(temperate$maximumSurveyedDepthInMeters >= bin_st
art & temperate$mininumSurveyedDepthInMeters < bin_end, na.rm = TRUE)
}

pubs_depth$depth_bin <- paste(pubs_depth$bin_start, "-", pubs_depth$bin_end)

pubs_depth$depth_bin <- reorder(pubs_depth$depth_bin, -pubs_depth$bin_start)


ggplot(pubs_depth, aes(x = factor(depth_bin), y = count)) +
  geom_bar(stat = "identity", fill = "#440154") +
  labs(x = "Depth interval (m)", y = "Number of publications") +
  theme_minimal()+
  coord_flip()+
  scale_y_continuous(position="right")
```

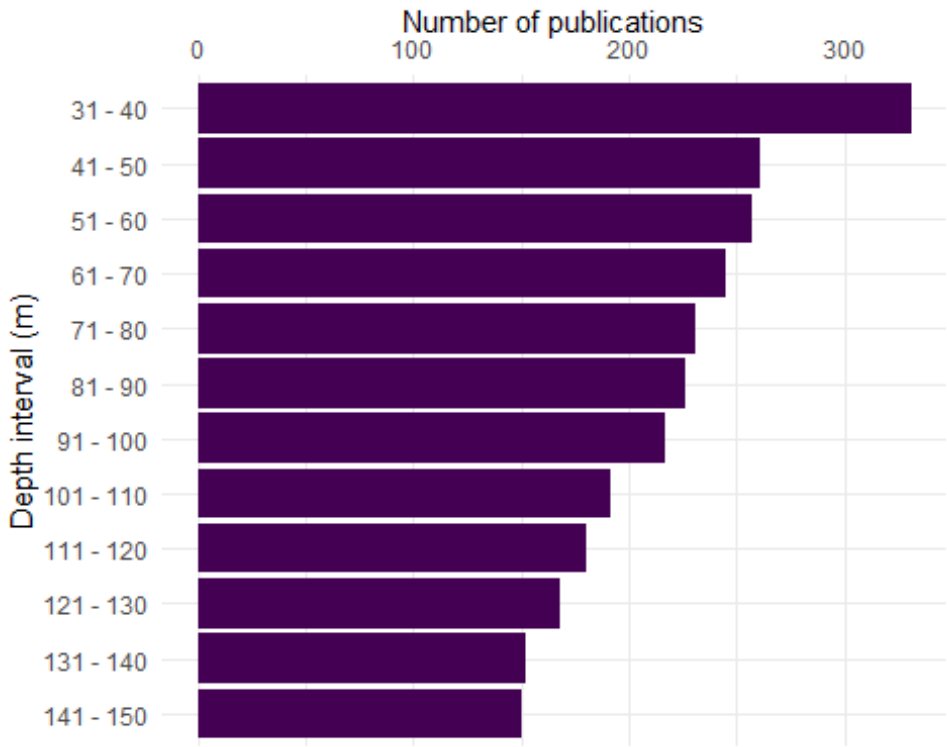

Export pubs per depth bar plot

PLATFORM BY DEPTH

Create a platform by depth data frame and keep meso_samplingPlatform

```
platform_depth <- temperate %>%
  select(File,
         mininumSurveyedDepthInMeters,
         maximumSurveyedDepthInMeters,
         meso_direct_indirect,
         meso_samplingPlatform,
         max_depth_hov, min_depth_hov,
         max_depth_rov, min_depth_rov,
         max_depth_ccr, min_depth_ccr,
         max_depth_open, min_depth_open,
         max_depth_scuba, min_depth_scuba
         )
```

Split the platform column in one binary column per platform

```
platform_lvls <-
  unique(
    unlist(
      str_split(platform_depth$meso_samplingPlatform, "\\+")
                                  )
```

```
                        )

platform_lvls<- platform_lvls[! platform_lvls %in% c("",NA,"notapp",",","nd")]

platform_depth[,platform_lvls] <- sapply(platform_lvls,
                                         function(y){
                                           str_count(platform_depth$meso_samplin
gPlatform, y)
                                           }
                                         )

rm(platform_lvls)

platform_depth[,-c(1:15)] <- lapply(platform_depth[,-c(1:15)], as.numeric)

platform_depth[,c(1:15)] <- lapply(platform_depth[,c(1:15)], as.character)


platform_depth %<>%
  rename(open_direct = open,
         ccr_direct = ccr,
         scuba_direct = scuba)  %>%
  select(-meso_samplingPlatform)
```

Create a summary table with # studies per platform

```
platform_summary <- platform_depth %>%
  summarise(across(where(is.numeric), ~ sum(.x, na.rm = TRUE)))

platform_summary <- as.data.frame(t(platform_summary))

platform_summary %<>%
  mutate(Platform = rownames(platform_summary)) %>%
  rename(Count = V1) %>%
  relocate(Count,.after = where(is.character))

platform_summary

##                   Platform Count
## rov                    rov   274
## trawl               trawl     8
## acou                 acou    97
## dredge             dredge    15
## scuba_direct scuba_direct    86
## hov                    hov    38
## open_direct   open_direct   133
## grab                 grab    38
## drop                 drop    22
## fishery           fishery    35
```

```
## tcs                    tcs    24
## ccr_direct     ccr_direct    12
## auv                    auv    20
## bruv                  bruv     7
## drift                drift     2
## bdrop                bdrop     1
## station            station     1
## trap                  trap     2
```

Create a column with the number of platforms per study

```
platform_per_record <- platform_depth %>%
  filter(meso_direct_indirect != "nd") %>%
   mutate(
     platform_per_record = rowSums(
     across(
       where(is.numeric)
       )
     )
   )

platform_per_record$platform_per_record <- as.factor(platform_per_record$plat
form_per_record)
```

Calculate number of records by number of platforms in %

```
platform_per_record <- platform_per_record %>%
  group_by(platform_per_record) %>%
  summarise(n_records = length(platform_per_record)) %>%
  mutate(percentage= round(n_records / sum(n_records) * 100,1))

platform_per_record

## # A tibble: 5 × 3
##   platform_per_record n_records percentage
##   <fct>                   <int>      <dbl>
## 1 1                         338       62.9
## 2 2                         136       25.3
## 3 3                          52        9.7
## 4 4                           6        1.1
## 5 5                           5        0.9
```

Keep most common visual platforms only

```
platform_depth_mod <- cbind(platform_depth[,c(1:14)],
                            platform_depth$ccr_direct,
                            platform_depth$open_direct,
                            platform_depth$scuba_direct,
                            platform_depth$hov,
                            platform_depth$rov)
```

```r
names(platform_depth_mod) <- gsub("platform_depth\\$", "", names(platform_dep
th_mod))
```

Set max depth of studies with max depth > 150 to 150 so they fit into the plot

```r
platform_depth_long <- within(platform_depth_mod, rm(mininumSurveyedDepthInMe
ters, maximumSurveyedDepthInMeters, max_depth_direct, meso_direct_indirect, h
ov, rov, open_direct, ccr_direct, scuba_direct))

platform_depth_long[,-1] <- lapply(platform_depth_long[,-1], as.numeric)

str(platform_depth_long)
```

```
## 'data.frame':    539 obs. of  11 variables:
##  $ File           : chr  "AchilleosEtAl_2020_Bryozoan_diversity_Cyprus.md"
 "AdamsEtAl_2020_Rhodolith_bed_discovered.md" "AdamsEtAl_2023_Patterns_potent
ial_drivers.md" "Aguado-GimenezRuiz-Fernandez_2012_Influence_experimental_fis
h.md" ...
##  $ max_depth_hov  : num  NA NA NA NA NA 100 NA NA NA NA ...
##  $ min_depth_hov  : num  NA NA NA NA NA 0 NA NA NA NA ...
##  $ max_depth_rov  : num  477 220 100 NA 707 NA 110 70 133 125 ...
##  $ min_depth_rov  : num  118 30 30 NA 100 NA 20 12 106 48 ...
##  $ max_depth_ccr  : num  NA NA NA NA NA NA NA NA NA NA ...
##  $ min_depth_ccr  : num  NA NA NA NA NA NA NA NA NA NA ...
##  $ max_depth_open : num  NA NA NA NA NA NA 45 NA NA NA ...
##  $ min_depth_open : num  NA NA NA NA NA NA 10 NA NA NA ...
##  $ max_depth_scuba: num  NA NA NA 40 NA NA NA NA NA NA ...
##  $ min_depth_scuba: num  NA NA NA 30 NA NA NA NA NA NA ...
```

```r
platform_depth_long  %<>%
  mutate(max_depth_scuba = case_when(max_depth_scuba >= 150 ~ 150,
                                     TRUE ~ max_depth_scuba)
         ) %>%
  mutate(max_depth_hov = case_when(max_depth_hov >= 150 ~ 150,
                                     TRUE ~ max_depth_hov)
         ) %>%
  mutate(max_depth_rov = case_when(max_depth_rov >= 150 ~ 150,
                                     TRUE ~ max_depth_rov)
         ) %>%
  mutate(max_depth_ccr = case_when(max_depth_ccr >= 150 ~ 150,
                                     TRUE ~ max_depth_ccr)) %>%
  mutate(max_depth_open = case_when(max_depth_open >= 150 ~ 150,
                                     TRUE ~ max_depth_open))
```

Set min depth of studies with min depth <30 to 30 so they fit into the plot

```r
platform_depth_long %<>%
  mutate(min_depth_scuba = case_when(min_depth_scuba <= 30 ~ 30,
                                     TRUE ~ min_depth_scuba)
         ) %>%
  mutate(min_depth_hov = case_when(min_depth_hov <= 30 ~ 30,
```

```
                                TRUE ~ min_depth_hov)
        ) %>%
  mutate(min_depth_rov = case_when(min_depth_rov <= 30 ~ 30,
                                TRUE ~ min_depth_rov)
        ) %>%
  mutate(min_depth_ccr = case_when(min_depth_ccr <= 30 ~ 30,
                                TRUE ~ min_depth_ccr)) %>%
  mutate(min_depth_open = case_when(min_depth_open <= 30 ~ 30,
                                TRUE ~ min_depth_open))
```

Convert platform_depth_long to long format

```
platform_min_depth_long <- platform_depth_long %>%
  select(-c(max_depth_hov, max_depth_rov, max_depth_open, max_depth_scuba, ma
x_depth_ccr))


platform_min_depth_long[,c(1,2)] <- lapply(platform_min_depth_long[,c(1,2)],
as.factor)

platform_min_depth_long %<>%
  reshape2::melt(platform_min_depth_long,
                 id.vars = c("File"),
                 measure.vars = grep("^min_depth_|^max_depth_",
                                     names(platform_min_depth_long),
                                     value = TRUE),
                 variable.name = "Platform",
                 value.name = "min_depth"
                 )

## Warning: attributes are not identical across measure variables; they will
be
## dropped

platform_max_depth_long <- platform_depth_long %>%
    select(-c(min_depth_hov, min_depth_rov, min_depth_open, min_depth_scuba,
min_depth_ccr))

platform_max_depth_long %<>%
    reshape2::melt(platform_max_depth_long,
                 id.vars = c("File"),
                 measure.vars = grep("^min_depth_|^max_depth_",
                                     names(platform_max_depth_long),
                                     value = TRUE),
                 variable.name = "Platform",
                 value.name = "max_depth"
                 )

platform_depth_lat_long <- cbind(platform_min_depth_long, platform_max_depth_
long$max_depth)
```

```
rm(platform_min_depth_long, platform_max_depth_long)

platform_depth_lat_long %<>%
  rename(max_depth =`platform_max_depth_long$max_depth`)

platform_depth_lat_long$Platform <- gsub("min_depth_", "", platform_depth_lat
_long$Platform)

platform_depth_lat_long$Platform <- gsub("max_depth_", "", platform_depth_lat
_long$Platform)
```

Set proper labelling for platform

```
platform_depth_lat_long %<>%
  mutate(Platform = case_when(Platform == "ccr" ~ "CCR",
                              Platform == "scuba" ~ "SCUBA",
                              Platform == "open" ~ "OC",
                              Platform == "rov" ~ "ROV",
                              Platform == "hov" ~ "HOV",
                              TRUE ~ Platform)
         ) %>%
  mutate(Platform = as.factor(Platform))
```

Add visual column to reorder platform

```
platform_depth_lat_long %<>%
  mutate(Visual = as.factor(case_when(Platform == "OC" |
                                      Platform == "SCUBA" |
                                      Platform == "CCR" ~ "direct",
                              TRUE ~ "indirect" )
  )
  )

platform_depth_lat_long %<>%
  mutate(Platform = forcats::fct_reorder(Platform, as.integer(Visual)))
```

Create a bar plot with depth bins by platform and latitudinalRegion

```
depth_bins <- tibble(
  bin_start = seq(-30, -140, by = -10),
  bin_end   = seq(-40, -150, by = -10)
) %>%
  mutate(bin_label = paste0(abs(bin_start), "-", abs(bin_end)))

platform_depth_lat_long <- platform_depth_lat_long %>%
  mutate(
    min_depth = as.numeric(min_depth),  # positive e.g., 30
    max_depth = as.numeric(max_depth)   # positive e.g., 150
  )
```

```
expanded_data <- platform_depth_lat_long %>%
  tidyr::crossing(depth_bins) %>%
  # Convert study range to negative depths: [-max_depth, -min_depth]
  filter(bin_end >= -max_depth, bin_start <= -min_depth) %>%
  mutate(
    bin_label = factor(bin_label, levels = rev(depth_bins$bin_label))
  )

# Plot with count labels on the right
platform_depth_plot <- ggplot(expanded_data, aes(x = bin_label)) +
  geom_bar(position = "stack", alpha= 0.8, fill= "#440154") +
  scale_y_continuous(name = "Number of Studies",
                     expand = expansion(mult = c(0, 0.15))) +  # Make room fo
r text
  scale_x_discrete(name = "Depth (m)") +
  coord_flip() +  # Depth on y-axis (shallow at top)
  facet_wrap(~ Platform, nrow = 1) +
  theme_minimal() +
  theme(legend.position = "none")

platform_depth_plot
```

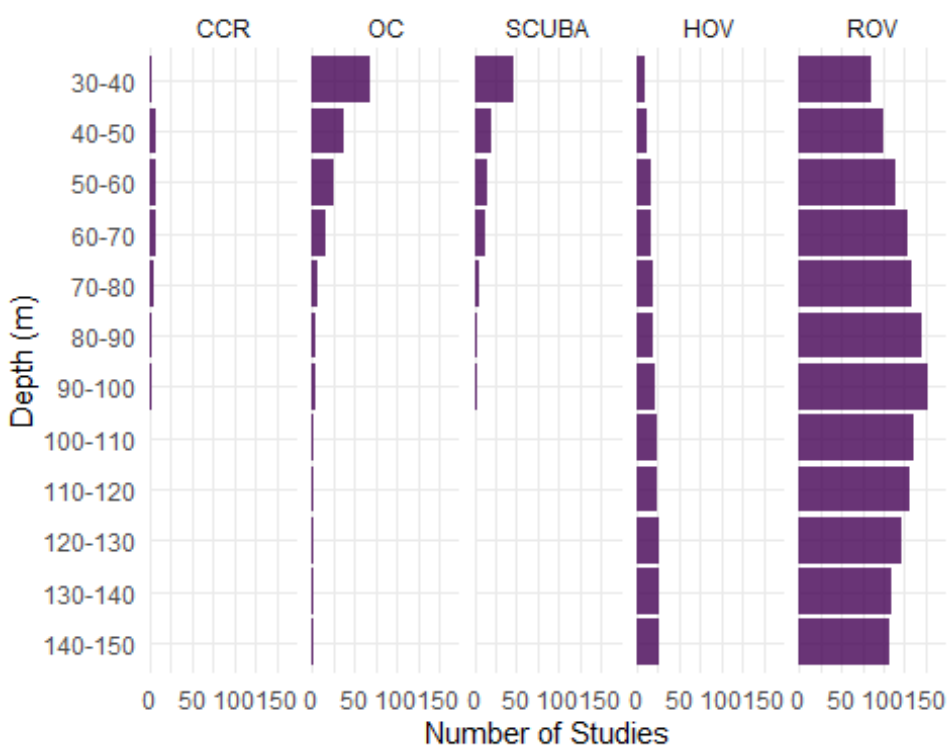

Export bar plot of most common platform per depth interval

```
ggsave("platform_depth_plot.tiff",
       plot = platform_depth_plot,
       units = "in", width = 8, height = 6, dpi = 300, compression = 'lzw',
       path = here ("Extracted_data_analysis",                        "temper
ate",                        "Output-Visualization"))

ggsave("platform_depth_plot.png",
       plot = platform_depth_plot,
       units = "in", width = 8, height = 5,
       path = here ("Extracted_data_analysis", "temperate",
    "Output-Visualization"))
```

DIRECT - INDIRECT BY DECADE

```
dir_ind_by_decade <- temperate

dir_ind_by_decade %<>%
         mutate(decade = case_when(publicationYear >= 1960 & publicationYear
< 1970 ~ "1970-1979",
                                   publicationYear >= 1970 & publicationYear <
1980 ~ "1970-1979",
                                   publicationYear >= 1980 & publicationYear <
1990 ~ "1980-1989",
                                   publication Year >= 1990 & publicationYear <
2000 ~ "1990-1999",
                                   publicationYear >= 2000 & publicationYear <
2010 ~ "2000-2009",
                                   publicationYear >= 2010 & publicationYear <
2020 ~ "2010-2019",
                                   publicationYear >= 2020 ~ "2020-2023")
              )

dir_ind_by_decade_lat <- dir_ind_by_decade

dir_ind_by_decade <- dir_ind_by_decade [, c("meso_direct_indirect","decade")]
 %>%
  group_by(decade,meso_direct_indirect) %>%
  tally()

colnames(dir_ind_by_decade) <- c("Decade", "Technique","Count")

unique(dir_ind_by_decade$Technique)

## [1] "direct"   "indirect" "mixed"    "nd"

dir_ind_by_decade %<>%
  filter(Technique != "nd" & Technique != "NA") %>% #remove nd from viz becau
se they accounted for a really small percentage
```

```
  group_by(Decade) %>%
  mutate(Percentage = round(Count / sum(Count) * 100,1))
```

Make bar plot of technique by decade

```
technique_decade_barplot <- ggplot(subset(dir_ind_by_decade,
              dir_ind_by_decade$Decade != "1970-1979"),
       aes(x=Technique, y=Count, label = Technique)
       ) +
  geom_bar(position="dodge",
           stat="identity", alpha= 0.8, fill = "#440154" ) +
  geom_text(aes(label = paste(round(Percentage,0),"%", sep="")),
            parse = F,
            vjust = -0.25,
            size=3.9)+
  facet_grid(~ Decade,
             switch = "y") +
  theme_classic() +
  theme(legend.position = "bottom",
        legend.text = element_text(size = 10),
        axis.text.x = element_blank(),
        axis.text.y = element_text(size=8.7),
        axis.title.x = element_blank(),
        axis.title.y = element_text(size=13),
        strip.text = element_text(size = 13))+
  labs(y= "Number of publications")

technique_decade_barplot
```

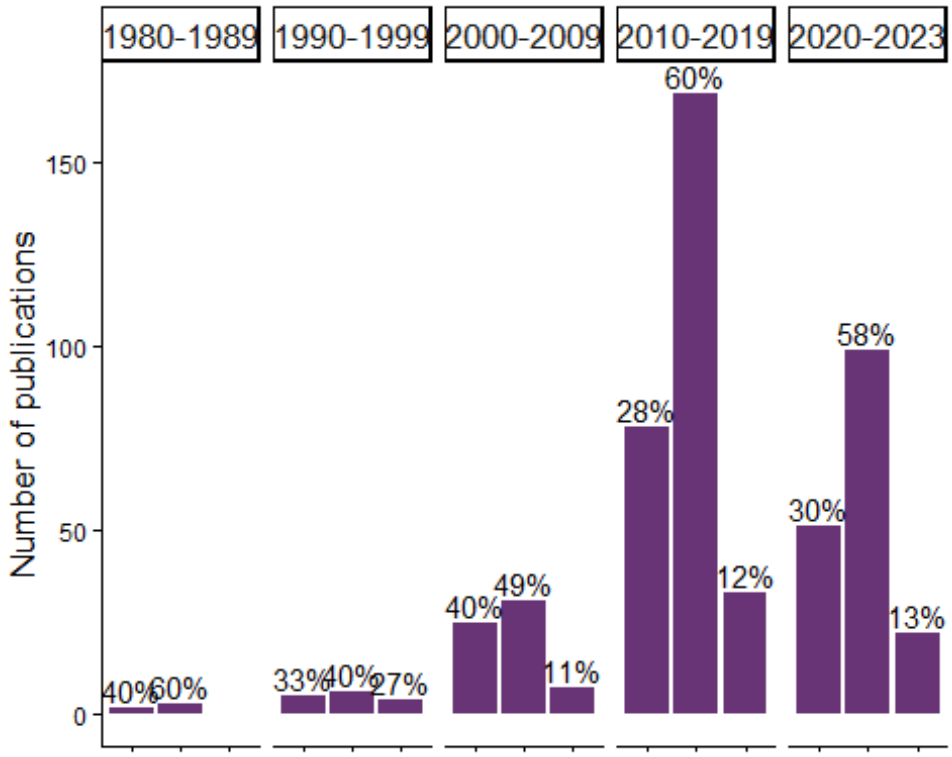

Export bar plot of technique by decade

```
ggsave("technique_decade_barplot.tiff",
       plot = technique_decade_barplot,
       units = "in", width = 7, height = 6, dpi = 300, compression = 'lzw',
       path = here ("Extracted_data_analysis",                        "temper
ate",                        "Output-Visualization"))

ggsave("technique_decade_barplot.png",
       plot = technique_decade_barplot,
       units = "in", width = 7, height = 6,
       path = here ("Extracted_data_analysis",                        "temper
ate",                        "Output-Visualization"))
```

FIELD & INDICATORS

Create subset for field & indicators

```
field_merged <- temperate[,c(59:length(temperate))]

field_merged[,] <- lapply(field_merged[,], as.numeric)

colSums(field_merged)

##                   field_cons               field_commdesc
##                           97                          256
```

```
##                    field_map                 field_impass
##                          125                          187
##                  field_troph                   field_taxo
##                           27                           42
##                   field_dist                   field_aqua
##                          154                            3
##                 field_method                 field_physio
##                           51                           40
##                   field_func                field_habtype
##                           30                            1
##                field_fishery                  field_stock
##                           45                           50
##                  field_paleo                  field_phylo
##                            1                           21
##                   field_rest                field_archaeo
##                            8                            1
##                  field_micro            field_biomedicine
##                            3                            0
##                   field_chem     field_Molecular_ecology
##                            0                           41
##              field_Acoustics field_environmental_drivers
##                           97                          123
##              field_Behaviour         field_Geomorphology
##                           71                           42
##               field_Taxonomy
##                           34
```

Select only the most common fields

```
field_merged <- field_merged[, colSums(field_merged) > 50]

field_merged$field_Taxonomy <- NULL

colSums(field_merged)
```

```
##                   field_cons               field_commdesc
##                           97                          256
##                    field_map                 field_impass
##                          125                          187
##                   field_dist                 field_method
##                          154                           51
##              field_Acoustics field_environmental_drivers
##                           97                          123
##              field_Behaviour
##                           71
```

```
field_merged <- field_merged[, order(colSums(field_merged), decreasing = F)]

colSums(field_merged)
```

```
##                 field_method              field_Behaviour
##                           51                           71
##                   field_cons              field_Acoustics
##                           97                           97
## field_environmental_drivers                    field_map
##                          123                          125
##                   field_dist                 field_impass
##                          154                          187
##               field_commdesc
##                          256
```

Rename fields with long version names

```
field_merged %<>%
  rename(`Biodiversity and \n community structure (256)` = field_commdesc,
         `Distribution and \n connectivity (154)` = field_dist,
         `Disturbances (187)` = field_impass,
         `Conservation and \n management (97)` = field_cons,
         `Mapping (125)` = field_map,
         `Methods (51)` = field_method ,
         `Behaviour (71)` = field_Behaviour ,
         `Acoustics (97)` = field_Acoustics ,
         `Environmental drivers and \n spatio-temporal patterns (123)` = fiel
d_environmental_drivers
         )
colSums(field_merged)
```

```
##                                                   Methods (51)
##                                                             51
##                                                Behaviour (71)
##                                                             71
##                          Conservation and \n management (97)
##                                                             97
##                                                Acoustics (97)
##                                                             97
## Environmental drivers and \n spatio-temporal patterns (123)
##                                                            123
##                                                 Mapping (125)
##                                                            125
##                       Distribution and \n connectivity (154)
##                                                            154
##                                             Disturbances (187)
##                                                            187
##                 Biodiversity and \n community structure (256)
##                                                            256
```

Prepare the indicator matrix

```
ind_matrix <- split_results[["indicators"]]
```

Select only the most common indicators

```r
colSums(ind_matrix)

##        Abundance        Diversity          Habitat    Morphological
##              245              264              118               99
##             taxo          Biomass            Cover           impact
##               31               40              171               11
##             surv          Density           growth           Health
##               13              175               19               62
##    Physiological             Size           ALDFGs           Litter
##               35              149               61               50
##              NIS        Mortality      Recruitment             func
##               18               13               10               10
##           sample          Trophic geneticSequences        Behaviour
##                1               24               41               19
##              sex    economicValue       complexity           ecoser
##               15                1                3                3
##      orientation        Diversity          disease
##                1                1                1

ind_common_matrix <- ind_matrix[, colSums(ind_matrix) > 30]

colSums(ind_common_matrix)

##        Abundance        Diversity          Habitat    Morphological
##              245              264              118               99
##             taxo          Biomass            Cover          Density
##               31               40              171              175
##           Health    Physiological             Size           ALDFGs
##               62               35              149               61
##           Litter geneticSequences
##               50               41

ind_common_matrix <- ind_common_matrix[, order(colSums(ind_common_matrix), de
creasing = TRUE)]

ind_common_matrix <- as.data.frame(ind_common_matrix)

ind_common_matrix <- ind_common_matrix[!purrr::map_lgl(ind_common_matrix, ~ a
ll(is.na(.)))] # remove empty column
```

Remove taxonomy studies which have a dedicated section

```r
ind_common_matrix$taxo <- NULL
field_merged$field_taxo <- NULL

colSums(ind_common_matrix)

##        Diversity        Abundance          Density            Cover
##              264              245              175              171
##             Size          Habitat    Morphological           Health
##              149              118               99               62
```

```
##           ALDFGs           Litter geneticSequences          Biomass
##               61               50               41               40
##    Physiological
##               35
```

Rename indicators with long version names

```
ind_common_matrix %<>%
  rename(`Abundance \n (245)` = Abundance,
         `Cover \n (171)` = Cover,
         `Diversity \n (264)` = Diversity,
         `Habitat \n (118)` = Habitat,
         `Morphology \n (99)` = Morphological,
         `Size \n (149) ` = Size,
         `Health \n (62) ` = Health,
         `Density \n (175)` = Density,
         `Physiological \n indicator \n (35)` = Physiological,
         `ALDFGs  \n (61)` = ALDFGs ,
         `Litter \n (50)` = Litter,
         `Biomass \n (40)` = Biomass,
         `Genetic \n sequence \n (41)` = geneticSequences
         )

colSums(ind_common_matrix)
```

```
##                 Diversity \n (264)                 Abundance \n (245)
##                                264                                245
##                   Density \n (175)                     Cover \n (171)
##                                175                                171
##                     Size \n (149)                   Habitat \n (118)
##                                149                                118
##                 Morphology \n (99)                    Health \n (62)
##                                 99                                 62
##                    ALDFGs  \n (61)                     Litter \n (50)
##                                 61                                 50
##        Genetic \n sequence \n (41)                    Biomass \n (40)
##                                 41                                 40
## Physiological \n indicator \n (35)
##                                 35
```

Multiply the transpose of the field matrix with the indicator matrix

```
co_occurrence_matrix <- t(as.matrix(field_merged)) %*% as.matrix(ind_common_m
atrix)
```

Reshape the co-occurrence matrix for plotting}

```
co_occurrence_df <- reshape2::melt(co_occurrence_matrix)

colnames(co_occurrence_df) <- c("Field", "Indicator", "Count")
```

Plot the heatmap

```
field_ind_heat <- ggplot(co_occurrence_df, aes(x = Indicator, y = Field, fill
 = Count)) +
  geom_tile(color = "white") +
  scale_fill_gradient(low = "white", high = "deepskyblue4") +
  geom_text(aes(label = Count), color = "black") +
  theme_minimal()+
  scale_x_discrete(position="top")

field_ind_heat
```

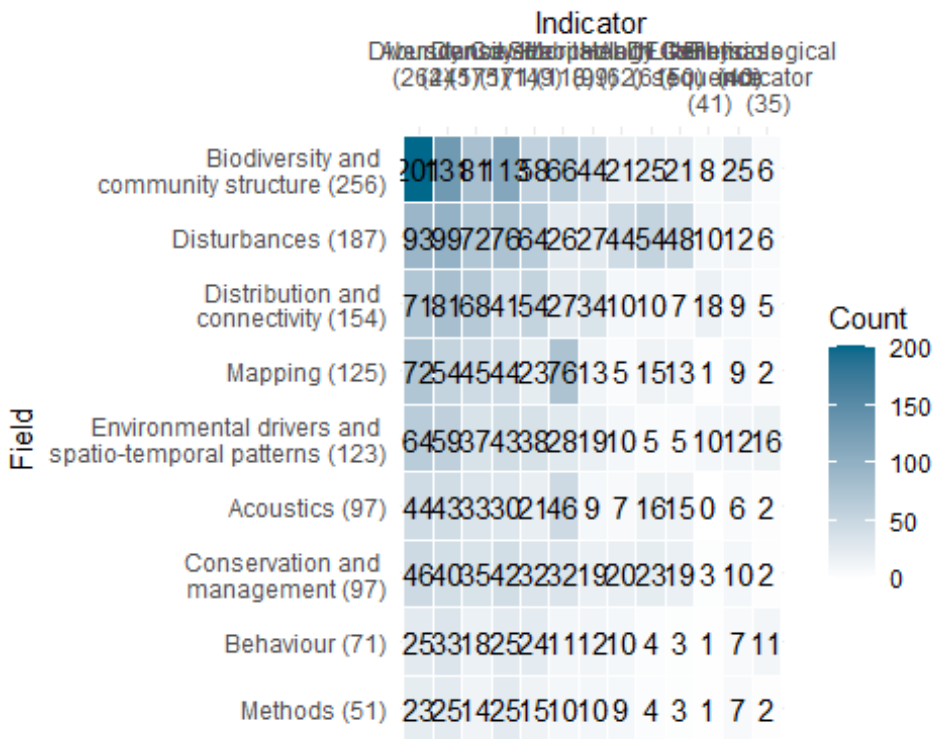

Export plot

```
ggsave("field_ind_heat.png",
       units = "in", width = 12.5, height = 5.5,
       path = here ("Extracted_data_analysis", "temperate",
      "Output-Visualization"))
```

Calculate # of ecological indicators per record

Create a column with the sum of ecological indicators values to see how many different sampling units were adopted by each study

```
ind_summary <- as.data.frame(split_results[["indicators"]])

ind_summary <- ind_summary[!purrr::map_lgl(ind_summary, ~ all(is.na(.)))] # r
```

```
emove empty column

ind_summary %<>%  rowwise() %>%
   mutate(ind_per_record =  sum(c_across(where(is.numeric))))
```

Calculate number of records by number of sampling units in %

```
ind_summary$ind_per_record <- as.factor(ind_summary$ind_per_record)

ind_per_record <- ind_summary %>%
  group_by(ind_per_record) %>%
  summarise(n_records = length(ind_per_record)) %>%
  mutate(percentage= round(n_records / sum(n_records) * 100,1))

ind_per_record

## # A tibble: 9 × 3
##   ind_per_record n_records percentage
##   <fct>              <int>      <dbl>
## 1 1                     57       10.6
## 2 2                    152       28.2
## 3 3                    133       24.7
## 4 4                    109       20.2
## 5 5                     49        9.1
## 6 6                     16        3
## 7 7                     18        3.3
## 8 8                      4        0.7
## 9 9                      1        0.2
```

SAMPLING UNIT

Prepare a data frame for sampling unit

```
sampling_df <- temperate %>%
  filter(is.na(taxonomic_publication)) %>% # remove purely taxonomic studies
  select(File,recordTitle,DOI,publicationYear,mininumSurveyedDepthInMeters,ma
ximumSurveyedDepthInMeters,samplingUnit)

sampling_df %>% tidyr::drop_na(samplingUnit)
sampling_df[!is.na(sampling_df$samplingUnit),]

sampling_df %<>%
  filter(samplingUnit != "notapp")

sampling_df$samplingUnit <- as.character(sampling_df$samplingUnit)
```

Prepare columns per sampling units

```
sampling_lvls <- unique(unlist(str_split(sampling_df$samplingUnit,
                                          "\\+")
                               )
                        )

rownames(is.na(sampling_df$samplingUnit))

## NULL

sampling_df[,sampling_lvls] <- sapply(sampling_lvls,
                                      function(y){
                                        str_count(sampling_df$samplingUnit, y)
                                        }
                                      )

rm(sampling_lvls)

colnames(sampling_df)

##  [1] "File"                        "recordTitle"
##  [3] "DOI"                         "publicationYear"
##  [5] "mininumSurveyedDepthInMeters" "maximumSurveyedDepthInMeters"
##  [7] "samplingUnit"                "sample"
##  [9] "quadrat"                     "transect"
## [11] "expunit"                     "nd"
## [13] "stationary"                  "permtrans"
## [15] "radial_transect"             "circular_transect"
## [17] "roaming_transect"            "random_swim"
## [19] "lit"
```

Calculate # of sampling unit per record

Create a column with the sum of sampling units values to see how many different sampling units were adopted by each study

```
sampling_df %<>%
   mutate(type_per_record = rowSums(across(quadrat:lit)
                            )
   )
```

Calculate number of records by number of sampling units in %

```
sampling_df$type_per_record <- as.factor(sampling_df$type_per_record)

sampling_unit_per_record <- sampling_df %>%
  group_by(type_per_record) %>%
  summarise(n_records = length(type_per_record)) %>%
  mutate(percentage= round(n_records / sum(n_records) * 100,0))

sampling_unit_per_record
```

```
## # A tibble: 4 × 3
##   type_per_record n_records percentage
##   <fct>               <int>      <dbl>
## 1 0                      82         16
## 2 1                     395         76
## 3 2                      39          8
## 4 3                       1          0
```

Create a data frame with number of publication per sampling unit type

```
sampling_unit_tot <- sampling_df  %>%
  summarise(across(c(8:(length(sampling_df)-1)),
                   list(sum)))

sampling_unit_tot <- reshape2::melt(sampling_unit_tot)

## No id variables; using all as measure variables

colnames(sampling_unit_tot) <- c("Sampling_unit", "Count")

sampling_unit_tot %<>%
        mutate_at("Sampling_unit",
                  stringr::str_replace, "_1", "")
```

Simplified sampling units

Create a column with a simplified sampling units for transect and quadrat

```
  sampling_unit_tot %<>%
       mutate(Sampling_unit_macro = case_when(Sampling_unit == 'quadrat' |
                                   Sampling_unit == "permquad" ~ "Quadrat",
                                   Sampling_unit == "transect"|
                                   Sampling_unit == "lit" |
                                   Sampling_unit == "pit" |
                                   Sampling_unit == "permlit" |
                                   Sampling_unit == "permtrans" |
                                   Sampling_unit == "circular_transect" |
                                   Sampling_unit == "radial_transect"~ "Transe
ct",
                                   Sampling_unit == "nd" ~ "ND",
                                   Sampling_unit == "stationary" ~ "Stationary
",
                                   Sampling_unit == "expunit" ~ "Experimental
unit",
                                   Sampling_unit == "sample" ~ "Sample",
                                   .default = "Other")
              )

# Change columns order
sampling_unit_tot <- cbind(sampling_unit_tot$Sampling_unit_macro,
```

```
                        sampling_unit_tot$Sampling_unit,
                        sampling_unit_tot$Count)

colnames(sampling_unit_tot) <- c("Sampling_unit_macro","Sampling_unit","Count
")

sampling_unit_tot <- as.data.frame(sampling_unit_tot)

sampling_unit_tot[,1:2] <- lapply(sampling_unit_tot[,1:2], as.factor)
sampling_unit_tot$Count <- as.numeric(sampling_unit_tot$Count)

sampling_unit_simplified <- aggregate(Count ~ Sampling_unit_macro, data = sam
pling_unit_tot, FUN = sum)

sampling_unit_simplified %<>%
  group_by(Sampling_unit_macro) %>%
  mutate(Percentage_macro= round(Count / sum(sampling_unit_simplified$Count)
* 100,1))

sampling_unit_simplified

## # A tibble: 7 × 3
## # Groups:   Sampling_unit_macro [7]
##   Sampling_unit_macro Count Percentage_macro
##   <fct>               <dbl>            <dbl>
## 1 Experimental unit      21              3.5
## 2 ND                     23              3.8
## 3 Other                   3              0.5
## 4 Quadrat               201             33.2
## 5 Sample                130             21.5
## 6 Stationary              8              1.3
## 7 Transect              220             36.3
```

Build a treemap with simplified sampling unit

```
library(treemapify)

RdYlBu <- RColorBrewer::brewer.pal(7, "RdYlBu")
RdYlBu

## [1] "#D73027" "#FC8D59" "#FEE090" "#FFFFBF" "#E0F3F8" "#91BFDB" "#4575B4"

sampling_simplified_treemap <-
ggplot(sampling_unit_simplified,
       aes(area=Count,
           fill=Sampling_unit_macro,
           line = "black",
           label=paste0(Sampling_unit_macro, " \n ",Percentage_macro,"%"))
       )+
  treemapify::geom_treemap(layout = "squarified")+
```

```r
  geom_treemap_text(place = "centre",
                    size = 20)+
    theme(plot.title = element_text(hjust = 0.5, size= 20),
          legend.position = "none")+
  scale_fill_manual(values= c("#FC8D59", "#FEE090","#FFFFBF", "#E0F3F8", "#D7
3027", "#91BFDB", "#4575B4"))
  scale_fill_brewer(palette = "RdYlBu")
```

```
## <ggproto object: Class ScaleDiscrete, Scale, gg>
##     aesthetics: fill
##     axis_order: function
##     break_info: function
##     break_positions: function
##     breaks: waiver
##     call: call
##     clone: function
##     dimension: function
##     drop: TRUE
##     expand: waiver
##     fallback_palette: function
##     get_breaks: function
##     get_breaks_minor: function
##     get_labels: function
##     get_limits: function
##     get_transformation: function
##     guide: legend
##     is_discrete: function
##     is_empty: function
##     labels: waiver
##     limits: NULL
##     make_sec_title: function
##     make_title: function
##     map: function
##     map_df: function
##     minor_breaks: waiver
##     n.breaks.cache: NULL
##     na.translate: TRUE
##     na.value: NA
##     name: waiver
##     palette: function
##     palette.cache: NULL
##     position: left
##     range: environment
##     rescale: function
##     reset: function
##     train: function
##     train_df: function
##     transform: function
##     transform_df: function
##     super:  <ggproto object: Class ScaleDiscrete, Scale, gg>
```

```
sampling_unit_simplified %<>%
  mutate(case_when(Sampling_unit_macro == "Experimental unit" ~
          "Experimental \n unit", T ~ Sampling_unit_macro))

sampling_simplified_treemap <-
ggplot(sampling_unit_simplified,
       aes(area=Count,
           fill= reorder(Sampling_unit_macro, -Count),
           line = "black",
           label=paste0(Sampling_unit_macro, " \n ",Percentage_macro,"%"))
       )+
  treemapify::geom_treemap(layout = "squarified")+
  geom_treemap_text(place = "centre", fontface = "bold",
                    size = 20)+
    theme(plot.title = element_text(hjust = 0.5, size= 20),
          legend.position = "none")+
  scale_fill_manual(values=c("#01665E","#5AB4AC","#C7EAE5", "#8C510A","#D8B36
5","#F6E8C3","#F5F5F5")) # selected from "BrBG" palette of RBrewer

sampling_simplified_treemap
```

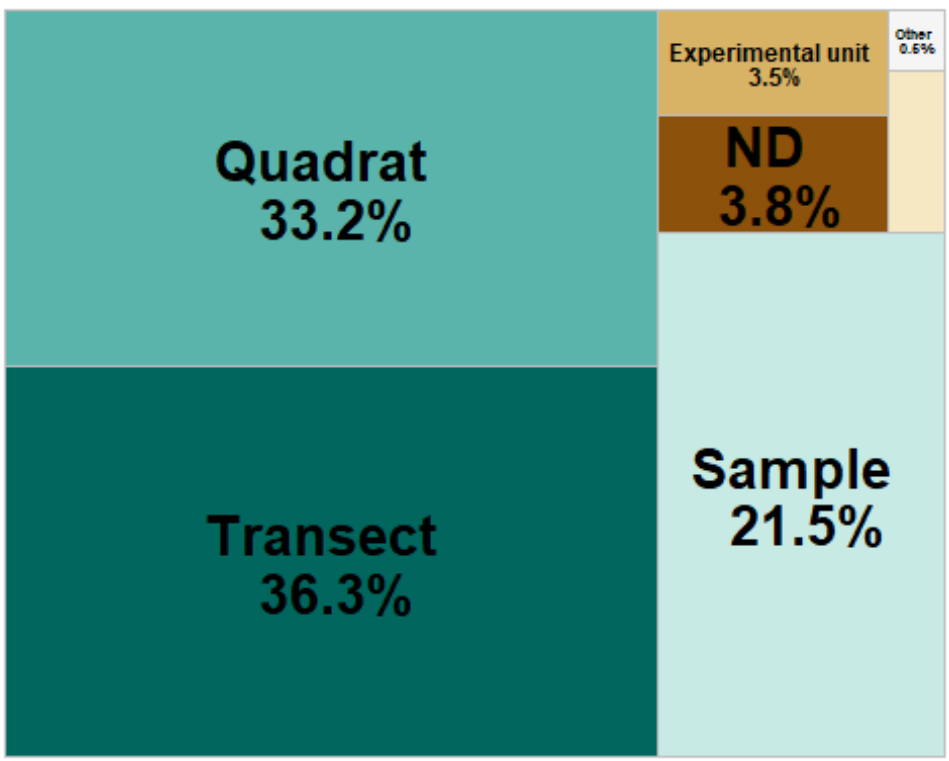

Export sampling_simplified_treemap

```
ggsave("sampling_simplified_treemap.png",
       plot = sampling_simplified_treemap,
       units = "in", width = 7, height = 6,
       path = here ("Extracted_data_analysis",
```

```
                    "temperate",
                    "Output-Visualization"))
```

Export sampling_unit_tot table for supplementary materials

```
library(openxlsx)

openxlsx::write.xlsx(sampling_unit_tot,
           file = here("Extracted_data_analysis",                        "tem
perate",                        "Output-Transformed_data",
                    "sampling_unit_tot.xlsx"))
```

Quadrat extracted from transect

```
print(paste("Number of publications where quadrat is the sampling unit or one
 of the sampling unit: ",
            nrow(quad_design <- subset(temperate,grepl("quad", samplingUnit)
                                       )
                                 )
            )
)

## [1] "Number of publications where quadrat is the sampling unit or one of t
he sampling unit:  201"

print(paste("Number of publications where quadrats were collected along trans
ects: ", nrow(subset(quad_design,
            grepl("transect\\(quadrat", meso_design) |
              grepl("transect\\(depth\\(quadrat", meso_design)
            )
     )
)
)

## [1] "Number of publications where quadrats were collected along transects:
  126"
```

DATA TYPE

```
data_type <- count_results[["collectedDataType"]]

data_type$Percentage <- round(data_type$Percentage, 1)

data_type

## # A tibble: 33 × 3
##    collectedDataType              Count Percentage
##    <fct>                          <int>      <dbl>
##  1 nd                                 1        0.2
##  2 photo                             69       12.8
```

```
##   3 photo+sediment+video                2        0.4
##   4 photo+specimen                     41        7.6
##   5 photo+specimen+sediment+visual      2        0.4
##   6 photo+specimen+video               18        3.3
##   7 photo+specimen+video+visual         2        0.4
##   8 photo+specimen+video+water          1        0.2
##   9 photo+specimen+visual              10        1.9
##  10 photo+specimen+water                1        0.2
## # ℹ 23 more rows
```

Lump uncommon combination into “Other”

```
data_type_simplified <- data_type %>%
  rename(`Data type`= collectedDataType) %>%
  mutate(`Data type` = as.character(`Data type`)) %>%
  filter(Percentage > 2) %>%
  bind_rows(
    data_type %>%
      filter(Percentage <= 2) %>%
      summarise(
        `Data type` = "other",
        Count = sum(.data$Count),
        Percentage = sum(.data$Percentage)
      )
  )


data_type_simplified %<>%
       mutate(`Data type` =
                case_when(`Data type` == 'photo'  ~ "Photo",
                          `Data type` == "video"~ "Video",
                          `Data type` == "other" ~ "Other",
                          `Data type` == "specimen" ~ "Specimen",
                          `Data type` == "photo+specimen" ~ "Photo + \n Speci
men",
                          `Data type` == "photo+specimen+video" ~ "Photo + Vi
deo + \n Specimen",
                          `Data type` == "photo+video" ~ "Photo + \n Video",
                          `Data type` == "photo+visual" ~ "Photo + \n Visual",
                          `Data type` == "specimen+visual" ~ "Specimen + \n V
isual",
                          `Data type` == "specimen+video" ~ "Specimen + \n Vi
deo",
                                  .default = "Other")
              )
```

Build a treemap with data type

```
library(treemapify)
library(RColorBrewer)
```

```
data_type_treemap <-
ggplot(data_type_simplified,
       aes(area=Count,
           fill=`Data type`,
           line = "black",
           label=paste0(`Data type`, " \n ",Percentage,"%"))
       )+
  treemapify::geom_treemap(layout = "squarified")+
  geom_treemap_text(place = "centre", fontface = "bold",
                    size = 20)+
    theme(plot.title = element_text(hjust = 0.5, size= 20),
          legend.position = "none")+
    scale_fill_brewer(palette = "RdYlBu")

data_type_treemap
```

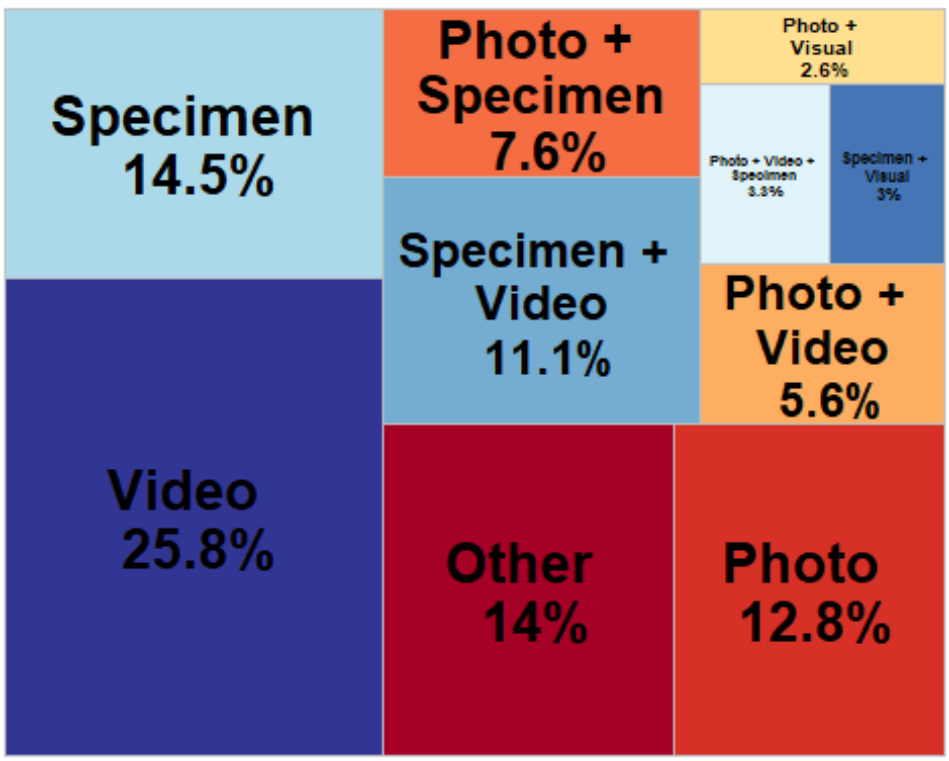

Export sampling_simplified_treemap

```
ggsave("data_type_treemap.png",
       plot = data_type_treemap,
       units = "in", width = 7, height = 6,
       path = here ("Extracted_data_analysis",                        "temper
ate",                          "Output-Visualization"))
```

HABIT

```
habit <- as.data.frame(count_results["habit"])

# Rename columns
habit %<>%
  rename(Habit = habit.habit,
         Count = habit.Count,
         Percentage = habit.Percentage)
```

Make the habit donut plot

```
habit %<>%
  mutate(ymax = cumsum(Count),
    ymin = c(0, head(ymax, n = -1)),
    mid = (ymin + ymax) / 2,
    angle = 90 - (mid / sum(Count)) * 360
  )

# Split and assign labels
habit_inside <- habit %>%
  mutate(label = paste0(round(Percentage,1), "%"))

habit_outside <- habit %>%
  mutate(label = Habit)

# Plot
habit_donut <- ggplot() +
  # Donut segments
  geom_rect(data = habit,
            aes(ymin = ymin, ymax = ymax, xmin = 2.5, xmax = 4, fill = Habit),
            color = "black") +

  # Inside labels
  geom_text(data = habit_inside,
            aes(x = 3.2, y = mid, label = label),
            size = 5, color = "black",
            fontface = "bold") +

  # Outside labels with Habit name
  ggrepel::geom_text_repel(data = habit_outside,
                  aes(x = 4.3, y = mid, label = label),
                  size = 5.5,
                  nudge_x = 0.5,
                  direction = "y",
                  segment.color = "black",
                  hjust = 0,
                  box.padding = 0.3,
                  max.overlaps = Inf) +
```

```
  coord_polar(theta = "y") +
  xlim(0.2, 5) +
  scale_fill_brewer(palette = "Purples") +
  theme_void() +
  theme(legend.position = "none")+
  annotate(geom = 'text', x = 0.5, y = 0,
           label = c("HABIT"), size = 8)

habit_donut
```

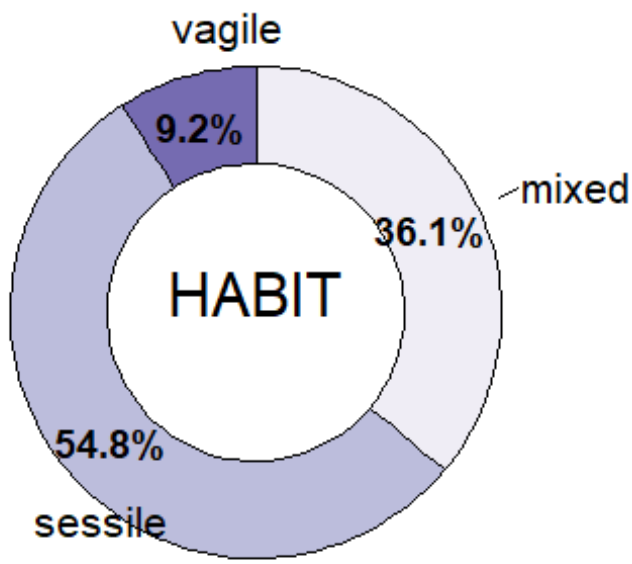

Export habit_donut

```
ggsave("habit_donut.png",
       plot = habit_donut,
       units = "in", width = 7, height = 6,
       path = here ("Extracted_data_analysis",                        "temper
ate",                          "Output-Visualization"))
```

SUBSTRATE

```
substrate <- as.data.frame(count_results["meso_substrate"])

# Rename columns
substrate %<>%
  rename(Substrate = meso_substrate.meso_substrate,
         Count = meso_substrate.Count,
```

```
         Percentage = meso_substrate.Percentage)

# Remove rows with nd
substrate <- substrate[!substrate$Substrate %in% "nd",]

# Merge substrate combination with less than 3% and recalculate Count and Per
centages
substrate <- substrate %>%
  mutate(Substrate = if_else(Percentage < 3, "Other combinations", Substrate))
 %>%
  group_by(Substrate) %>%
  select(-Percentage) %>%
  summarise(
    Count = sum(Count)) %>%
  mutate(Percentage = round(Count / sum(Count) * 100,1)
  )

substrate %<>%
  mutate(
    Substrate = case_when(Substrate == "hard" ~ "Hard",
                          Substrate == "soft"~ "Soft",
                          Substrate == "mixed" ~ paste0("Hard+","\n","Soft"),
                          Substrate == "artificial" ~ "Artificial",
                          Substrate == "Other combinations" ~ "Other combinat
ions"))
```

Make the substrate donut plot

```
substrate %<>%
  mutate(
    ymax = cumsum(Count),
    ymin = c(0, head(ymax, n = -1)),
    mid = (ymin + ymax) / 2,
    angle = 90 - (mid / sum(Count)) * 360
  )


# Split and assign labels
substrate_inside <- substrate %>%
    filter(Percentage >= 5) %>%
  mutate(label = paste0(Percentage, "%"))

substrate_outside <- substrate %>%
  mutate(label = Substrate)

# Plot
substrate_donut <- ggplot() +
  # Donut segments
  geom_rect(data = substrate,
```

```
            aes(ymin = ymin, ymax = ymax, xmin = 2.5, xmax = 4, fill = Substr
ate),
            color = "black") +

  # Inside labels
  geom_text(data = substrate_inside,
            aes(x = 3.2, y = mid, label = label),
            size = 5, color = "black",
            fontface = "bold") +

  # Outside labels with substrate name
  ggrepel::geom_text_repel(data = substrate_outside,
                 aes(x = 4.4, y = mid, label = label),
                 size = 5.5,
                 nudge_x = 0.3,
                 direction = "y",
                 segment.color = "black",
                 hjust = 0,
                 box.padding = 0.3,
                 max.overlaps = Inf) +
  coord_polar(theta = "y") +
  xlim(0.2, 5) +
  scale_fill_brewer(palette = "GnBu") +
  theme_void() +
  theme(legend.position = "none")+
  annotate(geom = 'text', x = 0.5, y = 0,
           label = c("SUBSTRATE"), size = 8)

substrate_donut
```

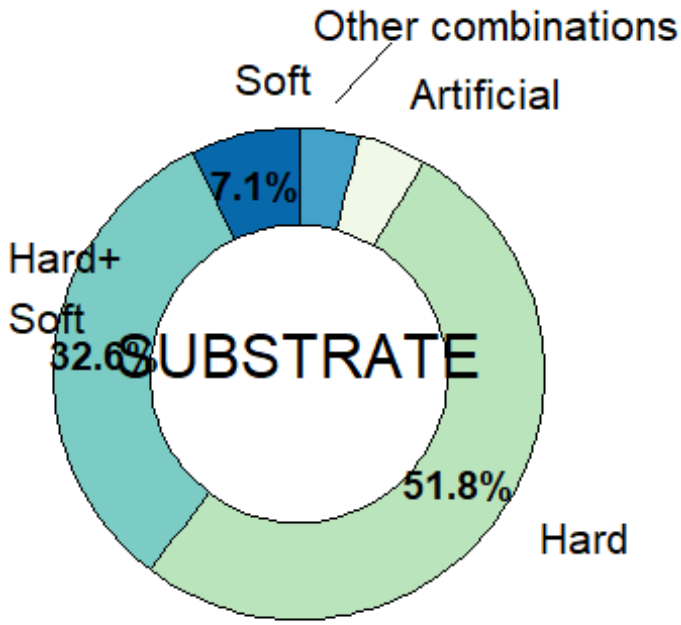

Export the substrate donut plot

```
ggsave("substrate_donut.png",
       plot = substrate_donut,
       units = "in", width = 7, height = 6,
       path = here ("Extracted_data_analysis",                        "temper
ate",                        "Output-Visualization"))
```

BENTHIC POSITION

Create a data frame with benthic position

```
position <- as.data.frame(count_results["environmentalPosition"])

# Rename columns
position %<>%
  rename(Position = environmentalPosition.environmentalPosition,
         Count = environmentalPosition.Count,
         Percentage = environmentalPosition.Percentage)

# Merge position combination with less than 3% and recalculate Count and Perc
entages
position <- position %>%
  mutate(Position = if_else(Percentage < 1, "Other combinations", Position))
 %>%
  group_by(Position) %>%
```

```
  select(-Percentage) %>%
  summarise(
    Count = sum(Count)) %>%
  mutate(Percentage = round(Count / sum(Count) * 100,1)
  )
```

Make the benthic position donut plot

```
position %<>%
  mutate(
    Position = case_when(Position == "epi" ~ "Epi",
                         Position == "endo"~ "Endo",
                         Position == "dem+epi" ~ "Hyper + \n Epi",
                         Position == "endo+epi" ~ "Endo + \n Epi",
                         Position == "Other combinations" ~ "Other combinati
ons"),
    ymax = cumsum(Count),
    ymin = c(0, head(ymax, n = -1)),
    mid = (ymin + ymax) / 2,
    angle = 90 - (mid / sum(Count)) * 360
  )


# Split and assign labels
position_inside <- position %>%
  filter(Percentage > 3) %>%
  mutate(label = paste0(Percentage, "%"))

position_outside <- position %>%
  mutate(label = Position)

# Plot
benthic_position_donut <- ggplot() +
  # Donut segments
  geom_rect(data = position,
            aes(ymin = ymin, ymax = ymax, xmin = 2.5, xmax = 4, fill = Positi
on),
            color = "black") +

  # Inside labels
  geom_text(data = position_inside,
            aes(x = 3.2, y = mid, label = label),
            size = 5, color = "black",
            fontface = "bold") +

  # Outside labels with Position name
  ggrepel::geom_text_repel(data = position_outside,
                   aes(x = 4.2, y = mid, label = label),
                   size = 5.5,
```

```
                  nudge_x = 0.3,
                  direction = "y",
                  segment.color = "black",
                  hjust = 0,
                  box.padding = 0.3,
                  max.overlaps = Inf) +
  coord_polar(theta = "y") +
  xlim(0.2, 5) +
  scale_fill_brewer(palette = "OrRd") +
  theme_void() +
  theme(legend.position = "none")+
  annotate(geom = 'text', x = 0.5, y = 0,
           label = c("BENTHIC \n POSITION"), size = 8)

benthic_position_donut

## Warning: Removed 1 row containing missing values or values outside the sca
le range
## (`geom_text_repel()`).
```

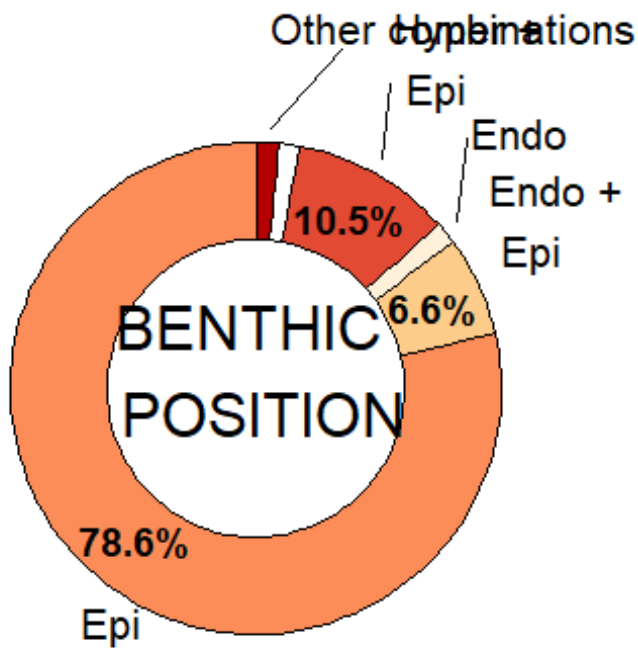

Export the benthic_position donut plot

```
ggsave("benthic_position_donut.png",
       plot = benthic_position_donut,
       units = "in", width = 7, height = 6,
       path = here ("Extracted_data_analysis",                        "temper
ate",                        "Output-Visualization"))
```

```
## Warning: Removed 1 row containing missing values or values outside the sca
le range
## (`geom_text_repel()`).
```

TARGET

Target level

```
target_level <- as.data.frame(count_results["taxonomicTargetLevel"])

# Rename columns
target_level %<>%
  rename(Level = taxonomicTargetLevel.taxonomicTargetLevel,
         Count = taxonomicTargetLevel.Count,
         Percentage = taxonomicTargetLevel.Percentage)

# Remove rows with nd
target_level <- target_level[!target_level$Level %in% "species,species",]
target_level <- target_level[!target_level$Level %in% ",species",]

# Merge habit combination with less than 3% and recalculate Count and Percent
ages
target_level <- target_level %>%
  mutate(Level = if_else(Percentage < 3, "Other combinations", Level)) %>%
  group_by(Level) %>%
  select(-Percentage) %>%
  summarise(
    Count = sum(Count)) %>%
  mutate(Percentage = round(Count / sum(Count) * 100,1)
  )
```

Treemap with the taxonomic target level

```
target_level_labels <- target_level %<>%
  mutate(
    Level = case_when(Level == "comm" ~ "Community",
                      Level == "group"~ "Group",
                      Level == "single" ~ "Single species",
                      Level == "species" ~ ">1 species",
                      Level == "comm+group" ~ "Community+Group",
                      Level == "comm+species" ~ "Community+Species",
                      Level == "group+species" ~ "Group+\nSpecies",
                      Level == "Other combinations" ~ "Other")
    )

target_level_treemap <- ggplot(target_level_labels,
       aes(area=Count,
           fill=Level,
           line = "black",
```

```
            label=paste0(Level,
                         " \n ",Percentage,"%"))
        )+
  treemapify::geom_treemap(layout = "squarified")+
  treemapify::geom_treemap_text(place = "centre",
                    size = 20)+
    theme(plot.title = element_text(hjust = 0.5, size= 20),
          legend.position = "none")+
  scale_fill_manual(values= c("#A6D854" ,"#66C2A5","#E78AC3", "#8DA0CB","#FFD
92F","#B3B3B3", "#E5C494", "#FC8D62"))

target_level_treemap
```

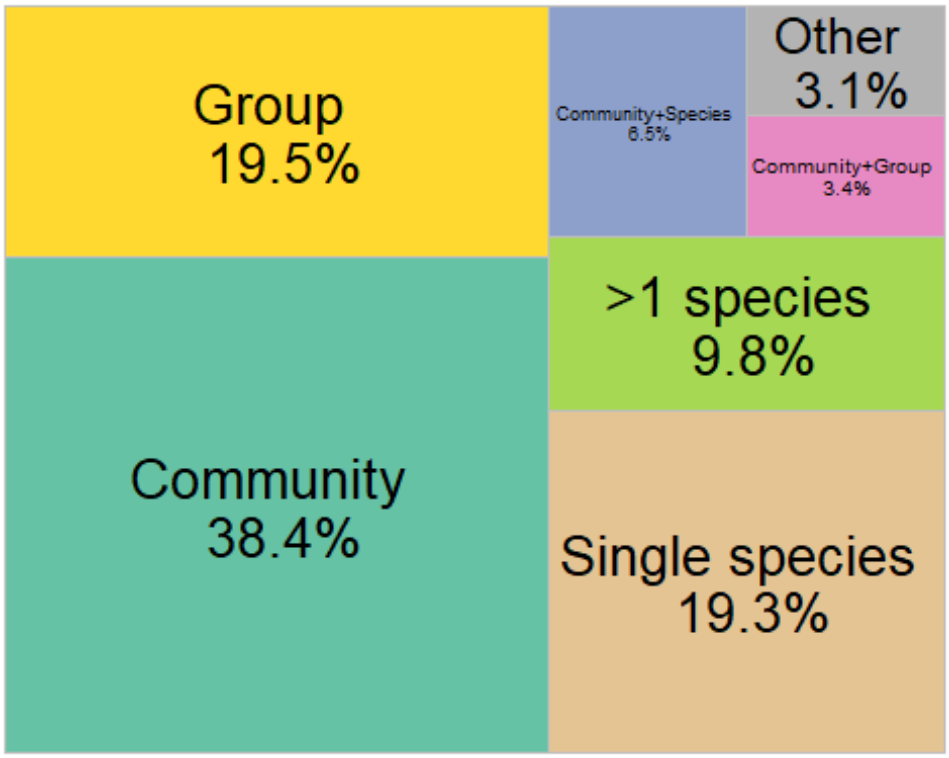


```
ggsave("target_level_treemap.png",
       plot = target_level_treemap,
       units = "in", width = 9, height = 6,
       path = here ("Extracted_data_analysis",                        "temper
ate",                          "Output-Visualization"))
```

Detected phyla in community studies

```
detected <- temperate %>%
    filter(str_detect(taxonomicTargetLevel,"comm")) %>%
  select(File,
         detected_meso_cnidaria,
         detected_meso_sponges,
         detected_meso_seagrass,
```

```
         detected_meso_algae,
         detected_meso_mollusca,
         detected_meso_chondrichthyes,
         detected_meso_fish,
         detected_meso_crustacea,
         detected_meso_echino,
         detected_meso_other_taxa)

detected_lvls <-
  unique(
    unlist(
      str_split(detected$detected_meso_other_taxa, "\\+")
                                )
                          )
detected_lvls<- detected_lvls[! detected_lvls %in% c("",NA,"notapp",",","nd")]
detected[,detected_lvls] <- sapply(detected_lvls,
                                   function(y){
                                     str_count(detected$detected_meso_othe
r_taxa, y)
                                     }
                                   )

rm(detected_lvls)

detected %<>%
  mutate(across(everything(), as.character)) %>%
  replace(is.na(.), "0") %>%
  select(-detected_meso_other_taxa) %>%
  filter(if_all(everything(), ~ !grepl("notapp", .x)))

detected <- detected %>%
  mutate(across(-File, ~ case_when(
    .x %in% c("x", "x,", "xx") ~ "1",
    .x == "," ~ "0",
    TRUE ~ .x
  ))) %>%
  mutate(across(-File, as.numeric))
```

Calculate number of publications per taxonomic group

```
detected_tot <-
  detected %>%
  summarise(across(where(is.numeric),
                   list(sum)
                   )
            )

detected_tot  <- reshape2::melt(detected_tot, id.vars = NULL)

colnames(detected_tot) <- c("Taxa", "Count")
```

```
detected_tot %<>%
        mutate_at("Taxa",
                  stringr::str_replace, "_1", "") %>%
        mutate_at("Taxa",
                  stringr::str_replace, "detected_meso_", "")


detected_tot %<>%
      mutate(Percentage= round(Count / nrow(detected) * 100,1))

rm(detected)
```

Merge poorly represented taxonomic groups into “Other”

```
detected_tot_collapsed <- detected_tot %>%
  mutate(Taxa = if_else(Percentage < 3, "Other", Taxa)) %>%
  group_by(Taxa) %>%
  summarise(
    Count = sum(Count),
    Percentage = sum(Percentage)
  )
```

Create a bar chart with detected taxonomic groups

```
detected_bar <- ggplot(detected_tot_collapsed, aes(x = reorder(Taxa, Count),
y = Count, fill= Taxa)) +
  geom_bar(stat = "identity") +
  geom_text(
    data = detected_tot_collapsed %>% filter(Percentage > 11),
    aes(label = paste0(round(Percentage, 0), "%")),
    position = position_stack(vjust = 0.5),
    color = "black",
    size = 3.5
  )+
  labs(y = "# Publications at the community level", x = "Detected taxonomic g
roup") +
  theme_minimal() +
  coord_flip()+  # optional: flips for horizontal bars
  theme(legend.position ="none")+
  scale_x_discrete(labels = rev(c("Cnidaria",
                                  "Porifera",
                                  "algae*",
                                  "Bryozoa",
                                  "Echinodermata",
                                  "Mollusca",
                                  "Annelida",
                                  "Crustacea",
                                  "Tunicata",
                                  "Osteichthyes",
```

```
                              "Brachiopoda",
                              "Other",
                              "Chondrichthyes",
                              "Alismatales (seagrasses)",
                              "Foraminifera",
                              "Pycnogonida",
                              "Nemertea",
                              "Nematoda")))

detected_palette <- c("algae" ="darkseagreen3",
                      "cnidaria" = "mediumvioletred",
                      "crustacea" = "indianred1",
                      "sponges" = "khaki1",
                      "mollusca" = "darkorange3",
                      "fish" = "paleturquoise2",
                      "echino" = "royalblue4",
                      "Tunicata" = "mediumpurple4",
                      "chondrichthyes" = "gray69",
                      "Brachiopoda" = "gray69",
                      "Other" = "gray69",
                      "Nemertea" = "gray69",
                      "Pycnogonida" = "gray69",
                      "seagrass" =  "gray69",
                      "Nematoda" = "gray69",
                      "Foraminifera"   =    "gray69",
                      "Ciliata" = "gray69",
                      "Bryozoa" = "goldenrod1",
                      "Annelida" = "burlywood4")



detected_bar +
  scale_fill_manual(values = detected_palette,
    limits = names(detected_palette))+
  theme(axis.text = element_text(size = 14),
        axis.title = element_text(size = 16)
        )
```

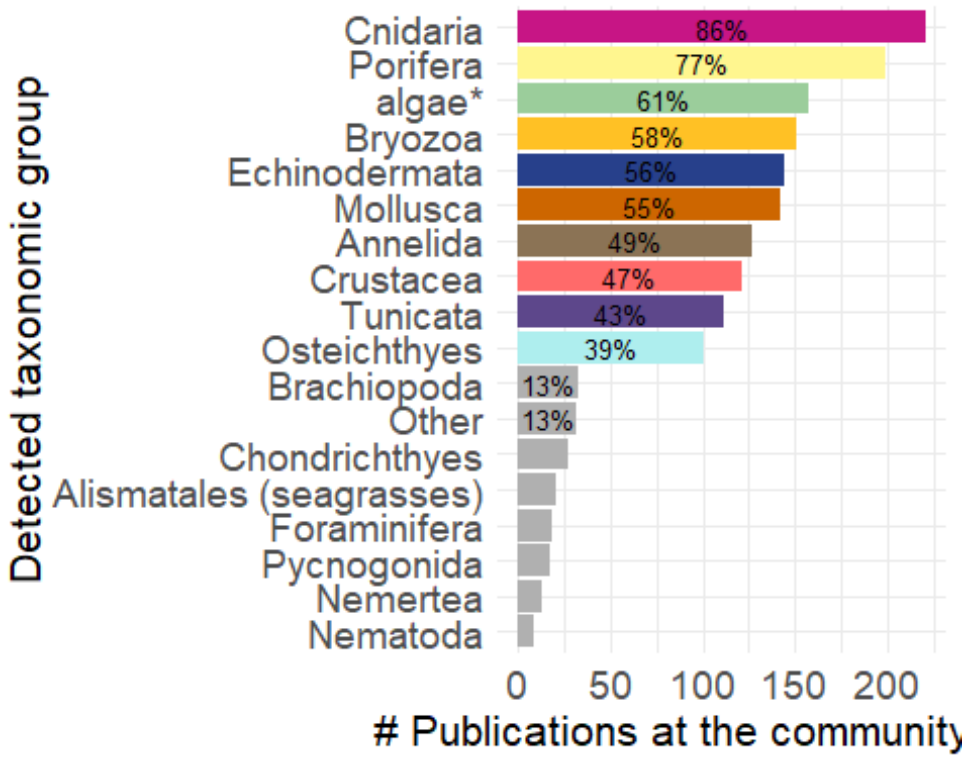


```
ggsave("detected_bar.png",
       units = "in", width = 7, height = 6,
       path = here ("Extracted_data_analysis",                        "temper
ate",                          "Output-Visualization"))
```

Target taxonomic groups not at the community level

```
group <- temperate %>%
    filter(taxonomicTargetLevel != "comm") %>%
  select(File,
         detected_meso_cnidaria,
         detected_meso_sponges,
         detected_meso_seagrass,
         detected_meso_algae,
         detected_meso_mollusca,
         detected_meso_chondrichthyes,
         detected_meso_fish,
         detected_meso_crustacea,
         detected_meso_echino,
         detected_meso_other_taxa,
         targetTaxa)

group_lvls <-
  unique(
    unlist(
      str_split(group$detected_meso_other_taxa, "\\+")
                                  )
```

```
                          )
group_lvls<- group_lvls[! group_lvls %in% c("",NA,"notapp",",","nd")]
group[,group_lvls] <- sapply(group_lvls,
                                        function(y){
                                          str_count(group$detected_meso_other_t
axa, y)
                                          }
                                        )

rm(group_lvls)

group <- group %>%
  mutate(across(everything(), as.character)) %>%
  replace(is.na(.), "0") %>%
  select(-detected_meso_other_taxa,-targetTaxa) %>%
  filter(if_all(everything(), ~ !grepl("notapp", .x))) %>%
  mutate(across(-File, ~ case_when(
    .x %in% c("x", "x,", "xx") ~ "1",
    .x == "," ~ "0",
    TRUE ~ .x
  ))) %>%
  mutate(across(-File, as.numeric))

group_tot <-
  group %>%
  summarise(across(where(is.numeric),
                   list(sum)
                   )
            )

group_tot  <- reshape2::melt(group_tot, id.vars = NULL)

colnames(group_tot) <- c("Taxa", "Count")

group_tot %<>%
        mutate_at("Taxa",
                  stringr::str_replace, "_1", "") %>%
        mutate_at("Taxa",
                  stringr::str_replace, "detected_meso_", "")



group_tot %<>%
      mutate(Percentage= round(Count / nrow(group) * 100,1))

group_tot_collapsed <- group_tot %>%
  mutate(Taxa = if_else(Percentage < 3, "Other", Taxa)) %>%
  group_by(Taxa) %>%
  summarise(
    Count = sum(Count),
    Percentage = sum(Percentage),
```

```
    .groups = "drop"
  )

group_tot_collapsed %<>%
  mutate(Taxa = case_when(Taxa == 'echino' ~ "Echinodermata",
                          Taxa == 'fish' ~ "Osteichthyes",
                          Taxa == 'mollusca' ~ "Mollusca",
                          Taxa == 'algae' ~ "macroalgae*",
                          Taxa == "chondrichthyes" ~ "Chondrichthyes",
                          Taxa == "sponges" ~ "Porifera",
                          Taxa == "crustacea" ~ "Crustacea",
                          Taxa == "cnidaria" ~ "Cnidaria",
                          Taxa == "algae" ~ "algae*",
         .default = Taxa))

group_bar <- ggplot(group_tot_collapsed, aes(x = reorder(Taxa, Count), y = Co
unt, fill= Taxa)) +
  geom_bar(stat = "identity") +
  geom_text(
    data = group_tot_collapsed %>% filter(Percentage > 10),
    aes(label = paste0(round(Percentage, 0), "%")),
    position = position_stack(vjust = 0.5),
    color = "black",
    size = 3.5
  )+
  labs(y = "N of publications not at community level", x = "Taxonomic group")
 +
  theme_minimal() +
  coord_flip()+  # optional: flips for horizontal bars
  theme(legend.position ="none")

group_palette <- c("macroalgae*" ="darkseagreen3",
                      "Cnidaria" = "mediumvioletred",
                      "Crustacea" = "indianred1",
                      "Porifera" = "khaki1",
                      "Mollusca" = "darkorange3",
                      "Osteichthyes" = "paleturquoise2",
                      "Echinodermata" = "royalblue4",
                      "Tunicata" = "mediumpurple4",
                      "Chondrichthyes" = "gray69",
                      "Other" = "gray69",
                      "Brachiopoda" =  "gray69",
                      "Foraminifera" =  "gray69",
                      "Bryozoa" = "goldenrod1",
                      "Annelida" = "burlywood4")

group_bar <- group_bar +
  scale_fill_manual(values = group_palette,
    limits = names(group_palette))+
    theme(axis.text = element_text(size = 14),
```

```
        axis.title = element_text(size = 16)
        )

group_bar
```

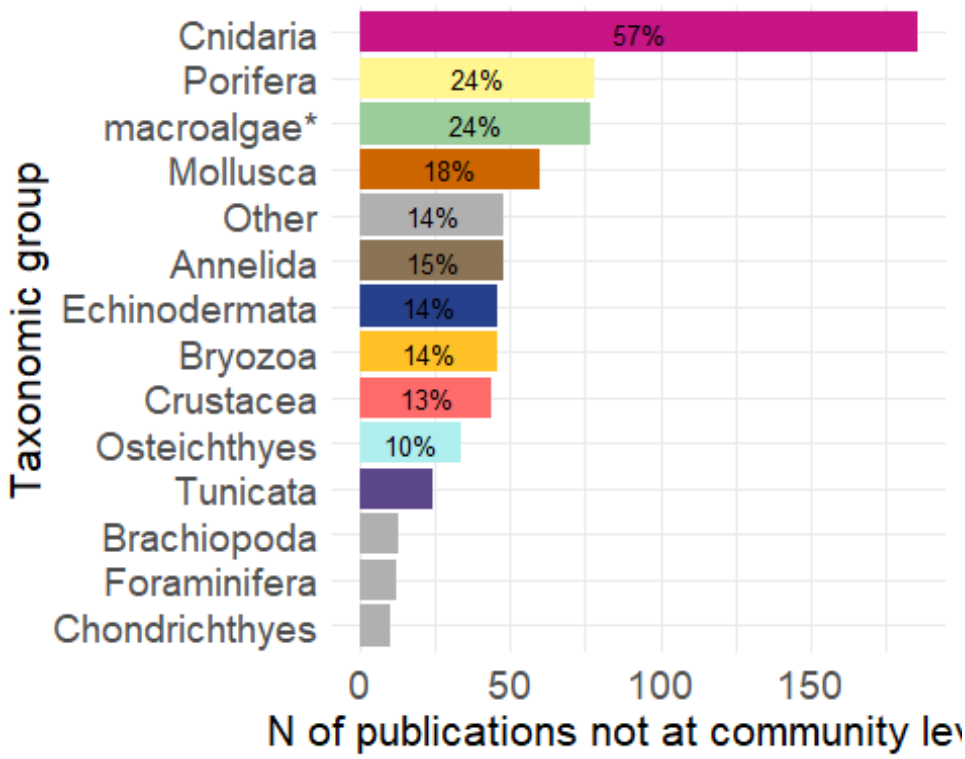

Export bar plot

```
ggsave("group_bar.png",
       plot = group_bar,
       units = "in", width = 7, height = 6,
       path = here ("Extracted_data_analysis",                        "temper
ate",                          "Output-Visualization"))
```

New species described per phyla

```
new_spec <- temperate %>%
  filter(str_detect(taxonomic_publication, "taxa"))

new_spec %<>%
  select(File,
         detected_meso_cnidaria,
         detected_meso_sponges,
         detected_meso_seagrass,
         detected_meso_algae,
         detected_meso_mollusca,
         detected_meso_chondrichthyes,
         detected_meso_fish,
         detected_meso_crustacea,
```

```
         detected_meso_echino,
         detected_meso_other_taxa)

new_spec_lvls <-
  unique(
    unlist(
      str_split(new_spec$detected_meso_other_taxa, "\\+")
                                 )
                          )
new_spec_lvls<- new_spec_lvls[! new_spec_lvls %in% c("",NA,"notapp")]
new_spec[,new_spec_lvls] <- sapply(new_spec_lvls,
                                   function(y){
                                     str_count(new_spec$detected_meso_othe
r_taxa, y)
                                     }
                                   )

rm(new_spec_lvls)

new_spec  %<>%
  mutate(across(everything(), as.character)) %>%
  replace(is.na(.), "0") %>%
  select(-detected_meso_other_taxa) %>%
  filter(if_all(everything(), ~ !grepl("notapp", .x))) %>%
  mutate(across(-File, ~ case_when(
    .x %in% c("x") ~ "1",
    TRUE ~ .x
  ))) %>%
  mutate(across(-File, as.numeric))

new_spec_tot <-
  new_spec %>%
  summarise(across(where(is.numeric),
                   list(sum)
                   )
            )

rm(new_spec)
new_spec_tot  <- reshape2::melt(new_spec_tot, id.vars = NULL)

colnames(new_spec_tot) <- c("Taxa", "Count")

new_spec_tot %<>%
        mutate_at("Taxa",
                  stringr::str_replace, "_1", "") %>%
          mutate_at("Taxa",
                  stringr::str_replace, "detected_meso_", "")


new_spec_tot %<>%
```

```
  filter(Count>0) %>%
      mutate(Percentage= round(Count / sum(Count) * 100,1))

new_spec_plot <-   ggplot(new_spec_tot,
                          aes(x = reorder(Taxa, Count), y = Count,
                              fill= Taxa)) +
  geom_bar(stat = "identity") +
  geom_text(

    data = new_spec_tot %>% filter(Percentage > 8),
    aes(label = paste0(round(Percentage, 0), "%")),
    position = position_stack(vjust = 0.5),
    color = "black",
    size = 3.5
  )+
  labs(y = "N of Publications with new species descriptions", x = "Taxonomic
group") +
  theme_minimal() +
  coord_flip()+  # optional: flips for horizontal bars
  theme(legend.position ="none")+
  scale_x_discrete(labels = rev(c("Porifera",
                                  "Cnidaria",
                                  "Mollusca",
                                  "Kinorhyncha",
                                  "Crustacea",
                              "Pycnogonida",
                              "Platyhelminthes",
                              "Nematoda",
                              "Foraminifera",
                              "Ciliata",
                              "Bryozoa",
                              "Annelida"))
                    )

new_spec_palette <- c("cnidaria" = "mediumvioletred",
                      "crustacea" = "indianred1",
                      "sponges" = "khaki1",
                      "mollusca" = "tan1",
                      "Kinorhyncha" = "gray69",
                      "Pycnogonida" = "gray69",
                      "Platyhelminthes" =  "gray69",
                      "Nematoda" = "gray69",
                      "Foraminifera"   =    "gray69",
                      "Ciliata" = "gray69",
                      "Bryozoa" = "goldenrod1",
                      "Annelida" = "burlywood4")

new_species_bar <- new_spec_plot +
  scale_fill_manual(values = new_spec_palette,
    limits = names(new_spec_palette))+
```

```
    theme(axis.text = element_text(size = 14),
        axis.title = element_text(size = 16)
        )

new_species_bar
```

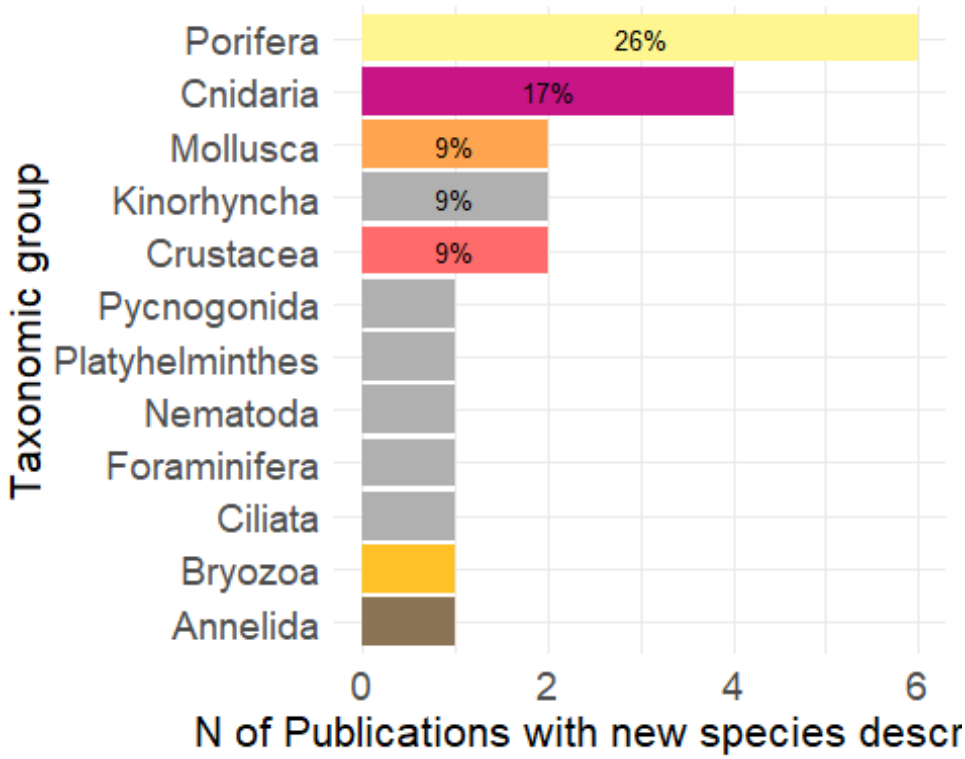

Export bar plot

```
ggsave("new_species_bar.png",
       plot = new_species_bar,
       units = "in", width = 7, height = 6,
       path = here ("Extracted_data_analysis",                        "temper
ate",                          "Output-Visualization"))
```

New species descriptions that included molecular analyses

```
new_spec_molecular <- temperate %>%
  filter(str_detect(taxonomic_publication, "taxa") &
           molecularAnalyses != "no" &
           molecularAnalyses != "nd" &
           molecularAnalyses != "notapp")

nrow(new_spec_molecular)

## [1] 5
```

DATA CROSSING

```
table(temperate$meso_protection)

##
## mixed    nd    no   yes
##    82   290    57   110
```

VISUALLY SURVEYED SURFACE

```
temperate$visuallySurveyedSurface <- as.factor(temperate$visuallySurveyedSurf
ace)
summary(subset(temperate, is.na(temperate$taxonomic_publication))$visuallySur
veyedSurface)

##           <1           >1          >10         >100        >1000       >10
000
##            9           23           54           76           83
 51
##      >100000     >1000000    >10000000   >100000000 >10000000000
 nd
##           16            4            1            1            1
177
##           no       notapp
##            2           26
```

Observation

```
print(paste("Number of manipulative experimental studies:",nrow(subset(temper
ate, grepl("exp", temperate$observationalORexperimental)))))

## [1] "Number of manipulative experimental studies: 33"

print(paste("Number of manipulative experimental studies in the field of rest
oration:", nrow(subset(temperate, grepl("exp", temperate$observationalORexper
imental) & temperate$field_rest != 0)

               )
            )
      )

## [1] "Number of manipulative experimental studies in the field of restorati
on: 6"
```

Temp replicates & exp

```
print(paste("# Publications that included temporal replicates:", nrow(subset
(temperate, grepl("yes", temporalReplicates)))))

## [1] "# Publications that included temporal replicates: 135"
```

```r
print(paste("# Publications that included temporal replicates:", nrow(subset
(temperate, (grepl("exp", temperate$observationalORexperimental) & grepl("yes
", temporalReplicates))))))
```

```
## [1] "# Publications that included temporal replicates: 26"
```

Health

```r
health <- subset(temperate, grepl("Health", indicators) | grepl("Disease", in
dicators))

unique(health$targetTaxa)
```

```
##  [1] "Corallinales"

##  [2] "no"

##  [3] "Paramuricea_clavata"

##  [4] "Corallium_rubrum"

##  [5] "Bryozoa+Corallium_rubrum+Leptopsammia_pruvoti+Madracis_pharensis"

##  [6] "Eunicella_cavolini+Paramuricea_clavata"

##  [7] "Pachastrella monilifera+Poecillastra_compressa"

##  [8] "Peltaster_placenta+Peltaster_placenta"

##  [9] "Eunicella_verrucosa"

## [10] "Corallium_rubrum+Eunicella_cavolini"

## [11] "Adeonella_calveti+Myriapora_truncata+Pentapora_fascialis+Reteporella
_grimaldii+Smittina_cervicornis"
## [12] "Eunicella_cavolini+Eunicella singularis+Paramuricea_clavata"

## [13] "Cidaris_spp+Corallium_rubrum+Eunicella_cavolinii"

## [14] "Anthipathella_subpinnata+Eunicella_cavolini+Paramuricea_clavata"

## [15] "Viminella_flagellum"

## [16] "Eunicella_singularis"

## [17] "Porifera"

## [18] "Octocorallia"
```

```
## [19] "Anthozoa"

## [20] "notapp"

## [21] "Eunicella_cavolinii+Eunicella_singularis+Eunicella_verrucosa+Paramur
icea_clavata"
## [22] "Placopecten_magellanicus"

## [23] "Eunicella_cavolini+Eunicella_singularis+Paramuricea_clavata"

## [24] "Eunicella_singularis+Paramuricea_clavata"

## [25] "Balticina_willemoesi"

## [26] "Errina_novaezelandiae"

## [27] "Anthipatharia"

## [28] "Eunicella_cavolini"

## [29] "Acropora_austera+Anthozoa"

## [30] "Antipatharia+Octocorallia"

## [31] "Antipatharia+Octocorallia+Porifera"

## [32] "Spinimuricea_klavereni"

## [33] "Desmophyllum_pertusum"
```

ROV & sample

```
rov <- subset(temperate, grepl("rov", meso_samplingPlatform) )

rov_specimen <- subset(rov,  grepl("specimen", collectedDataType) )

print(paste("Percentage of publications relying solely on ROV where specimens
 were collected:", round(nrow(rov_specimen)/nrow(rov)*100,1),"%"))

## [1] "Percentage of publications relying solely on ROV where specimens were
 collected: 40.5 %"

rm(rov, rov_specimen)
```

Molecular techniques in taxonomic and non-taxonomic studies

```
temperate$taxonomic_publication <- as.factor(temperate$taxonomic_publication )
```

```r
molecular <- temperate %>%
  filter(molecularAnalyses != "no" &
           molecularAnalyses != "notapp" &
           molecularAnalyses != "nd")

print(paste("# Publications that adopted molecular techniques: ",nrow(molecul
ar)))

## [1] "# Publications that adopted molecular techniques:  41"

molecular_notaxa <- molecular %>%
  filter(is.na(taxonomic_publication))

print(paste("# Publications that adopted molecular techniques not for taxonom
y: ",nrow(molecular_notaxa)))

## [1] "# Publications that adopted molecular techniques not for taxonomy:  3
6"

rm(molecular, molecular_notaxa)
```