Peering into the twilight - a systematic review on visual-based investigation of mesophotic ecosystems - TROPICAL

Claudia Campanini

2026-03-31

Table of Contents

DATA PREPARATION 2
Load libraries 2
Load data 3
Subset for studies encompassing tropical latitudinal region 3
Cleaning 3
MISSING / ND / NOTAPP VALUES 3
GEOGRAPHICAL DISTRIBUTION 4
Provinces 5
Ecoregions 6
Realms 8
Export geographical distribution summary tables 8
COUNT COLUMNS WITH COMBO 8
Export summary tables 9
COUNT METHODS (PURELY TAXONOMIC STUDIES EXCLUDED) 13
COUNT COLUMNS SPLIT 15
COUNT METHODS (PURELY TAXONOMIC STUDIES EXCLUDED) 20
PUBLICATIONS PER DEPTH 23
PLATFORM BY DEPTH 25
DIRECT - INDIRECT BY DECADE 32
FIELD & INDICATORS 34
Calculate # of ecological indicators per record 39
SAMPLING UNIT 40
Prepare a data frame for sampling unit 40

Calculate # of sampling unit per record 41
Simplified sampling units 41
Quadrat extracted from transect 45
DATA TYPE 46
HABIT 48
SUBSTRATE 50
BENTHIC POSITION 53
TARGET 55
Target level 55
Detected phyla in community studies 57
Target taxonomic groups not at the community level 60
New species described per phyla 63
New species descriptions that included molecular analyses 66
DATA CROSSING 67
VISUALLY SURVEYED SURFACE 67
Observation 67
Temp replicates & exp 67
Health 68
ROV & sample 68
Molecular techniques in taxonomic and non-taxonomic studies 68

DATA PREPARATION

Load libraries

```
library(here)

## here() starts at C:/Users/claud/Documents/COMUNE/STUDIO_LAVORO/Data_analys
is/Projects/Mesophotic_systematic_lit_rev_analysis

library(dplyr)

##
## Caricamento pacchetto: 'dplyr'

## I seguenti oggetti sono mascherati da 'package:stats':
##
##     filter, lag
```

```
## I seguenti oggetti sono mascherati da 'package:base':
##
##     intersect, setdiff, setequal, union
```

```r
library(ggplot2)
library(readxl)   # to import excel data sets
library(magrittr)
library(stringr) #many data wrangling functions
library(readxl)
```

Load data

```r
tropical <- read_excel(here("Extracted_data_analysis","Input_data","extracted
_raw.xlsx"))
```

Subset for studies encompassing tropical latitudinal region

```r
tropical <- subset(tropical, str_detect(tropical$latitudinalRegion, "tropical
"))
```

Cleaning

Clean year columns

```r
#keep the year only in the year column (in some rows exact time is specified)
tropical$publicationYear <-  stringr::str_remove(tropical$publicationYear,
                                  pattern = "\\-.*")
```

MISSING / ND / NOTAPP VALUES

Create a summary table

```r
library(purrr)
```

```
##
## Caricamento pacchetto: 'purrr'

## Il seguente oggetto è mascherato da 'package:magrittr':
##
##     set_names
```

```r
library(tibble)

# Get all column names
cols <- names(tropical[,-c(1:13)])

# Create a summary list
summary_list <- map(cols, function(col) {
  data <- tropical[,-c(1:13)][[col]]

  tibble(
    Column     = col,
```

```r
    unique    = paste(unique(data), collapse = ", "),
    nd        = sum(data == "nd", na.rm = TRUE),
    notapp    = sum(data == "notapp", na.rm = TRUE),
    assigned  = sum(!is.na(data) & data != "nd" & data != "notapp"),
    `NA`        = sum(is.na(data)),
    total     = sum(data == "nd", na.rm = TRUE) +
                sum(data == "notapp", na.rm = TRUE) +
                sum(!is.na(data) & data != "nd" & data != "notapp")
  )
})

# Combine into one dataframe
summary_df <- bind_rows(summary_list)

summary_df
```

```
## # A tibble: 72 × 7
##    Column                 unique                   nd notapp assigned  `NA`
 total
##    <chr>                  <chr>                 <int>  <int>    <int> <int>
 <int>
##  1 meso_direct_indirect   indirect, mixed, di…     3      0      439     0
   442
##  2 meso_samplingPlatform  acou+bruv+tcs, bruv…     3      0      439     0
   442
##  3 taxonomic_publication  NA, taxa, taxa++         0      0       60   382
    60
##  4 meso_substrate         hard, mixed, nd, so…    19      0      385    38
   404
##  5 meso_habitat           coralreef, mixed, N…    11      0      415    16
   426
##  6 meso_protection        mixed, nd, yes, no     344      0       98     0
   442
##  7 taxonomicTargetLevel   comm, group, single…     0      3      439     0
   442
##  8 habit                  mixed, vagile, sess…     0      2      440     0
   442
##  9 environmentalPosition  dem+epi, epi, endo+…     0      1      441     0
   442
## 10 detected_meso_seagrass NA, x, notapp            0      1        6   435
     7
## # ℹ 62 more rows
```

```r
rm(summary_list, cols)
```

GEOGRAPHICAL DISTRIBUTION

```r
location <- tropical[,c (
  "recordTitle","DOI","publicationYear","prov_code","ecoreg_code")]
```

Load Marine Ecoregion of the World data

```
meow <- read.csv(file=here("Extracted_data_analysis","Input_data","MEOW.csv"))
```

Provinces

```
prov <- location

prov_lvls <-
  unique(
    unlist(
      str_split(location$prov_code, "\\_")
                                 )
                         )



prov[,prov_lvls] <- sapply(prov_lvls,
                                        function(y){
                                          str_count(location$prov_code, y)
                                          }
                                        )
rm(prov_lvls)
```

Create a column with the sum of provinces per publication

```
prov %<>%
   mutate(
     prov_per_record = rowSums(
     across(
       where(is.numeric)
       )
     )
   )

prov$prov_per_record <- as.factor(prov$prov_per_record)

prov_per_record_df <- prov %>%
  group_by(prov_per_record) %>%
  summarise(n_records = length(prov_per_record)) %>%
  mutate(percentage= round(n_records / sum(n_records) * 100,0))

prov_per_record_df

## # A tibble: 8 × 3
##   prov_per_record n_records percentage
##   <fct>               <int>      <dbl>
## 1 1                      68         15
## 2 2                     298         67
## 3 3                      59         13
## 4 4                       3          1
## 5 5                       8          2
```

```
## 6 6                          4          1
## 7 7                          1          0
## 8 21                         1          0
```

Create a data frame with number of publication per province

```
prov_tot <-
  prov [, -(length(prov)-1)] %>% # filter out the sum column
  summarise(across(where(is.numeric),
                   list(sum)
                   )
            )

prov_tot <- reshape2::melt(prov_tot, id.vars = NULL)

colnames(prov_tot) <- c("Province", "Count")

prov_tot %<>%
      mutate_at("Province",
                stringr::str_replace, "_1", "")
```

Ecoregions

```
ecoreg <- location
ecoreg_lvls <-
  unique(
    unlist(
      str_split(ecoreg$ecoreg_code, "\\_")
                                )
                          )

ecoreg_lvls<- ecoreg_lvls[! ecoreg_lvls %in% c("")]

ecoreg[,ecoreg_lvls] <- sapply(ecoreg_lvls,
                                       function(y){
                                         str_count(ecoreg$ecoreg_code, y)
                                         }
                                       )
```

Create a column with the number of ecoregions per study

```
ecoreg %<>%
   mutate(
     ecoreg_per_record = rowSums(
     across(
       where(is.numeric)
       )
     )
   )
```

```r
ecoreg$ecoreg_per_record <- as.factor(ecoreg$ecoreg_per_record)
```

Calculate number of records by number of ecoregions in %

```r
ecoreg_per_record_df <- ecoreg %>%
  group_by(ecoreg_per_record) %>%
  summarise(n_records = length(ecoreg_per_record)) %>%
  mutate(percentage= round(n_records / sum(n_records) * 100,1))

ecoreg_per_record_df
```

```
## # A tibble: 6 × 3
##   ecoreg_per_record n_records percentage
##   <fct>                 <int>      <dbl>
## 1 1                       379       85.7
## 2 2                        39        8.8
## 3 3                        18        4.1
## 4 4                         3        0.7
## 5 5                         2        0.5
## 6 12                        1        0.2
```

Create a data frame with number of publication per ecoregion

```r
ecoreg_tot <-
  ecoreg [, -(length(ecoreg)-1)] %>% # filter out the sum column
  summarise(across(where(is.numeric),
                   list(sum)
                   )
            )

ecoreg_tot <- reshape2::melt(ecoreg_tot, id.vars = NULL)

colnames(ecoreg_tot) <- c("Ecoregion", "Count")

ecoreg_tot %<>%
      mutate_at("Ecoregion",
                stringr::str_replace, "_1", "")
```

Add count column to Meow and set 0 to all the ecoregions where no study was conducted

```r
colnames(ecoreg_tot)[colnames(ecoreg_tot) == 'Ecoregion'] <- 'ECO_CODE'
ecoreg_tot$ECO_CODE <- as.character(ecoreg_tot$ECO_CODE)
meow$ECO_CODE <- as.character(meow$ECO_CODE)



ecoreg_tot <-
  left_join(meow, ecoreg_tot, by = 'ECO_CODE') %>%
  mutate(Count = replace(Count, is.na(Count), 0))
```

Export count per ecoregion to csv for the map in QGIS

```
writexl::write_xlsx(ecoreg_tot,
           here("Extracted_data_analysis","tropical","Output-Transformed_data
","eco_reg_tot.xlsx"))
```

Realms

```
realms <- ecoreg_tot %>%
    group_by(RLM_CODE, REALM) %>%
  summarise(Count=sum(Count))

## `summarise()` has regrouped the output.
## ℹ Summaries were computed grouped by RLM_CODE and REALM.
## ℹ Output is grouped by RLM_CODE.
## ℹ Use `summarise(.groups = "drop_last")` to silence this message.
## ℹ Use `summarise(.by = c(RLM_CODE, REALM))` for per-operation grouping
##   (`?dplyr::dplyr_by`) instead.

realms %<>%
  rename(Code = RLM_CODE,
         Realm = REALM)

writexl::write_xlsx(realms,
           here("Extracted_data_analysis","tropical","Output-Transformed_data
","Realm_count.xlsx"))
```

Export geographical distribution summary tables

```
writexl::write_xlsx(list(realms, prov_tot, prov_per_record_df, ecoreg_tot, ec
oreg_per_record_df),
           here("Extracted_data_analysis","tropical","Output-Transformed_data
","geographical_distribution_summary.xlsx"))
```

COUNT COLUMNS WITH COMBO

Create a subset of columns

```
count_columns <- tropical %>%
  select(File,
         meso_substrate,
         habit,
         environmentalPosition,
         observationalORexperimental,
         taxonomicTargetLevel,
         indicators,
         collectedDataType,
         molecularAnalyses)
```

Prepare data set with columns that need count only and add percentage column

```r
count_columns[,] <- lapply(count_columns[,], as.factor)

count_results <- list()

for (col_name in colnames(count_columns)) {
  counts <- count(count_columns, !!sym(col_name))

  count_results[[col_name]] <- counts

  colnames(count_results[[col_name]]) <- c(col_name, "Count")

  count_results[[col_name]] %<>%
    filter(
      if_all(.cols = everything(), ~ !grepl("notapp", .x))
    ) %>%
 # delete rows with "notapp"
    tidyr::drop_na()

  count_results[[col_name]] %<>%
    mutate(Percentage= round(Count / sum(Count) * 100,2))
}

rm(col_name, counts)

count_results <- count_results[names(count_results) != "File"]
```

Export summary tables

```r
library(openxlsx)

write.xlsx(count_results,
           file = here("Extracted_data_analysis",
                       "tropical",
                       "Output-Transformed_data",
                     "summary_counts_question_1-3.xlsx"))
```

Create treemaps charts

```r
treemap_func = function(dat,var) {
  ggplot(dat,
       aes(area=Count,
           fill=.data[[var]],
           line = "black",
           label=paste0(.data[[var]],
                        " \n ",Percentage,"%"))
       )+
  treemapify::geom_treemap(layout = "squarified")+
  treemapify::geom_treemap_text(place = "centre",
                     size = 20)+
  labs(title = var)+
```

```
    theme(plot.title = element_text(hjust = 0.5, size= 20),
          legend.position = "none")

}

treemap_counts <- list()

for (col_name in colnames(count_columns[,-1])) {

  treemap_counts[[col_name]] <- treemap_func(dat= count_results[[col_name]],
var = col_name)

}

treemap_counts[[1]]
```

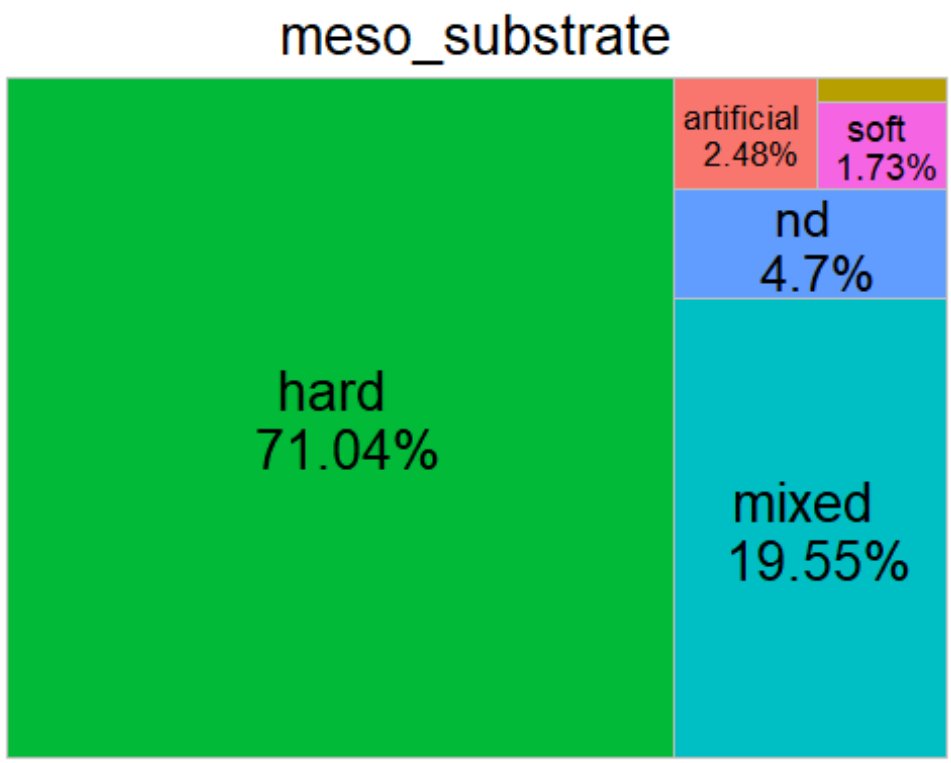

Save all tree maps plots

```
lapply(names(treemap_counts), function(x){
  ggsave(filename=paste0(x,".tiff"),
         plot=treemap_counts[[x]],
         units = "in", width=12, height=4, dpi=300, compression = 'lzw',
         path = here("Extracted_data_analysis",
                     "tropical",
                     "Output-Visualization",
                   "Treemap_counts"),
```

```
        create.dir = T
        )
  })
```

```
## [[1]]
## [1] "C:/Users/claud/Documents/COMUNE/STUDIO_LAVORO/Data_analysis/Projects/
Mesophotic_systematic_lit_rev_analysis/Extracted_data_analysis/tropical/Outpu
t-Visualization/Treemap_counts/meso_substrate.tiff"
##
## [[2]]
## [1] "C:/Users/claud/Documents/COMUNE/STUDIO_LAVORO/Data_analysis/Projects/
Mesophotic_systematic_lit_rev_analysis/Extracted_data_analysis/tropical/Outpu
t-Visualization/Treemap_counts/habit.tiff"
##
## [[3]]
## [1] "C:/Users/claud/Documents/COMUNE/STUDIO_LAVORO/Data_analysis/Projects/
Mesophotic_systematic_lit_rev_analysis/Extracted_data_analysis/tropical/Outpu
t-Visualization/Treemap_counts/environmentalPosition.tiff"
##
## [[4]]
## [1] "C:/Users/claud/Documents/COMUNE/STUDIO_LAVORO/Data_analysis/Projects/
Mesophotic_systematic_lit_rev_analysis/Extracted_data_analysis/tropical/Outpu
t-Visualization/Treemap_counts/observationalORexperimental.tiff"
##
## [[5]]
## [1] "C:/Users/claud/Documents/COMUNE/STUDIO_LAVORO/Data_analysis/Projects/
Mesophotic_systematic_lit_rev_analysis/Extracted_data_analysis/tropical/Outpu
t-Visualization/Treemap_counts/taxonomicTargetLevel.tiff"
##
## [[6]]
## [1] "C:/Users/claud/Documents/COMUNE/STUDIO_LAVORO/Data_analysis/Projects/
Mesophotic_systematic_lit_rev_analysis/Extracted_data_analysis/tropical/Outpu
t-Visualization/Treemap_counts/indicators.tiff"
##
## [[7]]
## [1] "C:/Users/claud/Documents/COMUNE/STUDIO_LAVORO/Data_analysis/Projects/
Mesophotic_systematic_lit_rev_analysis/Extracted_data_analysis/tropical/Outpu
t-Visualization/Treemap_counts/collectedDataType.tiff"
##
## [[8]]
## [1] "C:/Users/claud/Documents/COMUNE/STUDIO_LAVORO/Data_analysis/Projects/
Mesophotic_systematic_lit_rev_analysis/Extracted_data_analysis/tropical/Outpu
t-Visualization/Treemap_counts/molecularAnalyses.tiff"
```

```
lapply(names(treemap_counts), function(x){
  ggsave(filename=paste0(x,".png"),
         plot=treemap_counts[[x]],
         units = "in", width=12, height=4, dpi=300,
         path = here("Extracted_data_analysis",
                     "tropical",
```

```
                        "Output-Visualization",
                      "Treemap_counts"),
         create.dir = T
         )
  })
```

```
## [[1]]
## [1] "C:/Users/claud/Documents/COMUNE/STUDIO_LAVORO/Data_analysis/Projects/
Mesophotic_systematic_lit_rev_analysis/Extracted_data_analysis/tropical/Outpu
t-Visualization/Treemap_counts/meso_substrate.png"
##
## [[2]]
## [1] "C:/Users/claud/Documents/COMUNE/STUDIO_LAVORO/Data_analysis/Projects/
Mesophotic_systematic_lit_rev_analysis/Extracted_data_analysis/tropical/Outpu
t-Visualization/Treemap_counts/habit.png"
##
## [[3]]
## [1] "C:/Users/claud/Documents/COMUNE/STUDIO_LAVORO/Data_analysis/Projects/
Mesophotic_systematic_lit_rev_analysis/Extracted_data_analysis/tropical/Outpu
t-Visualization/Treemap_counts/environmentalPosition.png"
##
## [[4]]
## [1] "C:/Users/claud/Documents/COMUNE/STUDIO_LAVORO/Data_analysis/Projects/
Mesophotic_systematic_lit_rev_analysis/Extracted_data_analysis/tropical/Outpu
t-Visualization/Treemap_counts/observationalORexperimental.png"
##
## [[5]]
## [1] "C:/Users/claud/Documents/COMUNE/STUDIO_LAVORO/Data_analysis/Projects/
Mesophotic_systematic_lit_rev_analysis/Extracted_data_analysis/tropical/Outpu
t-Visualization/Treemap_counts/taxonomicTargetLevel.png"
##
## [[6]]
## [1] "C:/Users/claud/Documents/COMUNE/STUDIO_LAVORO/Data_analysis/Projects/
Mesophotic_systematic_lit_rev_analysis/Extracted_data_analysis/tropical/Outpu
t-Visualization/Treemap_counts/indicators.png"
##
## [[7]]
## [1] "C:/Users/claud/Documents/COMUNE/STUDIO_LAVORO/Data_analysis/Projects/
Mesophotic_systematic_lit_rev_analysis/Extracted_data_analysis/tropical/Outpu
t-Visualization/Treemap_counts/collectedDataType.png"
##
## [[8]]
## [1] "C:/Users/claud/Documents/COMUNE/STUDIO_LAVORO/Data_analysis/Projects/
Mesophotic_systematic_lit_rev_analysis/Extracted_data_analysis/tropical/Outpu
t-Visualization/Treemap_counts/molecularAnalyses.png"
```

COUNT METHODS (PURELY TAXONOMIC STUDIES EXCLUDED)

Remove purely taxonomic studies and subset columns (taxa++ was assigned to studies that led to the description of new species but where also ecological e.g. describing community for a given taxonomic group)

```
methods <- tropical %>%
  filter(taxonomic_publication == "taxa++" |  is.na(taxonomic_publication) )
 %>%
  select(File,
         meso_design,
         meso_replicates,
         temporalReplicates,
         abioticVariablesCollection,
         abioticVariables)

count_columns_method <- methods
```

Prepare data set with columns that need count only and add percentage column

```
count_columns_method[,] <- lapply(count_columns_method[,], as.factor)

count_results_method <- list()

for (col_name in colnames(count_columns_method)) {
  counts <- count(count_columns_method, !!sym(col_name))

  count_results_method[[col_name]] <- counts

  colnames(count_results_method[[col_name]]) <- c(col_name, "Count")

  count_results_method[[col_name]] %<>%
    filter(
      if_all(.cols = everything(), ~ !grepl("notapp", .x))
    ) %>%
 # delete rows with "notapp"
    tidyr::drop_na()

  count_results_method[[col_name]] %<>%
    mutate(Percentage= round(Count / sum(Count) * 100,1))
}

rm(col_name, counts)

count_results_method <- count_results_method[names(count_results_method) != "
File"]
```

Export summary tables

```
library(openxlsx)

write.xlsx(count_results_method,
           file = here("Extracted_data_analysis",                        "tro
pical",                        "Output-Transformed_data",
                    "summary_counts_question_4.xlsx"))
```

Create treemaps charts

```
treemap_func = function(dat,var) {
  ggplot(dat,
       aes(area=Count,
           fill=.data[[var]],
           line = "black",
           label=paste0(.data[[var]],
                        " \n ",Percentage,"%"))
       )+
  treemapify::geom_treemap(layout = "squarified")+
  treemapify::geom_treemap_text(place = "centre",
                    size = 20)+
  labs(title = var)+
    theme(plot.title = element_text(hjust = 0.5, size= 20),
          legend.position = "none")

}

treemap_counts <- list()

for (col_name in colnames(count_columns_method[,-1])) {

  treemap_counts[[col_name]] <- treemap_func(dat= count_results_method[[col_n
ame]], var = col_name)

}

treemap_counts[[1]]
```

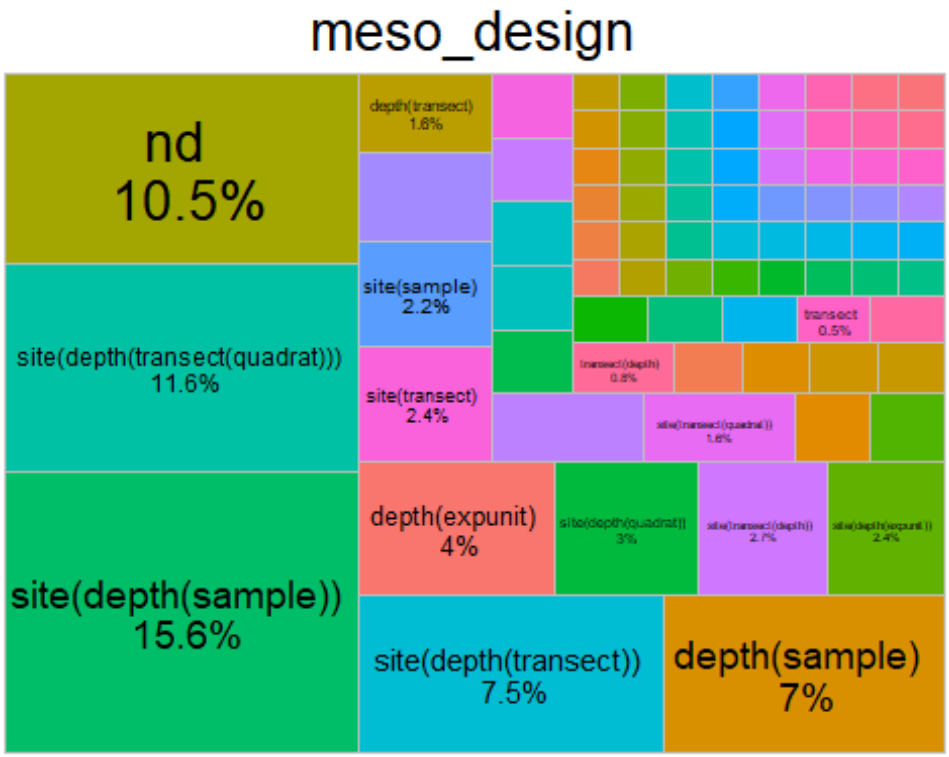

Save all tree maps plots

```
lapply(names(treemap_counts), function(x){
  ggsave(filename=paste0("treemap",x,".tiff"),
         plot=treemap_counts[[x]],
         units = "in", width=12, height=4, dpi=300, compression = 'lzw',
         path = here("Extracted_data_analysis","tropical",
     "Output-Visualization","Treemaps_methods"),
         create.dir = T
         )
  })

lapply(names(treemap_counts), function(x){
  ggsave(filename=paste0("treemap",x,".png"),
         plot=treemap_counts[[x]],
         units = "in", width=12, height=4, dpi=300,
         path = here("Extracted_data_analysis",                        "tropi
cal",                        "Output-Visualization","Treemaps_methods"),
         create.dir = T
         )
  })
```

COUNT COLUMNS SPLIT

Create a list of data frame splitting values

```r
split_columns <- tropical %>%
  select(meso_substrate,
         habit,
         environmentalPosition,
         observationalORexperimental,
         taxonomicTargetLevel,
         indicators,
         collectedDataType,
         molecularAnalyses)


split_columns[,] <- lapply(split_columns[,], as.factor)
```

Prepare data set with columns

```r
split_results <- list()

for (col_name in colnames(split_columns)) {
  # Split the values of each column by "+"
  lvls <- unique(unlist(str_split(split_columns[[col_name]], "\\+")))

  # Initialize a list to store counts for each level
  split_counts <- sapply(lvls, function(y) {
    # Count how many times each unique level appears in the column
    str_count(split_columns[[col_name]], fixed(y))
    }
    )

  split_results[[col_name]] <- split_counts
}

## Warning in stri_count_fixed(string, pattern, opts_fixed = opts(pattern)):
empty
## search patterns are not supported

rm(lvls)
```

Add percentage column

```r
split_tot <- list()

for(col_name in colnames(split_columns)) {
  split_results[[col_name]] <- as.data.frame(split_results[[col_name]])

  split_results[[col_name]] %<>% # delete rows with missing values
    select(where(function(x) any(!is.na(x)))) %>%
    select(-any_of("notapp")) %>%
    tidyr::drop_na()

    split_tot[[col_name]] <- as.data.frame(split_results[[col_name]]) %>%
```

```
    summarise(across(where(is.numeric), list(sum)))

  split_tot[[col_name]]  <- reshape2::melt(split_tot[[col_name]], id.vars = N
ULL)

  colnames(split_tot[[col_name]]) <- c(col_name, "Count")

  split_tot[[col_name]] %<>%
        mutate_at(col_name,
                  stringr::str_replace, "_1", "")


  split_tot[[col_name]] %<>%
      mutate(Percentage= round(Count / nrow(split_results[[col_name]] ) * 100,
2))

}

rm(col_name)
```

Export summary tables

```
library(openxlsx)

write.xlsx(split_tot,
           file = here("Extracted_data_analysis",                        "tro
pical",                        "Output-Transformed_data",
                     "summary_split_counts_question_1_3.xlsx"))
```

Create bar charts for each collected parameter

```
barchart_func = function(dat,var) {

 ggplot(dat,
       aes(x = reorder(.data[[var]], Count), y = Count, fill= .data[[var]]))
+
  geom_bar(stat = "identity", fill = "#0097A7") +
  geom_text(
    data = dat %>% filter(Percentage >= 2),
    aes(label = paste0(round(Percentage, 0), "%")),
    position = position_stack(vjust =0.5),
    color = "black",
    size = 2.5
  )+
  labs(y = "# Publications", x = var) +
  theme_minimal() +
  coord_flip()+  # optional: flips for horizontal bars
  theme(legend.position ="none")
```

```
}

barchart_counts <- list()

for (col_name in colnames(split_columns)) {

  barchart_counts[[col_name]] <- barchart_func(dat= split_tot[[col_name]], va
r = as.character(col_name))

}

barchart_counts[[1]]
```

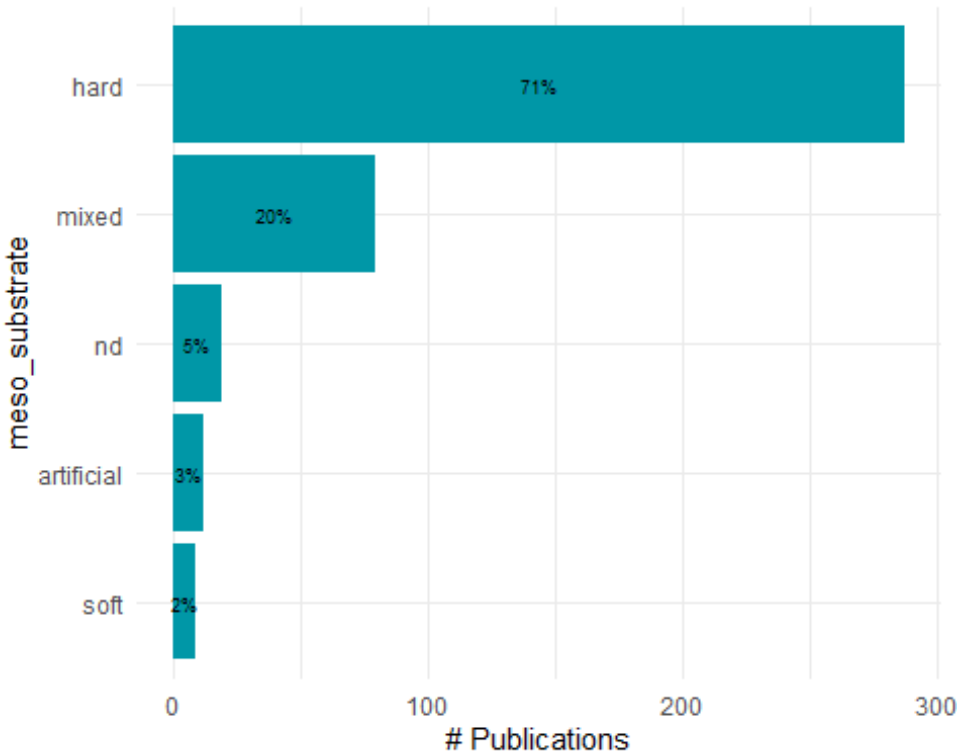


```
lapply(names(barchart_counts), function(x){
  ggsave(filename=paste0("bar_",x,".tiff"),
         plot=barchart_counts[[x]],
         units = "in", width=12, height=4, dpi=300, compression = 'lzw',
         path = here("Extracted_data_analysis",                        "tropi
cal",                        "Output-Visualization","Barcharts_split"),
         create.dir = T
         )
  })

## [[1]]
## [1] "C:/Users/claud/Documents/COMUNE/STUDIO_LAVORO/Data_analysis/Projects/
Mesophotic_systematic_lit_rev_analysis/Extracted_data_analysis/tropical/Outpu
```

```
t-Visualization/Barcharts_split/bar_meso_substrate.tiff"
##
## [[2]]
## [1] "C:/Users/claud/Documents/COMUNE/STUDIO_LAVORO/Data_analysis/Projects/
Mesophotic_systematic_lit_rev_analysis/Extracted_data_analysis/tropical/Outpu
t-Visualization/Barcharts_split/bar_habit.tiff"
##
## [[3]]
## [1] "C:/Users/claud/Documents/COMUNE/STUDIO_LAVORO/Data_analysis/Projects/
Mesophotic_systematic_lit_rev_analysis/Extracted_data_analysis/tropical/Outpu
t-Visualization/Barcharts_split/bar_environmentalPosition.tiff"
##
## [[4]]
## [1] "C:/Users/claud/Documents/COMUNE/STUDIO_LAVORO/Data_analysis/Projects/
Mesophotic_systematic_lit_rev_analysis/Extracted_data_analysis/tropical/Outpu
t-Visualization/Barcharts_split/bar_observationalORexperimental.tiff"
##
## [[5]]
## [1] "C:/Users/claud/Documents/COMUNE/STUDIO_LAVORO/Data_analysis/Projects/
Mesophotic_systematic_lit_rev_analysis/Extracted_data_analysis/tropical/Outpu
t-Visualization/Barcharts_split/bar_taxonomicTargetLevel.tiff"
##
## [[6]]
## [1] "C:/Users/claud/Documents/COMUNE/STUDIO_LAVORO/Data_analysis/Projects/
Mesophotic_systematic_lit_rev_analysis/Extracted_data_analysis/tropical/Outpu
t-Visualization/Barcharts_split/bar_indicators.tiff"
##
## [[7]]
## [1] "C:/Users/claud/Documents/COMUNE/STUDIO_LAVORO/Data_analysis/Projects/
Mesophotic_systematic_lit_rev_analysis/Extracted_data_analysis/tropical/Outpu
t-Visualization/Barcharts_split/bar_collectedDataType.tiff"
##
## [[8]]
## [1] "C:/Users/claud/Documents/COMUNE/STUDIO_LAVORO/Data_analysis/Projects/
Mesophotic_systematic_lit_rev_analysis/Extracted_data_analysis/tropical/Outpu
t-Visualization/Barcharts_split/bar_molecularAnalyses.tiff"
```

```r
lapply(names(barchart_counts), function(x){
  ggsave(filename=paste0("bar_",x,".png"),
         plot=barchart_counts[[x]],
         units = "in", width=12, height=4, dpi=300,
         path = here("Extracted_data_analysis",                        "tropi
cal",                        "Output-Visualization","Barcharts_split"),
         create.dir = T
         )
  })
```

```
## [[1]]
## [1] "C:/Users/claud/Documents/COMUNE/STUDIO_LAVORO/Data_analysis/Projects/
Mesophotic_systematic_lit_rev_analysis/Extracted_data_analysis/tropical/Outpu
```

```
t-Visualization/Barcharts_split/bar_meso_substrate.png"
##
## [[2]]
## [1] "C:/Users/claud/Documents/COMUNE/STUDIO_LAVORO/Data_analysis/Projects/
Mesophotic_systematic_lit_rev_analysis/Extracted_data_analysis/tropical/Outpu
t-Visualization/Barcharts_split/bar_habit.png"
##
## [[3]]
## [1] "C:/Users/claud/Documents/COMUNE/STUDIO_LAVORO/Data_analysis/Projects/
Mesophotic_systematic_lit_rev_analysis/Extracted_data_analysis/tropical/Outpu
t-Visualization/Barcharts_split/bar_environmentalPosition.png"
##
## [[4]]
## [1] "C:/Users/claud/Documents/COMUNE/STUDIO_LAVORO/Data_analysis/Projects/
Mesophotic_systematic_lit_rev_analysis/Extracted_data_analysis/tropical/Outpu
t-Visualization/Barcharts_split/bar_observationalORexperimental.png"
##
## [[5]]
## [1] "C:/Users/claud/Documents/COMUNE/STUDIO_LAVORO/Data_analysis/Projects/
Mesophotic_systematic_lit_rev_analysis/Extracted_data_analysis/tropical/Outpu
t-Visualization/Barcharts_split/bar_taxonomicTargetLevel.png"
##
## [[6]]
## [1] "C:/Users/claud/Documents/COMUNE/STUDIO_LAVORO/Data_analysis/Projects/
Mesophotic_systematic_lit_rev_analysis/Extracted_data_analysis/tropical/Outpu
t-Visualization/Barcharts_split/bar_indicators.png"
##
## [[7]]
## [1] "C:/Users/claud/Documents/COMUNE/STUDIO_LAVORO/Data_analysis/Projects/
Mesophotic_systematic_lit_rev_analysis/Extracted_data_analysis/tropical/Outpu
t-Visualization/Barcharts_split/bar_collectedDataType.png"
##
## [[8]]
## [1] "C:/Users/claud/Documents/COMUNE/STUDIO_LAVORO/Data_analysis/Projects/
Mesophotic_systematic_lit_rev_analysis/Extracted_data_analysis/tropical/Outpu
t-Visualization/Barcharts_split/bar_molecularAnalyses.png"
```

COUNT METHODS (PURELY TAXONOMIC STUDIES EXCLUDED)

Create data frame with subset

```
split_columns_methods <- methods

split_columns_methods[,] <- lapply(split_columns_methods[,], as.factor)
```

Prepare data set with columns

```r
split_results_methods <- list()

for (col_name in colnames(split_columns_methods)) {
  # Split the values of each column by "+"
  lvls <- unique(unlist(str_split(split_columns_methods[[col_name]], "\\+")))

  # Initialize a list to store counts for each level
  split_counts_methods <- sapply(lvls, function(y) {
    # Count how many times each unique level appears in the column
    str_count(split_columns_methods[[col_name]], fixed(y))
    }
    )

  split_results_methods[[col_name]] <- split_counts_methods
}

rm(lvls)
```

Add percentage column

```r
split_tot_methods <- list()

for(col_name in colnames(split_columns_methods)) {
  split_results_methods[[col_name]] <- as.data.frame(split_results_methods[[c
ol_name]])

  split_results_methods[[col_name]] %<>% # delete rows with missing values
    select(where(function(x) any(!is.na(x)))) %>%
    select(-any_of("notapp")) %>%
    tidyr::drop_na()

    split_tot_methods[[col_name]] <- as.data.frame(split_results_methods[[col
_name]]) %>%
    summarise(across(where(is.numeric), list(sum)))

  split_tot_methods[[col_name]]  <- reshape2::melt(split_tot_methods[[col_nam
e]], id.vars = NULL)

  colnames(split_tot_methods[[col_name]]) <- c(col_name, "Count")

  split_tot_methods[[col_name]] %<>%
        mutate_at(col_name,
                  stringr::str_replace, "_1", "")


  split_tot_methods[[col_name]] %<>%
      mutate(Percentage= round(Count / nrow(split_results_methods[[col_name]]
 ) * 100,2))
```

```
}

rm(col_name)
```

Export summary tables

```
library(openxlsx)

write.xlsx(split_results_methods,
           file = here("Extracted_data_analysis",                        "tro
pical",                        "Output-Transformed_data",
                     "summary_split_counts_question_4.xlsx"))
```

Create bar charts per each parameter collected

```
barchart_func = function(dat,var) {

 ggplot(dat,
       aes(x = reorder(.data[[var]], Count), y = Count, fill= .data[[var]]))
+
  geom_bar(stat = "identity", fill = "#0097A7") +
  geom_text(
    data = dat %>% filter(Percentage >= 2),
    aes(label = paste0(round(Percentage, 0), "%")),
    position = position_stack(vjust =0.5),
    color = "black",
    size = 2.5
  )+
  labs(y = "# Publications", x = var) +
  theme_minimal() +
  coord_flip()+  # optional: flips for horizontal bars
  theme(legend.position ="none")

}

barchart_split_methods <- list()

for (col_name in colnames(split_columns_methods)) {

  barchart_split_methods[[col_name]] <- barchart_func(dat= split_tot_methods
[[col_name]], var = as.character(col_name))

}

barchart_split_methods[[4]]
```

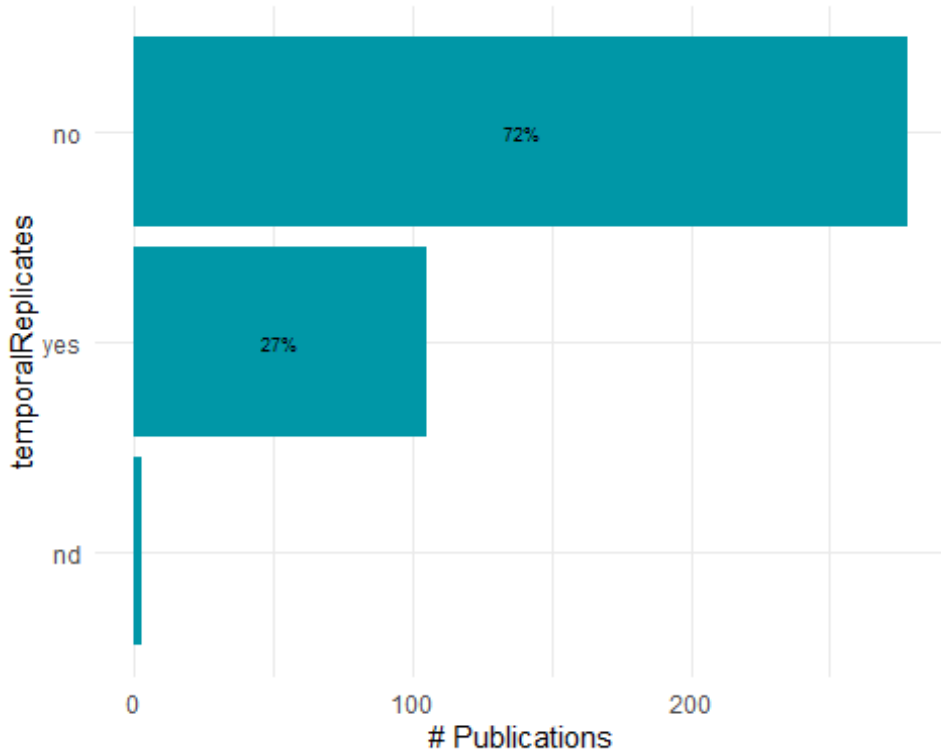

Export bar charts in a dedicated folder

```
lapply(names(barchart_counts), function(x){
  ggsave(filename=paste0("bar_",x,".tiff"),
         plot=barchart_counts[[x]],
         units = "in", width=12, height=4, dpi=300, compression = 'lzw',
         path = here("Extracted_data_analysis",                        "tropi
cal",                        "Output-Visualization","Barcharts_split_methods
"), create.dir = T
         )
  })

lapply(names(barchart_counts), function(x){
  ggsave(filename=paste0("bar_",x,".png"),
         plot=barchart_counts[[x]],
         units = "in", width=12, height=4, dpi=300,
         path = here("Extracted_data_analysis",                        "tropi
cal",                        "Output-Visualization","Barcharts_split"), creat
e.dir = T
         )
  })
```

PUBLICATIONS PER DEPTH

```
tropical$mininumSurveyedDepthInMeters <- as.numeric(tropical$mininumSurveyedD
epthInMeters)
```

```r
tropical$maximumSurveyedDepthInMeters <- as.numeric(tropical$maximumSurveyedD
epthInMeters)

# Define depth bins
bins <- seq(31, 151, by = 10)

# Create a data frame to hold bin counts
pubs_depth <- data.frame(
  bin_start = bins[-length(bins)],
  bin_end = bins[-1]-1,
  count = 0
)

# For each bin, count how many studies cover that depth range
for (i in 1:nrow(pubs_depth)) {
  bin_start <- pubs_depth$bin_start[i]
  bin_end <- pubs_depth$bin_end[i]

  pubs_depth$count[i] <- sum(tropical$maximumSurveyedDepthInMeters >= bin_sta
rt & tropical$mininumSurveyedDepthInMeters < bin_end, na.rm = TRUE)
}

pubs_depth$depth_bin <- paste(pubs_depth$bin_start, "-", pubs_depth$bin_end)

pubs_depth$depth_bin <- reorder(pubs_depth$depth_bin, -pubs_depth$bin_start)


ggplot(pubs_depth, aes(x = factor(depth_bin), y = count)) +
  geom_bar(stat = "identity", fill = "darkorange") +
  labs(x = "Depth interval (m)", y = "Number of publications") +
  theme_minimal()+
  coord_flip()+
  scale_y_continuous(position="right")
```

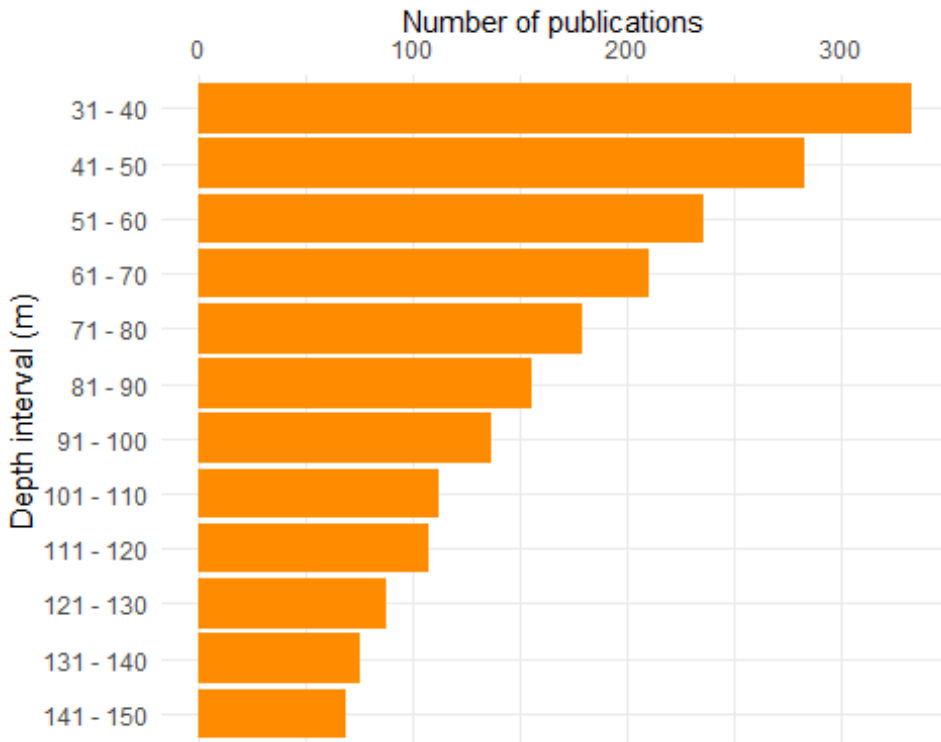

Export pubs per depth bar plot

PLATFORM BY DEPTH

Create a platform by depth data frame and keep meso_samplingPlatform

```
platform_depth <- tropical %>%
  select(File,
         mininumSurveyedDepthInMeters,
         maximumSurveyedDepthInMeters,
         meso_direct_indirect,
         meso_samplingPlatform,
         max_depth_hov, min_depth_hov,
         max_depth_rov, min_depth_rov,
         max_depth_ccr, min_depth_ccr,
         max_depth_open, min_depth_open,
         max_depth_scuba, min_depth_scuba
         )
```

Split the platform column in one binary column per platform

```
platform_lvls <-
  unique(
    unlist(
      str_split(platform_depth$meso_samplingPlatform, "\\+")
                                  )
```

```
                        )

platform_lvls<- platform_lvls[! platform_lvls %in% c("",NA,"notapp",",","nd")]

platform_depth[,platform_lvls] <- sapply(platform_lvls,
                                         function(y){
                                           str_count(platform_depth$meso_samplin
gPlatform, y)
                                           }
                                         )

rm(platform_lvls)

platform_depth[,-c(1:15)] <- lapply(platform_depth[,-c(1:15)], as.numeric)

platform_depth[,c(1:15)] <- lapply(platform_depth[,c(1:15)], as.character)


platform_depth %<>%
  rename(open_direct = open,
         ccr_direct = ccr,
         scuba_direct = scuba)  %>%
  select(-meso_samplingPlatform)
```

Create a summary table with # studies per platform

```
platform_summary <- platform_depth %>%
  summarise(across(where(is.numeric), ~ sum(.x, na.rm = TRUE)))

platform_summary <- as.data.frame(t(platform_summary))

platform_summary %<>%
  mutate(Platform = rownames(platform_summary)) %>%
  rename(Count = V1) %>%
  relocate(Count,.after = where(is.character))

platform_summary

##                   Platform Count
## acou                  acou    26
## bruv                  bruv     8
## tcs                    tcs    16
## dredge              dredge    15
## fishery            fishery     6
## scuba_direct scuba_direct    74
## trawl                trawl     2
## open_direct   open_direct   169
## hov                    hov    85
## rov                    rov   100
```

```
## ccr_direct     ccr_direct    80
## auv                   auv     8
## grab                 grab    13
## vams                 vams     2
## mixed               mixed     1
## drop                 drop     8
## station           station     1
```

Create a column with the number of platforms per study

```
platform_per_record <- platform_depth %>%
  filter(meso_direct_indirect != "nd") %>%
   mutate(
     platform_per_record = rowSums(
     across(
       where(is.numeric)
       )
     )
   )

platform_per_record$platform_per_record <- as.factor(platform_per_record$plat
form_per_record)
```

Calculate number of records by number of platforms in %

```
platform_per_record <- platform_per_record %>%
  group_by(platform_per_record) %>%
  summarise(n_records = length(platform_per_record)) %>%
  mutate(percentage= round(n_records / sum(n_records) * 100,1))

platform_per_record
```

```
## # A tibble: 4 × 3
##   platform_per_record n_records percentage
##   <fct>                   <int>      <dbl>
## 1 1                         307       69.9
## 2 2                          97       22.1
## 3 3                          27        6.2
## 4 4                           8        1.8
```

Keep most common visual platforms only

```
platform_depth_mod <- cbind(platform_depth[,c(1:14)],
                            platform_depth$ccr_direct,
                            platform_depth$open_direct,
                            platform_depth$scuba_direct,
                            platform_depth$hov,
                            platform_depth$rov)

names(platform_depth_mod) <- gsub("platform_depth\\$", "", names(platform_dep
th_mod))
```

Set max depth of studies with max depth > 150 to 150 so they fit into the plot

```
platform_depth_long <- within(platform_depth_mod, rm(mininumSurveyedDepthInMe
ters, maximumSurveyedDepthInMeters, max_depth_direct, meso_direct_indirect, h
ov, rov, open_direct, ccr_direct, scuba_direct))

platform_depth_long[,-1] <- lapply(platform_depth_long[,-1], as.numeric)

str(platform_depth_long)
```

```
## 'data.frame':    442 obs. of  11 variables:
##  $ File           : chr  "AbdulWahabEtAl_2018_Biodiversity_spatial_pattern
s.md" "AbesamisEtAl_2018_Benthic_habitat_fish.md" "AlbanoEtAl_2011_challenge_
small_rare.md" "AlbeldaEtAl_2020_Juvenile_scleractinian_assemblage.md" ...
##  $ max_depth_hov  : num  NA NA NA NA NA NA NA NA NA 150 ...
##  $ min_depth_hov  : num  NA NA NA NA NA NA NA NA NA 45 ...
##  $ max_depth_rov  : num  NA NA NA NA NA NA 100 70 NA NA ...
##  $ min_depth_rov  : num  NA NA NA NA NA NA 20 20 NA NA ...
##  $ max_depth_ccr  : num  NA NA NA NA NA NA NA NA NA NA ...
##  $ min_depth_ccr  : num  NA NA NA NA NA NA NA NA NA NA ...
##  $ max_depth_open : num  NA NA NA 40 NA NA 53 NA NA NA ...
##  $ min_depth_open : num  NA NA NA 3 NA NA 10 20 NA NA ...
##  $ max_depth_scuba: num  NA NA NA NA NA 55 NA NA NA NA ...
##  $ min_depth_scuba: num  NA NA 1 NA 72 4 NA NA NA NA ...
```

```
platform_depth_long  %<>%
  mutate(max_depth_scuba = case_when(max_depth_scuba >= 150 ~ 150,
                                     TRUE ~ max_depth_scuba)
         ) %>%
  mutate(max_depth_hov = case_when(max_depth_hov >= 150 ~ 150,
                                   TRUE ~ max_depth_hov)
         ) %>%
  mutate(max_depth_rov = case_when(max_depth_rov >= 150 ~ 150,
                                   TRUE ~ max_depth_rov)
         ) %>%
  mutate(max_depth_ccr = case_when(max_depth_ccr >= 150 ~ 150,
                                   TRUE ~ max_depth_ccr)) %>%
  mutate(max_depth_open = case_when(max_depth_open >= 150 ~ 150,
                                    TRUE ~ max_depth_open))
```

Set min depth of studies with min depth <30 to 30 so they fit into the plot

```
platform_depth_long %<>%
  mutate(min_depth_scuba = case_when(min_depth_scuba <= 30 ~ 30,
                                     TRUE ~ min_depth_scuba)
         ) %>%
  mutate(min_depth_hov = case_when(min_depth_hov <= 30 ~ 30,
                                   TRUE ~ min_depth_hov)
         ) %>%
  mutate(min_depth_rov = case_when(min_depth_rov <= 30 ~ 30,
                                   TRUE ~ min_depth_rov)
```

```
        ) %>%
  mutate(min_depth_ccr = case_when(min_depth_ccr <= 30 ~ 30,
                                   TRUE ~ min_depth_ccr)) %>%
  mutate(min_depth_open = case_when(min_depth_open <= 30 ~ 30,
                                   TRUE ~ min_depth_open))
```

Convert platform_depth_long to long format

```
platform_min_depth_long <- platform_depth_long %>%
  select(-c(max_depth_hov, max_depth_rov, max_depth_open, max_depth_scuba, ma
x_depth_ccr))


platform_min_depth_long[,c(1,2)] <- lapply(platform_min_depth_long[,c(1,2)],
as.factor)

platform_min_depth_long %<>%
  reshape2::melt(platform_min_depth_long,
                 id.vars = c("File"),
                 measure.vars = grep("^min_depth_|^max_depth_",
                                     names(platform_min_depth_long),
                                     value = TRUE),
                 variable.name = "Platform",
                 value.name = "min_depth"
                 )

## Warning: attributes are not identical across measure variables; they will
be
## dropped

platform_max_depth_long <- platform_depth_long %>%
    select(-c(min_depth_hov, min_depth_rov, min_depth_open, min_depth_scuba,
min_depth_ccr))

platform_max_depth_long %<>%
    reshape2::melt(platform_max_depth_long,
                 id.vars = c("File"),
                 measure.vars = grep("^min_depth_|^max_depth_",
                                     names(platform_max_depth_long),
                                     value = TRUE),
                 variable.name = "Platform",
                 value.name = "max_depth"
                 )

platform_depth_lat_long <- cbind(platform_min_depth_long, platform_max_depth_
long$max_depth)

rm(platform_min_depth_long, platform_max_depth_long)
```

```
platform_depth_lat_long %<>%
  rename(max_depth =`platform_max_depth_long$max_depth`)

platform_depth_lat_long$Platform <- gsub("min_depth_", "", platform_depth_lat
_long$Platform)

platform_depth_lat_long$Platform <- gsub("max_depth_", "", platform_depth_lat
_long$Platform)
```

Set proper labelling for platform

```
platform_depth_lat_long %<>%
  mutate(Platform = case_when(Platform == "ccr" ~ "CCR",
                              Platform == "scuba" ~ "SCUBA",
                              Platform == "open" ~ "OC",
                              Platform == "rov" ~ "ROV",
                              Platform == "hov" ~ "HOV",
                              TRUE ~ Platform)
         ) %>%
  mutate(Platform = as.factor(Platform))
```

Add visual column to reorder platform

```
platform_depth_lat_long %<>%
  mutate(Visual = as.factor(case_when(Platform == "OC" |
                                      Platform == "SCUBA" |
                                      Platform == "CCR" ~ "direct",
                              TRUE ~ "indirect" )
  )
  )

platform_depth_lat_long %<>%
  mutate(Platform = forcats::fct_reorder(Platform, as.integer(Visual)))
```

Create a bar plot with depth bins by platform and latitudinalRegion

```
depth_bins <- tibble(
  bin_start = seq(-30, -140, by = -10),
  bin_end   = seq(-40, -150, by = -10)
) %>%
  mutate(bin_label = paste0(abs(bin_start), "-", abs(bin_end)))

platform_depth_lat_long <- platform_depth_lat_long %>%
  mutate(
    min_depth = as.numeric(min_depth),  # positive e.g., 30
    max_depth = as.numeric(max_depth)   # positive e.g., 150
  )

expanded_data <- platform_depth_lat_long %>%
  tidyr::crossing(depth_bins) %>%
```

```
  # Convert study range to negative depths: [-max_depth, -min_depth]
  filter(bin_end >= -max_depth, bin_start <= -min_depth) %>%
  mutate(
    bin_label = factor(bin_label, levels = rev(depth_bins$bin_label))
  )

# Plot with count labels on the right
platform_depth_plot <- ggplot(expanded_data, aes(x = bin_label)) +
  geom_bar(position = "stack", alpha= 0.8, fill= "darkorange") +
  scale_y_continuous(name = "Number of Studies",
                     expand = expansion(mult = c(0, 0.15))) +  # Make room fo
r text
  scale_x_discrete(name = "Depth (m)") +
  coord_flip() +  # Depth on y-axis (shallow at top)
  facet_wrap(~ Platform, nrow = 1) +
  theme_minimal() +
  theme(legend.position = "none")

platform_depth_plot
```

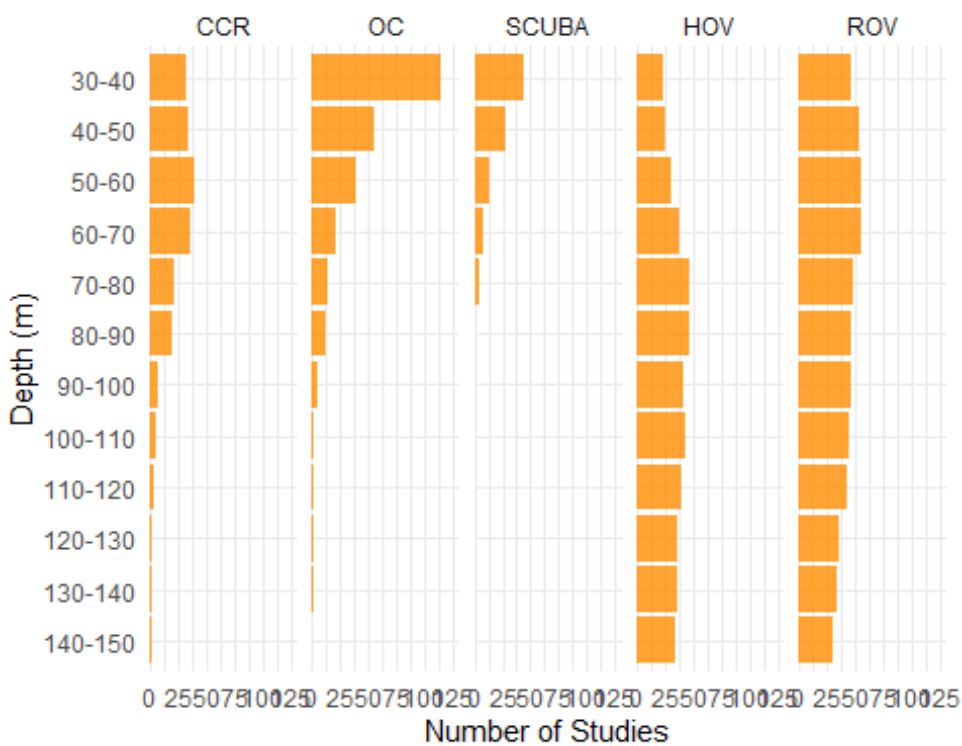

Export bar plot of most common platform per depth interval

```
ggsave("platform_depth_plot.tiff",
       plot = platform_depth_plot,
       units = "in", width = 8, height = 6, dpi = 300, compression = 'lzw',
       path = here ("Extracted_data_analysis",                        "tropic
al",                          "Output-Visualization"))
```

```
ggsave("platform_depth_plot.png",
       plot = platform_depth_plot,
       units = "in", width = 8, height = 5,
       path = here ("Extracted_data_analysis", "tropical",
   "Output-Visualization"))
```

DIRECT - INDIRECT BY DECADE

```
dir_ind_by_decade <- tropical

dir_ind_by_decade %<>%
         mutate(decade = case_when(publicationYear >= 1960 & publicationYear
< 1970 ~ "1970-1979",
                                   publicationYear >= 1970 & publicationYear <
1980 ~ "1970-1979",
                                   publicationYear >= 1980 & publicationYear <
1990 ~ "1980-1989",
                                   publication Year >= 1990 & publicationYear <
2000 ~ "1990-1999",
                                   publicationYear >= 2000 & publicationYear <
2010 ~ "2000-2009",
                                   publicationYear >= 2010 & publicationYear <
2020 ~ "2010-2019",
                                   publicationYear >= 2020 ~ "2020-2023")
               )

dir_ind_by_decade_lat <- dir_ind_by_decade

dir_ind_by_decade <- dir_ind_by_decade [, c("meso_direct_indirect","decade")]
 %>%
  group_by(decade,meso_direct_indirect) %>%
  tally()

colnames(dir_ind_by_decade) <- c("Decade", "Technique","Count")

unique(dir_ind_by_decade$Technique)

## [1] "direct"   "mixed"    "indirect" "nd"

dir_ind_by_decade %<>%
  filter(Technique != "nd" & Technique != "NA") %>% #remove nd from viz becau
se they accounted for a really small percentage
  group_by(Decade) %>%
  mutate(Percentage = round(Count / sum(Count) * 100,1))
```

Make bar plot of technique by decade

```r
technique_decade_barplot <- ggplot(subset(dir_ind_by_decade,
              dir_ind_by_decade$Decade != "1970-1979"),
       aes(x=Technique, y=Count, label = Technique)
       ) +
  geom_bar(position="dodge",
           stat="identity", alpha= 0.8, fill = "darkorange" ) +
  geom_text(aes(label = paste(round(Percentage,0),"%", sep="")),
            parse = F,
            vjust = -0.25,
            size=3.9)+
  facet_grid(~ Decade,
             switch = "y") +
  theme_classic() +
  theme(legend.position = "bottom",
        legend.text = element_text(size = 10),
        axis.text.x = element_blank(),
        axis.text.y = element_text(size=8.7),
        axis.title.x = element_blank(),
        axis.title.y = element_text(size=13),
        strip.text = element_text(size = 13))+
  labs(y= "Number of publications")

technique_decade_barplot
```

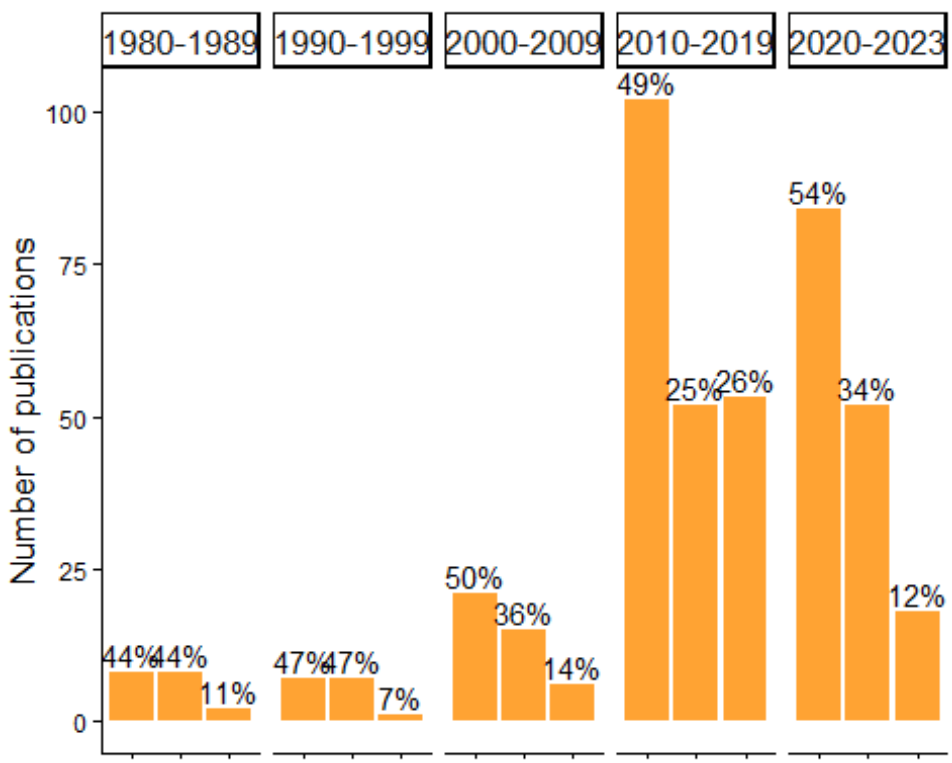

Export bar plot of technique by decade

```r
ggsave("technique_decade_barplot.tiff",
       plot = technique_decade_barplot,
       units = "in", width = 7, height = 6, dpi = 300, compression = 'lzw',
       path = here ("Extracted_data_analysis",                        "tropic
al",                        "Output-Visualization"))

ggsave("technique_decade_barplot.png",
       plot = technique_decade_barplot,
       units = "in", width = 7, height = 6,
       path = here ("Extracted_data_analysis",                        "tropic
al",                        "Output-Visualization"))
```

FIELD & INDICATORS

Create subset for field & indicators

```r
field_merged <- tropical[,c(59:length(tropical))]

field_merged[,] <- lapply(field_merged[,], as.numeric)

colSums(field_merged)
```

```
##                  field_cons              field_commdesc
##                          24                         146
##                   field_map                field_impass
##                          46                          66
##                 field_troph                   field_taxo
##                          37                         106
##                  field_dist                   field_aqua
##                         171                           1
##                field_method                field_physio
##                          13                         124
##                  field_func               field_habtype
##                          17                           0
##               field_fishery                  field_stock
##                           8                           7
##                 field_paleo                  field_phylo
##                           0                          31
##                  field_rest               field_archaeo
##                           1                           0
##                 field_micro           field_biomedicine
##                           7                           1
##                  field_chem     field_Molecular_ecology
##                           1                         120
##             field_Acoustics field_environmental_drivers
##                          26                         136
##             field_Behaviour         field_Geomorphology
##                          27                          12
```

```
##              field_Taxonomy
##                          91
```

Select only the most common fields

```
field_merged <- field_merged[, colSums(field_merged) > 30]

field_merged$field_Taxonomy <- NULL
field_merged$field_taxo <- NULL


colSums(field_merged)
```

```
##              field_commdesc                   field_map
##                         146                          46
##                field_impass                 field_troph
##                          66                          37
##                  field_dist                field_physio
##                         171                         124
##                 field_phylo     field_Molecular_ecology
##                          31                         120
## field_environmental_drivers
##                         136
```

```
field_merged <- field_merged[, order(colSums(field_merged), decreasing = F)]

colSums(field_merged)
```

```
##                 field_phylo                 field_troph
##                          31                          37
##                   field_map                field_impass
##                          46                          66
##     field_Molecular_ecology                field_physio
##                         120                         124
## field_environmental_drivers              field_commdesc
##                         136                         146
##                  field_dist
##                         171
```

Rename fields with long version names

```
field_merged %<>%
  rename(`Biodiversity and \n community structure (146)` = field_commdesc,
         `Distribution and \n connectivity (171)` = field_dist,
         `Disturbances (66)` = field_impass,
         `Mapping (46)` = field_map,
         `Physiology (124)` = field_physio,
         `Phylogenesis (31)` = field_phylo,
         `Trophic ecology (37)` = field_troph,
         `Molecular ecology (120)` = field_Molecular_ecology,
         `Environmental drivers and \n spatio-temporal patterns (136)` = fiel
```

```
d_environmental_drivers
         )
colSums(field_merged)
```

```
##                                          Phylogenesis (31)
##                                                         31
##                                       Trophic ecology (37)
##                                                         37
##                                               Mapping (46)
##                                                         46
##                                          Disturbances (66)
##                                                         66
##                                     Molecular ecology (120)
##                                                        120
##                                            Physiology (124)
##                                                        124
## Environmental drivers and \n spatio-temporal patterns (136)
##                                                        136
##                Biodiversity and \n community structure (146)
##                                                        146
##                       Distribution and \n connectivity (171)
##                                                        171
```

Prepare the indicator matrix

```
ind_matrix <- split_results[["indicators"]]
```

Select only the most common indicators

```
colSums(ind_matrix)
```

```
##        Abundance            Cover        Diversity          Habitat
##               92              134              179               56
##    Morphological       complexity             Size geneticSequences
##              142                3               70              120
##          Density             taxo          Biomass          Trophic
##               36               89               26               37
##         rugosity        Mortality    Physiological           growth
##                1               15               94               22
##      Recruitment             surv              sex           Health
##               14               15                7               27
##         taxonomy        Behaviour              NIS          disease
##                1               17                8                6
##           impact           ALDFGs           Litter             func
##                5                3                4               10
##        fecundity
##                1
```

```
ind_common_matrix <- ind_matrix[, colSums(ind_matrix) > 30]

colSums(ind_common_matrix)
```

```
##        Abundance            Cover        Diversity          Habitat
##               92              134              179               56
##    Morphological             Size geneticSequences          Density
##              142               70              120               36
##             taxo          Trophic    Physiological
##               89               37               94
```

```
ind_common_matrix <- ind_common_matrix[, order(colSums(ind_common_matrix), de
creasing = TRUE)]

ind_common_matrix <- as.data.frame(ind_common_matrix)

ind_common_matrix <- ind_common_matrix[!purrr::map_lgl(ind_common_matrix, ~ a
ll(is.na(.)))] # remove empty column
```

Remove taxonomy studies which have a dedicated section

```
ind_common_matrix$taxo <- NULL

colSums(ind_common_matrix)
```

```
##        Diversity    Morphological            Cover geneticSequences
##              179              142              134              120
##    Physiological        Abundance             Size          Habitat
##               94               92               70               56
##          Trophic          Density
##               37               36
```

Rename indicators with long version names

```
ind_common_matrix %<>%
  rename(`Abundance \n (92)` = Abundance,
         `Cover \n (134)` = Cover,
         `Diversity \n (179)` = Diversity,
         `Habitat \n (56)` = Habitat,
         `Morphology \n (142)` = Morphological,
         `Size \n (70) ` = Size,
         `Density \n (36)` = Density,
         `Physiological \n indicator \n (94)` = Physiological,
         `Trophic \n (37)` = Trophic,
         `Genetic \n sequence \n (120)` = geneticSequences
         )

colSums(ind_common_matrix)
```

```
##                 Diversity \n (179)                Morphology \n (142)
##                                179                                142
##                     Cover \n (134)       Genetic \n sequence \n (120)
##                                134                                120
## Physiological \n indicator \n (94)                  Abundance \n (92)
##                                 94                                 92
```

```
##                        Size \n (70)                        Habitat \n (56)
##                                  70                                    56
##                     Trophic \n (37)                        Density \n (36)
##                                  37                                    36
```

Multiply the transpose of the field matrix with the indicator matrix

```
co_occurrence_matrix <- t(as.matrix(field_merged)) %*% as.matrix(ind_common_m
atrix)
```

Reshape the co-occurrence matrix for plotting}

```
co_occurrence_df <- reshape2::melt(co_occurrence_matrix)

colnames(co_occurrence_df) <- c("Field", "Indicator", "Count")
```

Plot the heatmap

```
field_ind_heat <- ggplot(co_occurrence_df, aes(x = Indicator, y = Field, fill
 = Count)) +
  geom_tile(color = "white") +
  scale_fill_gradient(low = "white", high = "deepskyblue4") +
  geom_text(aes(label = Count), color = "black") +
  theme_minimal()+
  scale_x_discrete(position="top")

field_ind_heat
```



Export plot

```
ggsave("field_ind_heat.png",
       units = "in", width = 12.5, height = 5.5,
       path = here ("Extracted_data_analysis", "tropical",
     "Output-Visualization"))
```

Calculate # of ecological indicators per record

Create a column with the sum of ecological indicators values to see how many different sampling units were adopted by each study

```
ind_summary <- as.data.frame(split_results[["indicators"]])

ind_summary <- ind_summary[!purrr::map_lgl(ind_summary, ~ all(is.na(.)))] # r
emove empty column

ind_summary %<>%  rowwise() %>%
   mutate(ind_per_record =  sum(c_across(where(is.numeric))))
```

Calculate number of records by number of sampling units in %

```
ind_summary$ind_per_record <- as.factor(ind_summary$ind_per_record)

ind_per_record <- ind_summary %>%
  group_by(ind_per_record) %>%
  summarise(n_records = length(ind_per_record)) %>%
  mutate(percentage= round(n_records / sum(n_records) * 100,1))

ind_per_record

## # A tibble: 10 × 3
##    ind_per_record n_records percentage
##    <fct>              <int>      <dbl>
##  1 0                      3        0.7
##  2 1                     66       14.9
##  3 2                    136       30.8
##  4 3                    136       30.8
##  5 4                     50       11.3
##  6 5                     31        7
##  7 6                     11        2.5
##  8 7                      6        1.4
##  9 8                      2        0.5
## 10 9                      1        0.2
```

SAMPLING UNIT

Prepare a data frame for sampling unit

```
sampling_df <- tropical %>%
  filter(is.na(taxonomic_publication)) %>% # remove purely taxonomic studies
  select(File,recordTitle,DOI,publicationYear,mininumSurveyedDepthInMeters,ma
ximumSurveyedDepthInMeters,samplingUnit)

sampling_df %>% tidyr::drop_na(samplingUnit)
sampling_df[!is.na(sampling_df$samplingUnit),]

sampling_df %<>%
  filter(samplingUnit != "notapp")

sampling_df$samplingUnit <- as.character(sampling_df$samplingUnit)
```

Prepare columns per sampling units

```
sampling_lvls <- unique(unlist(str_split(sampling_df$samplingUnit,
                                         "\\+")
                               )
                        )

rownames(is.na(sampling_df$samplingUnit))

## NULL

sampling_df[,sampling_lvls] <- sapply(sampling_lvls,
                                      function(y){
                                        str_count(sampling_df$samplingUnit, y)
                                        }
                                      )

rm(sampling_lvls)

colnames(sampling_df)

##  [1] "File"                        "recordTitle"
##  [3] "DOI"                         "publicationYear"
##  [5] "mininumSurveyedDepthInMeters" "maximumSurveyedDepthInMeters"
##  [7] "samplingUnit"                "quadrat"
##  [9] "sample"                      "transect"
## [11] "permquad"                    "pit"
## [13] "permtrans"                   "expunit"
## [15] "lit"                         "nd"
## [17] "permlit"                     "roaming_transect"
## [19] "random_swim"                 "arms"
## [21] "plotless"                    "stationary"
## [23] "radial_transect"
```

Calculate # of sampling unit per record

Create a column with the sum of sampling units values to see how many different sampling units were adopted by each study

```
sampling_df %<>%
   mutate(type_per_record = rowSums(across(quadrat:permlit)
                                    )
   )
```

Calculate number of records by number of sampling units in %

```
sampling_df$type_per_record <- as.factor(sampling_df$type_per_record)

sampling_unit_per_record <- sampling_df %>%
  group_by(type_per_record) %>%
  summarise(n_records = length(type_per_record)) %>%
  mutate(percentage= round(n_records / sum(n_records) * 100,0))

sampling_unit_per_record

## # A tibble: 4 × 3
##   type_per_record n_records percentage
##   <fct>               <int>      <dbl>
## 1 0                       5          1
## 2 1                     284         76
## 3 2                      70         19
## 4 3                      15          4
```

Create a data frame with number of publication per sampling unit type

```
sampling_unit_tot <- sampling_df  %>%
  summarise(across(c(8:(length(sampling_df)-1)),
                   list(sum)))

sampling_unit_tot <- reshape2::melt(sampling_unit_tot)

## No id variables; using all as measure variables

colnames(sampling_unit_tot) <- c("Sampling_unit", "Count")

sampling_unit_tot %<>%
        mutate_at("Sampling_unit",
                  stringr::str_replace, "_1", "")
```

Simplified sampling units

Create a column with a simplified sampling units for transect and quadrat

```
  sampling_unit_tot %<>%
       mutate(Sampling_unit_macro = case_when(Sampling_unit == 'quadrat' |
```

```
                                    Sampling_unit == "permquad" ~ "Quadrat",
                                    Sampling_unit == "transect"|
                                    Sampling_unit == "lit" |
                                    Sampling_unit == "pit" |
                                    Sampling_unit == "permlit" |
                                    Sampling_unit == "permtrans" |
                                    Sampling_unit == "circular_transect" |
                                    Sampling_unit == "radial_transect"~ "Transe
ct",
                                    Sampling_unit == "nd" ~ "ND",
                                    Sampling_unit == "stationary" ~ "Stationary
",
                                    Sampling_unit == "expunit" ~ "Experimental
unit",
                                    Sampling_unit == "sample" ~ "Sample",
                                    .default = "Other")
              )

# Change columns order
sampling_unit_tot <- cbind(sampling_unit_tot$Sampling_unit_macro,
                       sampling_unit_tot$Sampling_unit,
                       sampling_unit_tot$Count)

colnames(sampling_unit_tot) <- c("Sampling_unit_macro","Sampling_unit","Count
")

sampling_unit_tot <- as.data.frame(sampling_unit_tot)

sampling_unit_tot[,1:2] <- lapply(sampling_unit_tot[,1:2], as.factor)
sampling_unit_tot$Count <- as.numeric(sampling_unit_tot$Count)

sampling_unit_simplified <- aggregate(Count ~ Sampling_unit_macro, data = sam
pling_unit_tot, FUN = sum)

sampling_unit_simplified %<>%
  group_by(Sampling_unit_macro) %>%
  mutate(Percentage_macro= round(Count / sum(sampling_unit_simplified$Count)
* 100,1))

sampling_unit_simplified

## # A tibble: 7 × 3
## # Groups:   Sampling_unit_macro [7]
##   Sampling_unit_macro Count Percentage_macro
##   <fct>               <dbl>            <dbl>
## 1 Experimental unit      45              9.2
## 2 ND                     21              4.3
## 3 Other                  10              2
## 4 Quadrat               109             22.2
```

```
## 5 Sample                 167              34.1
## 6 Stationary              10               2
## 7 Transect               128              26.1
```

Build a treemap with simplified sampling unit

```
library(treemapify)

RdYlBu <- RColorBrewer::brewer.pal(7, "RdYlBu")
RdYlBu

## [1] "#D73027" "#FC8D59" "#FEE090" "#FFFFBF" "#E0F3F8" "#91BFDB" "#4575B4"

sampling_simplified_treemap <-
ggplot(sampling_unit_simplified,
       aes(area=Count,
           fill=Sampling_unit_macro,
           line = "black",
           label=paste0(Sampling_unit_macro, " \n ",Percentage_macro,"%"))
       )+
  treemapify::geom_treemap(layout = "squarified")+
  geom_treemap_text(place = "centre",
                    size = 20)+
    theme(plot.title = element_text(hjust = 0.5, size= 20),
          legend.position = "none")+
  scale_fill_manual(values= c("#FC8D59", "#FEE090","#FFFFBF", "#E0F3F8", "#D7
3027", "#91BFDB", "#4575B4"))
  scale_fill_brewer(palette = "RdYlBu")

## <ggproto object: Class ScaleDiscrete, Scale, gg>
##     aesthetics: fill
##     axis_order: function
##     break_info: function
##     break_positions: function
##     breaks: waiver
##     call: call
##     clone: function
##     dimension: function
##     drop: TRUE
##     expand: waiver
##     fallback_palette: function
##     get_breaks: function
##     get_breaks_minor: function
##     get_labels: function
##     get_limits: function
##     get_transformation: function
##     guide: legend
##     is_discrete: function
##     is_empty: function
##     labels: waiver
##     limits: NULL
```

```
##     make_sec_title: function
##     make_title: function
##     map: function
##     map_df: function
##     minor_breaks: waiver
##     n.breaks.cache: NULL
##     na.translate: TRUE
##     na.value: NA
##     name: waiver
##     palette: function
##     palette.cache: NULL
##     position: left
##     range: environment
##     rescale: function
##     reset: function
##     train: function
##     train_df: function
##     transform: function
##     transform_df: function
##     super:  <ggproto object: Class ScaleDiscrete, Scale, gg>
```

```
sampling_unit_simplified %<>%
  mutate(case_when(Sampling_unit_macro == "Experimental unit" ~
          "Experimental \n unit", T ~ Sampling_unit_macro))

sampling_simplified_treemap <-
ggplot(sampling_unit_simplified,
       aes(area=Count,
           fill= reorder(Sampling_unit_macro, -Count),
           line = "black",
           label=paste0(Sampling_unit_macro, " \n ",Percentage_macro,"%"))
       )+
  treemapify::geom_treemap(layout = "squarified")+
  geom_treemap_text(place = "centre", fontface = "bold",
                    size = 20)+
    theme(plot.title = element_text(hjust = 0.5, size= 20),
          legend.position = "none")+
  scale_fill_manual(values=c("#01665E","#5AB4AC","#C7EAE5", "#8C510A","#D8B36
5","#F6E8C3","#F5F5F5")) # selected from "BrBG" palette of RBrewer

sampling_simplified_treemap
```

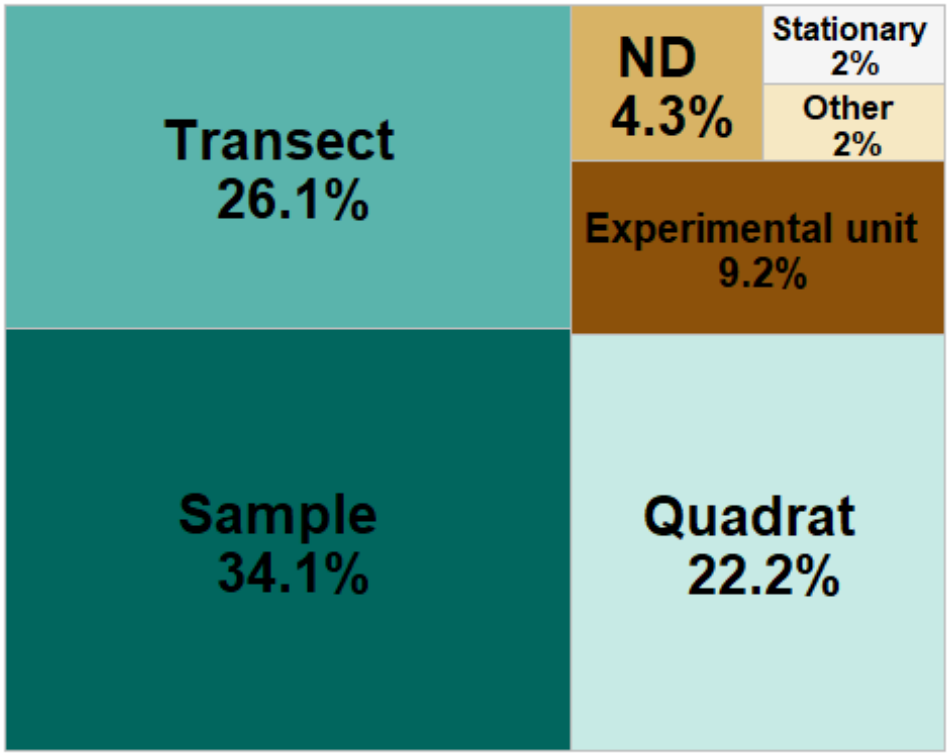

Export sampling_simplified_treemap

```
ggsave("sampling_simplified_treemap.png",
       plot = sampling_simplified_treemap,
       units = "in", width = 7, height = 6,
       path = here ("Extracted_data_analysis",
                    "tropical",
                    "Output-Visualization"))
```

Export sampling_unit_tot table for supplementary materials

```
library(openxlsx)

openxlsx::write.xlsx(sampling_unit_tot,
           file = here("Extracted_data_analysis",                        "tro
pical",                        "Output-Transformed_data",
                    "sampling_unit_tot.xlsx"))
```

Quadrat extracted from transect

```
print(paste("Number of publications where quadrat is the sampling unit or one
 of the sampling unit: ",
            nrow(quad_design <- subset(tropical,grepl("quad", samplingUnit)
                                       )
                                 )
            )
)
```

```
## [1] "Number of publications where quadrat is the sampling unit or one of t
he sampling unit:  108"
```

```
print(paste("Number of publications where quadrats were collected along trans
ects: ", nrow(subset(quad_design,
            grepl("transect\\(quadrat", meso_design) |
              grepl("transect\\(depth\\(quadrat", meso_design)
            )
     )
)
)
```

```
## [1] "Number of publications where quadrats were collected along transects:
  80"
```

DATA TYPE

```
data_type <- count_results[["collectedDataType"]]

data_type$Percentage <- round(data_type$Percentage, 1)

data_type
```

```
## # A tibble: 29 × 3
##    collectedDataType             Count Percentage
##    <fct>                         <int>      <dbl>
##  1 photo                            47       10.6
##  2 photo+specimen                   50       11.3
##  3 photo+specimen+sediment           1        0.2
##  4 photo+specimen+sediment+video     3        0.7
##  5 photo+specimen+video              9        2
##  6 photo+specimen+video+visual       4        0.9
##  7 photo+specimen+visual             7        1.6
##  8 photo+specimen+water              1        0.2
##  9 photo+video                      14        3.2
## 10 photo+video+visual                4        0.9
## # ℹ 19 more rows
```

Lump uncommon combination into “Other”

```
data_type_simplified <- data_type %>%
  rename(`Data type`= collectedDataType) %>%
  mutate(`Data type` = as.character(`Data type`)) %>%
  filter(Percentage > 2) %>%
  bind_rows(
    data_type %>%
      filter(Percentage <= 2) %>%
      summarise(
        `Data type` = "other",
        Count = sum(.data$Count),
```

```
        Percentage = sum(.data$Percentage)
      )
  )


data_type_simplified %<>%
       mutate(`Data type` =
                case_when(`Data type` == 'photo'  ~ "Photo",
                          `Data type` == "video"~ "Video",
                          `Data type` == "other" ~ "Other",
                          `Data type` == "specimen" ~ "Specimen",
                          `Data type` == "photo+specimen" ~ "Photo + \n Speci
men",
                          `Data type` == "photo+specimen+video" ~ "Photo + Vi
deo + \n Specimen",
                          `Data type` == "photo+video" ~ "Photo + \n Video",
                          `Data type` == "photo+visual" ~ "Photo + \n Visual",
                          `Data type` == "specimen+visual" ~ "Specimen + \n V
isual",
                          `Data type` == "specimen+video" ~ "Specimen + \n Vi
deo",
                                  .default = "Other")
               )
```

Build a treemap with data type

```
library(treemapify)
library(RColorBrewer)

data_type_treemap <-
ggplot(data_type_simplified,
       aes(area=Count,
           fill=`Data type`,
           line = "black",
           label=paste0(`Data type`, " \n ",Percentage,"%"))
       )+
  treemapify::geom_treemap(layout = "squarified")+
  geom_treemap_text(place = "centre", fontface = "bold",
                    size = 20)+
    theme(plot.title = element_text(hjust = 0.5, size= 20),
          legend.position = "none")+
    scale_fill_brewer(palette = "RdYlBu")

data_type_treemap
```

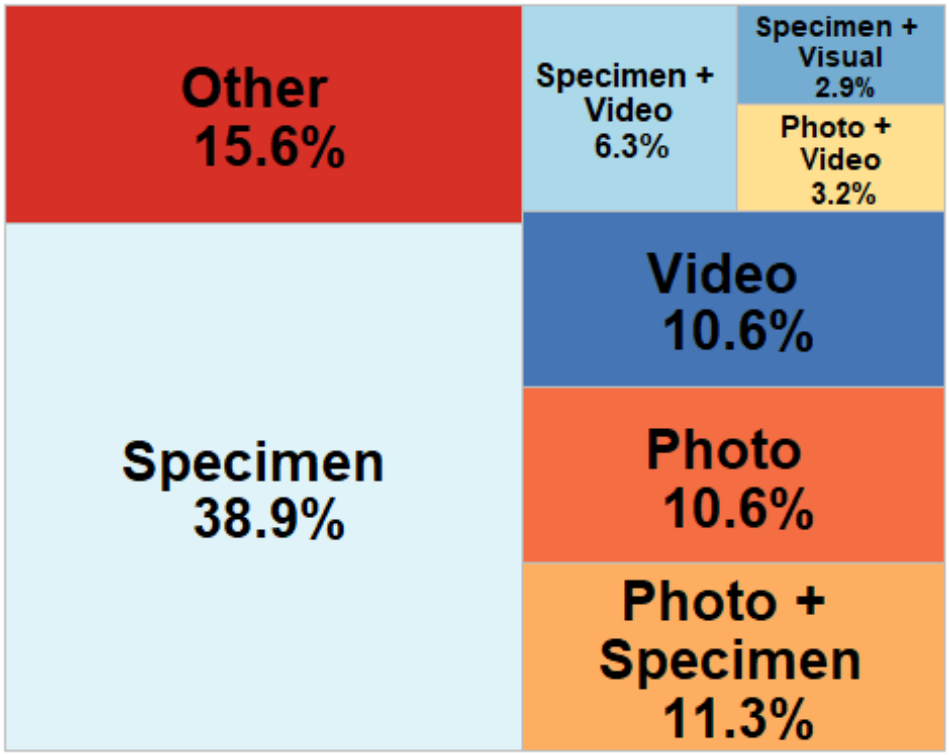

Export sampling_simplified_treemap

```
ggsave("data_type_treemap.png",
       plot = data_type_treemap,
       units = "in", width = 7, height = 6,
       path = here ("Extracted_data_analysis",                        "tropic
al",                          "Output-Visualization"))
```

HABIT

```
habit <- as.data.frame(count_results["habit"])

# Rename columns
habit %<>%
  rename(Habit = habit.habit,
         Count = habit.Count,
         Percentage = habit.Percentage)
```

Make the habit donut plot

```
habit %<>%
  mutate(ymax = cumsum(Count),
    ymin = c(0, head(ymax, n = -1)),
    mid = (ymin + ymax) / 2,
    angle = 90 - (mid / sum(Count)) * 360
  )
```

```r
# Split and assign labels
habit_inside <- habit %>%
  mutate(label = paste0(round(Percentage,1), "%"))

habit_outside <- habit %>%
  mutate(label = Habit)

# Plot
habit_donut <- ggplot() +
  # Donut segments
  geom_rect(data = habit,
            aes(ymin = ymin, ymax = ymax, xmin = 2.5, xmax = 4, fill = Habit),
            color = "black") +

  # Inside labels
  geom_text(data = habit_inside,
            aes(x = 3.2, y = mid, label = label),
            size = 5, color = "black",
            fontface = "bold") +

  # Outside labels with Habit name
  ggrepel::geom_text_repel(data = habit_outside,
                  aes(x = 4.3, y = mid, label = label),
                  size = 5.5,
                  nudge_x = 0.5,
                  direction = "y",
                  segment.color = "black",
                  hjust = 0,
                  box.padding = 0.3,
                  max.overlaps = Inf) +
  coord_polar(theta = "y") +
  xlim(0.2, 5) +
  scale_fill_brewer(palette = "Purples") +
  theme_void() +
  theme(legend.position = "none")+
  annotate(geom = 'text', x = 0.5, y = 0,
           label = c("HABIT"), size = 8)

habit_donut
```

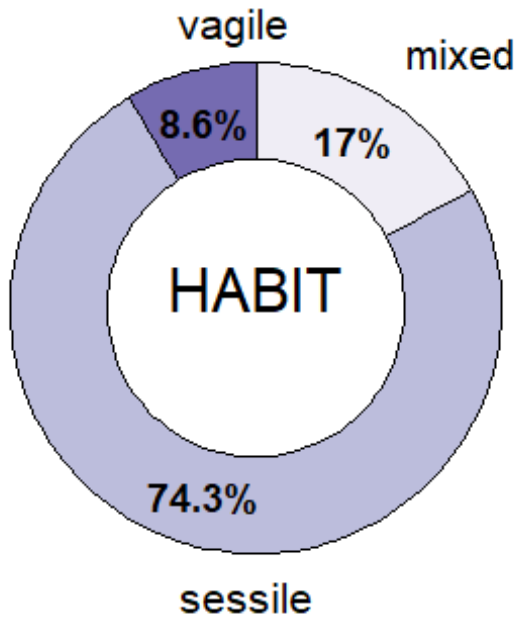

Export habit_donut

```
ggsave("habit_donut.png",
       plot = habit_donut,
       units = "in", width = 7, height = 6,
       path = here ("Extracted_data_analysis",                        "tropic
al",                          "Output-Visualization"))
```

SUBSTRATE

```
substrate <- as.data.frame(count_results["meso_substrate"])

# Rename columns
substrate %<>%
  rename(Substrate = meso_substrate.meso_substrate,
         Count = meso_substrate.Count,
         Percentage = meso_substrate.Percentage)

# Remove rows with nd
substrate <- substrate[!substrate$Substrate %in% "nd",]

# Merge substrate combination with less than 3% and recalculate Count and Per
centages
substrate <- substrate %>%
  mutate(Substrate = if_else(Percentage < 3, "Other combinations", Substrate))
 %>%
```

```
  group_by(Substrate) %>%
  select(-Percentage) %>%
  summarise(
    Count = sum(Count)) %>%
  mutate(Percentage = round(Count / sum(Count) * 100,1)
  )

substrate %<>%
  mutate(
    Substrate = case_when(Substrate == "hard" ~ "Hard",
                          Substrate == "soft"~ "Soft",
                          Substrate == "mixed" ~ paste0("Hard+","\n","Soft"),
                          Substrate == "artificial" ~ "Artificial",
                          Substrate == "Other combinations" ~ "Other combinat
ions"))
```

Make the substrate donut plot

```
substrate %<>%
  mutate(
    ymax = cumsum(Count),
    ymin = c(0, head(ymax, n = -1)),
    mid = (ymin + ymax) / 2,
    angle = 90 - (mid / sum(Count)) * 360
  )


# Split and assign labels
substrate_inside <- substrate %>%
    filter(Percentage >= 5) %>%
  mutate(label = paste0(Percentage, "%"))

substrate_outside <- substrate %>%
  mutate(label = Substrate)

# Plot
substrate_donut <- ggplot() +
  # Donut segments
  geom_rect(data = substrate,
            aes(ymin = ymin, ymax = ymax, xmin = 2.5, xmax = 4, fill = Substr
ate),
            color = "black") +

  # Inside labels
  geom_text(data = substrate_inside,
            aes(x = 3.2, y = mid, label = label),
            size = 5, color = "black",
            fontface = "bold") +
```

```
  # Outside labels with substrate name
  ggrepel::geom_text_repel(data = substrate_outside,
                   aes(x = 4.4, y = mid, label = label),
                   size = 5.5,
                   nudge_x = 0.3,
                   direction = "y",
                   segment.color = "black",
                   hjust = 0,
                   box.padding = 0.3,
                   max.overlaps = Inf) +
  coord_polar(theta = "y") +
  xlim(0.2, 5) +
  scale_fill_brewer(palette = "GnBu") +
  theme_void() +
  theme(legend.position = "none")+
  annotate(geom = 'text', x = 0.5, y = 0,
           label = c("SUBSTRATE"), size = 8)

substrate_donut
```

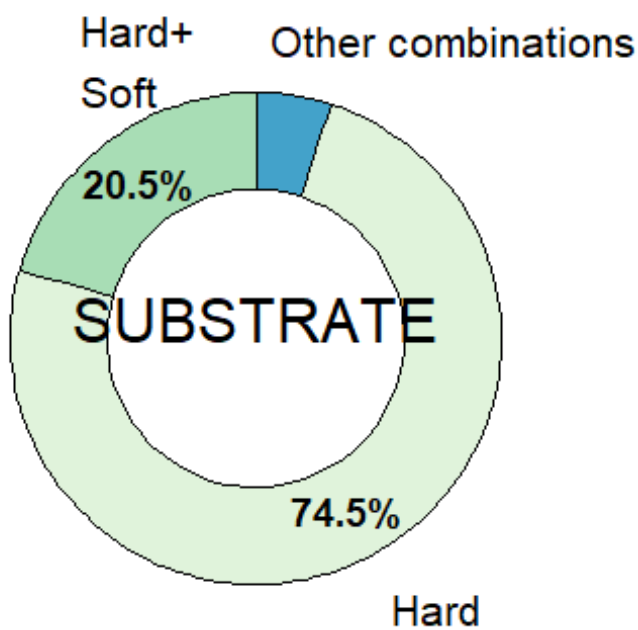

Export the substrate donut plot

```
ggsave("substrate_donut.png",
       plot = substrate_donut,
       units = "in", width = 7, height = 6,
       path = here ("Extracted_data_analysis",                        "tropic
al",                        "Output-Visualization"))
```

BENTHIC POSITION

Create a data frame with benthic position

```
position <- as.data.frame(count_results["environmentalPosition"])

# Rename columns
position %<>%
  rename(Position = environmentalPosition.environmentalPosition,
         Count = environmentalPosition.Count,
         Percentage = environmentalPosition.Percentage)

# Merge position combination with less than 3% and recalculate Count and Perc
entages
position <- position %>%
  mutate(Position = if_else(Percentage < 1, "Other combinations", Position))
 %>%
  group_by(Position) %>%
  select(-Percentage) %>%
  summarise(
    Count = sum(Count)) %>%
  mutate(Percentage = round(Count / sum(Count) * 100,1)
  )
```

Make the benthic position donut plot

```
position %<>%
  mutate(
    Position = case_when(Position == "epi" ~ "Epi",
                         Position == "endo"~ "Endo",
                         Position == "dem+epi" ~ "Hyper + \n Epi",
                         Position == "endo+epi" ~ "Endo + \n Epi",
                         Position == "Other combinations" ~ "Other combinati
ons"),
    ymax = cumsum(Count),
    ymin = c(0, head(ymax, n = -1)),
    mid = (ymin + ymax) / 2,
    angle = 90 - (mid / sum(Count)) * 360
  )


# Split and assign labels
position_inside <- position %>%
  filter(Percentage > 3) %>%
  mutate(label = paste0(Percentage, "%"))

position_outside <- position %>%
  mutate(label = Position)
```

```r
# Plot
benthic_position_donut <- ggplot() +
  # Donut segments
  geom_rect(data = position,
            aes(ymin = ymin, ymax = ymax, xmin = 2.5, xmax = 4, fill = Positi
on),
            color = "black") +

  # Inside labels
  geom_text(data = position_inside,
            aes(x = 3.2, y = mid, label = label),
            size = 5, color = "black",
            fontface = "bold") +

  # Outside labels with Position name
  ggrepel::geom_text_repel(data = position_outside,
                  aes(x = 4.2, y = mid, label = label),
                  size = 5.5,
                  nudge_x = 0.3,
                  direction = "y",
                  segment.color = "black",
                  hjust = 0,
                  box.padding = 0.3,
                  max.overlaps = Inf) +
  coord_polar(theta = "y") +
  xlim(0.2, 5) +
  scale_fill_brewer(palette = "OrRd") +
  theme_void() +
  theme(legend.position = "none")+
  annotate(geom = 'text', x = 0.5, y = 0,
           label = c("BENTHIC \n POSITION"), size = 8)

benthic_position_donut
```

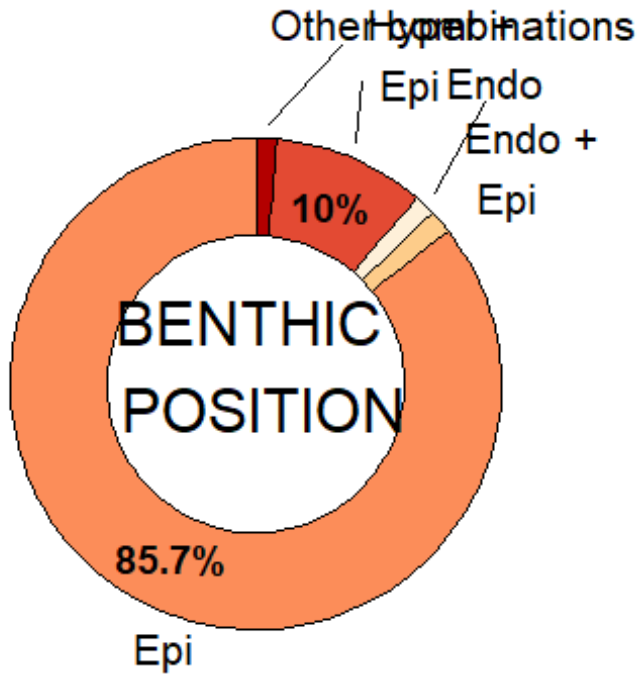

Export the benthic_position donut plot

```
ggsave("benthic_position_donut.png",
       plot = benthic_position_donut,
       units = "in", width = 7, height = 6,
       path = here ("Extracted_data_analysis",                        "tropic
al",                          "Output-Visualization"))
```

TARGET

Target level

```
target_level <- as.data.frame(count_results["taxonomicTargetLevel"])

# Rename columns
target_level %<>%
  rename(Level = taxonomicTargetLevel.taxonomicTargetLevel,
         Count = taxonomicTargetLevel.Count,
         Percentage = taxonomicTargetLevel.Percentage)

# Remove rows with nd
target_level <- target_level[!target_level$Level %in% "species,species",]
target_level <- target_level[!target_level$Level %in% ",species",]

# Merge habit combination with less than 3% and recalculate Count and Percent
ages
```

```
target_level <- target_level %>%
  mutate(Level = if_else(Percentage < 3, "Other combinations", Level)) %>%
  group_by(Level) %>%
  select(-Percentage) %>%
  summarise(
    Count = sum(Count)) %>%
  mutate(Percentage = round(Count / sum(Count) * 100,1)
  )
```

Treemap with the taxonomic target level

```
target_level_labels <- target_level %<>%
  mutate(
    Level = case_when(Level == "comm" ~ "Community",
                      Level == "group"~ "Group",
                      Level == "single" ~ "Single species",
                      Level == "species" ~ ">1 species",
                      Level == "comm+group" ~ "Community+Group",
                      Level == "comm+species" ~ "Community+Species",
                      Level == "group+species" ~ "Group+\nSpecies",
                      Level == "Other combinations" ~ "Other")
    )

target_level_treemap <- ggplot(target_level_labels,
       aes(area=Count,
           fill=Level,
           line = "black",
           label=paste0(Level,
                        " \n ",Percentage,"%"))
       )+
  treemapify::geom_treemap(layout = "squarified")+
  treemapify::geom_treemap_text(place = "centre",
                    size = 20)+
    theme(plot.title = element_text(hjust = 0.5, size= 20),
          legend.position = "none")+
  scale_fill_manual(values= c("#A6D854" ,"#66C2A5","#E78AC3", "#8DA0CB","#FFD
92F","#B3B3B3", "#E5C494", "#FC8D62"))

target_level_treemap
```

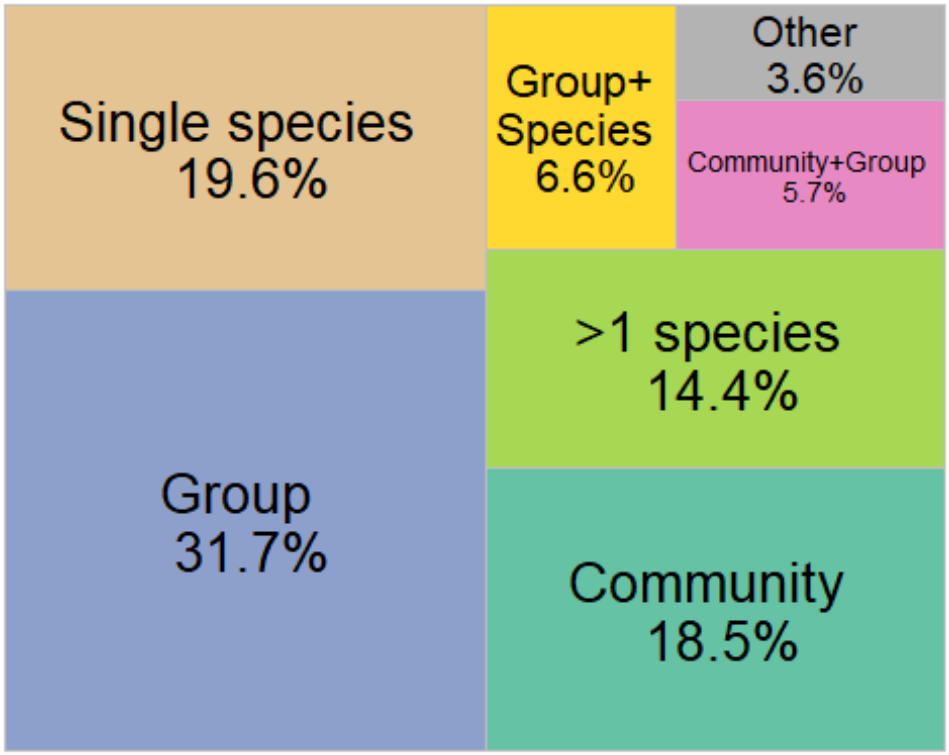


```
ggsave("target_level_treemap.png",
       plot = target_level_treemap,
       units = "in", width = 9, height = 6,
       path = here ("Extracted_data_analysis",                        "tropic
al",                          "Output-Visualization"))
```

Detected phyla in community studies

```
detected <- tropical %>%
    filter(str_detect(taxonomicTargetLevel,"comm")) %>%
  select(File,
         detected_meso_cnidaria,
         detected_meso_sponges,
         detected_meso_seagrass,
         detected_meso_algae,
         detected_meso_mollusca,
         detected_meso_chondrichthyes,
         detected_meso_fish,
         detected_meso_crustacea,
         detected_meso_echino,
         detected_meso_other_taxa)

detected_lvls <-
  unique(
    unlist(
      str_split(detected$detected_meso_other_taxa, "\\+")
                                  )
```

```
                          )
detected_lvls<- detected_lvls[! detected_lvls %in% c("",NA,"notapp",",","nd")]
detected[,detected_lvls] <- sapply(detected_lvls,
                                   function(y){
                                     str_count(detected$detected_meso_othe
r_taxa, y)
                                     }
                                   )

rm(detected_lvls)

detected %<>%
  mutate(across(everything(), as.character)) %>%
  replace(is.na(.), "0") %>%
  select(-detected_meso_other_taxa) %>%
  filter(if_all(everything(), ~ !grepl("notapp", .x)))

detected <- detected %>%
  mutate(across(-File, ~ case_when(
    .x %in% c("x", "x,", "xx") ~ "1",
    .x == "," ~ "0",
    TRUE ~ .x
  ))) %>%
  mutate(across(-File, as.numeric))
```

Calculate number of publications per taxonomic group

```
detected_tot <-
  detected %>%
  summarise(across(where(is.numeric),
                   list(sum)
                   )
            )

detected_tot  <- reshape2::melt(detected_tot, id.vars = NULL)

colnames(detected_tot) <- c("Taxa", "Count")

detected_tot %<>%
        mutate_at("Taxa",
                  stringr::str_replace, "_1", "") %>%
        mutate_at("Taxa",
                  stringr::str_replace, "detected_meso_", "")


detected_tot %<>%
      mutate(Percentage= round(Count / nrow(detected) * 100,1))

rm(detected)
```

Merge poorly represented taxonomic groups into “Other”

```
detected_tot_collapsed <- detected_tot %>%
  mutate(Taxa = if_else(Percentage < 3, "Other", Taxa)) %>%
  group_by(Taxa) %>%
  summarise(
    Count = sum(Count),
    Percentage = sum(Percentage)
  )
```

Create a bar chart with detected taxonomic groups

```
detected_bar <- ggplot(detected_tot_collapsed, aes(x = reorder(Taxa, Count),
y = Count, fill= Taxa)) +
  geom_bar(stat = "identity") +
  geom_text(
    data = detected_tot_collapsed %>% filter(Percentage > 11),
    aes(label = paste0(round(Percentage, 0), "%")),
    position = position_stack(vjust = 0.5),
    color = "black",
    size = 3.5
  )+
  labs(y = "# Publications at the community level", x = "Detected taxonomic g
roup") +
  theme_minimal() +
  coord_flip()+  # optional: flips for horizontal bars
  theme(legend.position ="none")+
  scale_x_discrete(labels = rev(c("Cnidaria",
                                  "Porifera",
                                  "macroalgae*",
                                  "Osteichthyes",
                                  "Echinodermata",
                                  "Other",
                                  "Mollusca",
                                  "Crustacea",
                                  "Tunicata",
                                  "Bryozoa",
                                "Chondrichthyes",
                                  "Annelida",
                                "Cyanobacteria")))

detected_palette <- c("algae" ="darkseagreen3",
                      "cnidaria" = "mediumvioletred",
                      "crustacea" = "indianred1",
                      "sponges" = "khaki1",
                      "mollusca" = "darkorange3",
                      "fish" = "paleturquoise2",
                      "echino" = "royalblue4",
                      "Tunicata" = "mediumpurple4",
                      "chondrichthyes" = "gray69",
```

```
                        "Brachiopoda" = "gray69",
                        "Other" = "gray69",
                        "Cyanobacteria" = "gray69",
                        "Bryozoa" = "goldenrod1",
                        "Annelida" = "burlywood4")


detected_bar +
  scale_fill_manual(values = detected_palette,
    limits = names(detected_palette))+
  theme(axis.text = element_text(size = 14),
        axis.title = element_text(size = 16)
        )
```

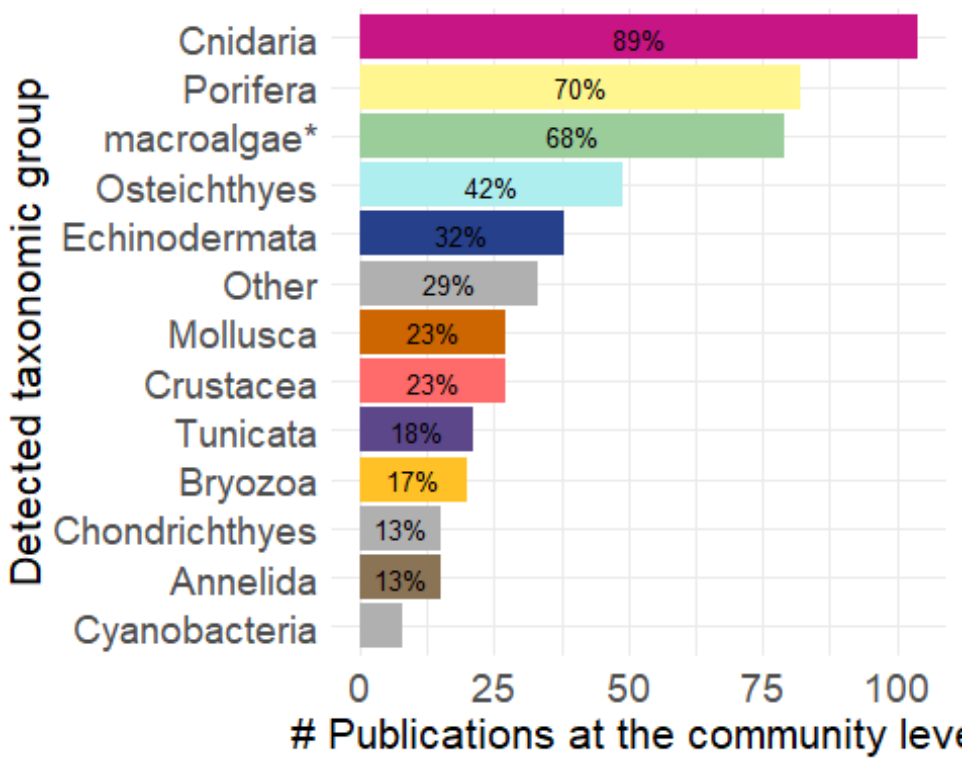


```
ggsave("detected_bar.png",
       units = "in", width = 7, height = 6,
       path = here ("Extracted_data_analysis",                        "tropic
al",                          "Output-Visualization"))
```

Target taxonomic groups not at the community level

```
group <- tropical %>%
    filter(taxonomicTargetLevel != "comm") %>%
  select(File,
         detected_meso_cnidaria,
         detected_meso_sponges,
         detected_meso_seagrass,
```

```
         detected_meso_algae,
         detected_meso_mollusca,
         detected_meso_chondrichthyes,
         detected_meso_fish,
         detected_meso_crustacea,
         detected_meso_echino,
         detected_meso_other_taxa,
         targetTaxa)

group_lvls <-
  unique(
    unlist(
      str_split(group$detected_meso_other_taxa, "\\+")
                                )
                          )
group_lvls<- group_lvls[! group_lvls %in% c("",NA,"notapp",",","nd")]
group[,group_lvls] <- sapply(group_lvls,
                                        function(y){
                                          str_count(group$detected_meso_other_t
axa, y)
                                          }
                                        )

rm(group_lvls)

group <- group %>%
  mutate(across(everything(), as.character)) %>%
  replace(is.na(.), "0") %>%
  select(-detected_meso_other_taxa,-targetTaxa) %>%
  filter(if_all(everything(), ~ !grepl("notapp", .x))) %>%
  mutate(across(-File, ~ case_when(
    .x %in% c("x", "x,", "xx") ~ "1",
    .x == "," ~ "0",
    TRUE ~ .x
  ))) %>%
  mutate(across(-File, as.numeric))

group_tot <-
  group %>%
  summarise(across(where(is.numeric),
                   list(sum)
                   )
            )

group_tot  <- reshape2::melt(group_tot, id.vars = NULL)

colnames(group_tot) <- c("Taxa", "Count")

group_tot %<>%
        mutate_at("Taxa",
```

```
                  stringr::str_replace, "_1", "") %>%
        mutate_at("Taxa",
                  stringr::str_replace, "detected_meso_", "")


group_tot %<>%
      mutate(Percentage= round(Count / nrow(group) * 100,1))

group_tot_collapsed <- group_tot %>%
  mutate(Taxa = if_else(Percentage < 3, "Other", Taxa)) %>%
  group_by(Taxa) %>%
  summarise(
    Count = sum(Count),
    Percentage = sum(Percentage),
    .groups = "drop"
  )

group_tot_collapsed %<>%
  mutate(Taxa = case_when(Taxa == 'echino' ~ "Echinodermata",
                          Taxa == 'fish' ~ "Osteichthyes",
                          Taxa == "Symbiodiniaceae" ~ "Symbiodiniaceae",
                          Taxa == "sponges" ~ "Porifera",
                          Taxa == "crustacea" ~ "Crustacea",
                          Taxa == "cnidaria" ~ "Cnidaria",
                          Taxa == "algae" ~ "macroalgae*",
         .default = Taxa))

group_bar <- ggplot(group_tot_collapsed, aes(x = reorder(Taxa, Count), y = Co
unt, fill= Taxa)) +
  geom_bar(stat = "identity") +
  geom_text(
    data = group_tot_collapsed %>% filter(Percentage > 10),
    aes(label = paste0(round(Percentage, 0), "%")),
    position = position_stack(vjust = 0.5),
    color = "black",
    size = 3.5
  )+
  labs(y = "N of publications not at community level", x = "Taxonomic group")
 +
  theme_minimal() +
  coord_flip()+  # optional: flips for horizontal bars
  theme(legend.position ="none")

group_palette <- c("macroalgae*" ="darkseagreen3",
                      "Cnidaria" = "mediumvioletred",
                      "Crustacea" = "indianred1",
                      "Porifera" = "khaki1",
                      "Mollusca" = "darkorange3",
                      "Osteichthyes" = "paleturquoise2",
                      "Echinodermata" = "royalblue4",
```

```
                        "Tunicata" = "mediumpurple4",
                        "Chondrichthyes" = "gray69",
                        "Other" = "gray69",
                        "Alismatales (seagrasses)" =  "gray69",
                        "Bryozoa" = "goldenrod1",
                        "Annelida" = "burlywood4")

group_bar <- group_bar +
  scale_fill_manual(values = group_palette,
    limits = names(group_palette))+
    theme(axis.text = element_text(size = 14),
        axis.title = element_text(size = 16)
        )

group_bar
```

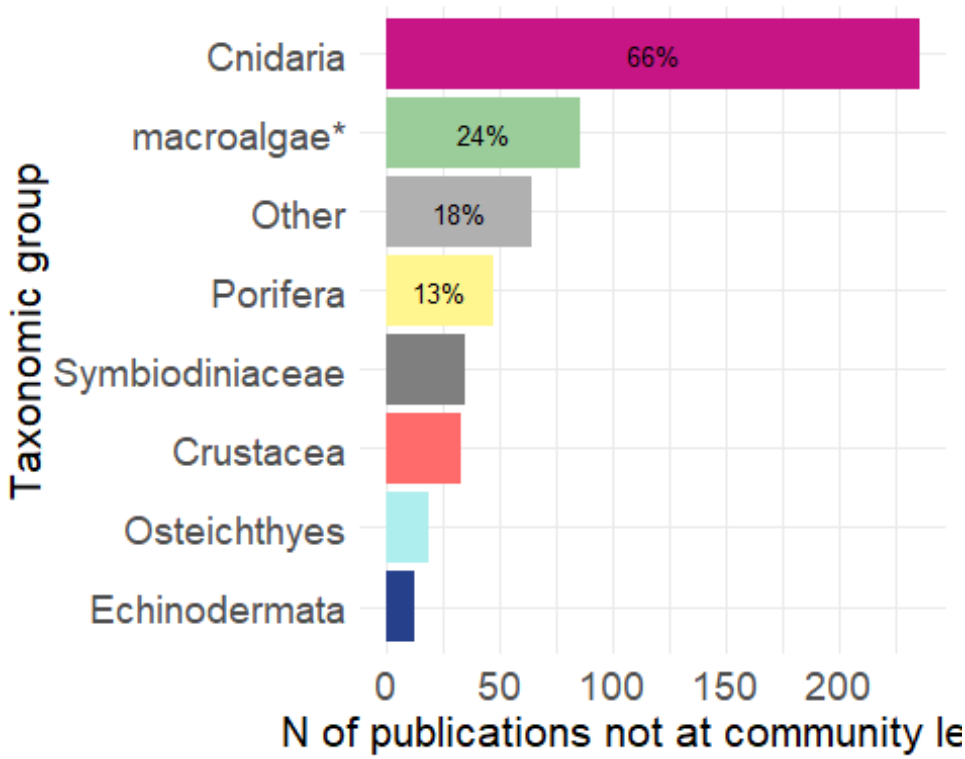

Export bar plot

```
ggsave("group_bar.png",
       plot = group_bar,
       units = "in", width = 7, height = 6,
       path = here ("Extracted_data_analysis",                        "tropic
al",                          "Output-Visualization"))
```

New species described per phyla

```
new_spec <- tropical %>%
  filter(str_detect(taxonomic_publication, "taxa"))
```

```
new_spec %<>%
  select(File,
         detected_meso_cnidaria,
         detected_meso_sponges,
         detected_meso_seagrass,
         detected_meso_algae,
         detected_meso_mollusca,
         detected_meso_chondrichthyes,
         detected_meso_fish,
         detected_meso_crustacea,
         detected_meso_echino,
         detected_meso_other_taxa)

new_spec_lvls <-
  unique(
    unlist(
      str_split(new_spec$detected_meso_other_taxa, "\\+")
                                )
                          )
new_spec_lvls<- new_spec_lvls[! new_spec_lvls %in% c("",NA,"notapp")]
new_spec[,new_spec_lvls] <- sapply(new_spec_lvls,
                                   function(y){
                                     str_count(new_spec$detected_meso_othe
r_taxa, y)
                                     }
                                   )

rm(new_spec_lvls)

new_spec  %<>%
  mutate(across(everything(), as.character)) %>%
  replace(is.na(.), "0") %>%
  select(-detected_meso_other_taxa) %>%
  filter(if_all(everything(), ~ !grepl("notapp", .x))) %>%
  mutate(across(-File, ~ case_when(
    .x %in% c("x") ~ "1",
    TRUE ~ .x
  ))) %>%
  mutate(across(-File, as.numeric))

new_spec_tot <-
  new_spec %>%
  summarise(across(where(is.numeric),
                   list(sum)
                   )
            )

rm(new_spec)
new_spec_tot  <- reshape2::melt(new_spec_tot, id.vars = NULL)
```

```r
colnames(new_spec_tot) <- c("Taxa", "Count")

new_spec_tot %<>%
        mutate_at("Taxa",
                  stringr::str_replace, "_1", "") %>%
          mutate_at("Taxa",
                  stringr::str_replace, "detected_meso_", "")


new_spec_tot %<>%
  filter(Count>0) %>%
      mutate(Percentage= round(Count / sum(Count) * 100,1))

new_spec_plot <-   ggplot(new_spec_tot,
                          aes(x = reorder(Taxa, Count), y = Count,
                              fill= Taxa)) +
  geom_bar(stat = "identity") +
  geom_text(

    data = new_spec_tot %>% filter(Percentage > 8),
    aes(label = paste0(round(Percentage, 0), "%")),
    position = position_stack(vjust = 0.5),
    color = "black",
    size = 3.5
  )+
  labs(y = "N of Publications with new species descriptions", x = "Taxonomic
group") +
  theme_minimal() +
  coord_flip()+  # optional: flips for horizontal bars
  theme(legend.position ="none")+
  scale_x_discrete(labels = rev(c("macroalgae*",
                                  "Cnidaria",
                                  "Crustacea",
                                  "Porifera",
                                  "Acari",
                                  "Symbiodiniaceae",
                                  "Mollusca"))
                   )

new_spec_palette <- c("algae" ="darkseagreen3",
                      "cnidaria" = "mediumvioletred",
                      "crustacea" = "indianred1",
                      "sponges" = "khaki1",
                      "mollusca" = "tan1",
                      "Acari" = "gray69",
                      "Symbiodiniaceae" = "gray69")

new_species_bar <- new_spec_plot +
```

```
  scale_fill_manual(values = new_spec_palette,
    limits = names(new_spec_palette))+
    theme(axis.text = element_text(size = 14),
        axis.title = element_text(size = 16)
        )

new_species_bar
```

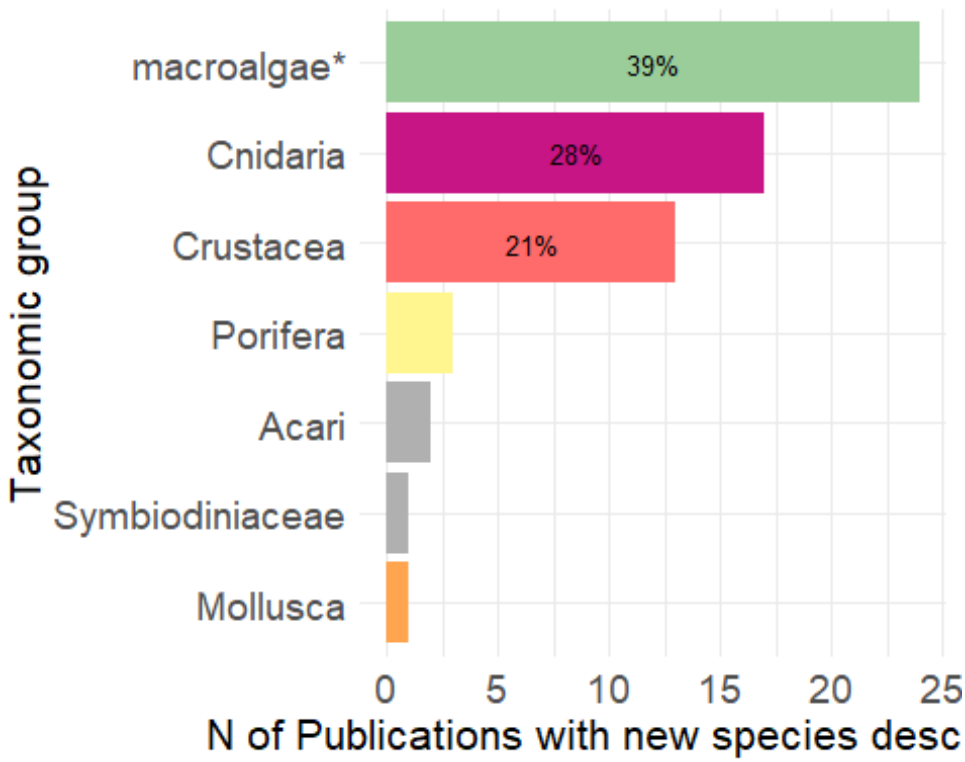

Export bar plot

```
ggsave("new_species_bar.png",
       plot = new_species_bar,
       units = "in", width = 7, height = 6,
       path = here ("Extracted_data_analysis",                        "tropic
al",                        "Output-Visualization"))
```

New species descriptions that included molecular analyses

```
new_spec_molecular <- tropical %>%
  filter(str_detect(taxonomic_publication, "taxa") &
           molecularAnalyses != "no" &
           molecularAnalyses != "nd" &
           molecularAnalyses != "notapp")

nrow(new_spec_molecular)

## [1] 29
```

DATA CROSSING

```
table(tropical$meso_protection)

##
## mixed    nd    no   yes
##    34   344    14    50
```

VISUALLY SURVEYED SURFACE

```
tropical$visuallySurveyedSurface <- as.factor(tropical$visuallySurveyedSurfac
e)
summary(subset(tropical, is.na(tropical$taxonomic_publication))$visuallySurve
yedSurface)

##       <1       >1      >10     >100    >1000   >10000  >100000 >1000000
##        1        6       22       49       30       11        9        3
##       nd   notapp
##      171       80
```

Observation

```
print(paste("Number of manipulative experimental studies:",nrow(subset(tropic
al, grepl("exp", tropical$observationalORexperimental)))))

## [1] "Number of manipulative experimental studies: 65"

print(paste("Number of manipulative experimental studies in the field of rest
oration:", nrow(subset(tropical, grepl("exp", tropical$observationalORexperim
ental) & tropical$field_rest != 0)

               )
            )
      )

## [1] "Number of manipulative experimental studies in the field of restorati
on: 0"
```

Temp replicates & exp

```
print(paste("# Publications that included temporal replicates:", nrow(subset
(tropical, grepl("yes", temporalReplicates)))))

## [1] "# Publications that included temporal replicates: 105"

print(paste("# Publications that included temporal replicates:", nrow(subset
(tropical, (grepl("exp", tropical$observationalORexperimental) & grepl("yes",
 temporalReplicates))))))

## [1] "# Publications that included temporal replicates: 43"
```

Health

```
health <- subset(tropical, grepl("Health", indicators) | grepl("Disease", ind
icators))

unique(health$targetTaxa)
```

```
##  [1] "Agaricia_grahamae+Agaricia_undata+Madracis_pharensis"
##  [2] "Scleractinia"
##  [3] "Alveopora_allingi+Alveopora_ocellata"
##  [4] "Xestospongia_muta"
##  [5] "Amphiprion_chrysopterus"
##  [6] "notapp"
##  [7] "Scleractinia+Sarcophyton_spp"
##  [8] "Antipathes_dichotoma+Antipathes_grandis+Carijoa_riisei"
##  [9] "Agaricia_lamarcki"
## [10] "Montastraea_cavernosa+Siderastrea_stellata"
## [11] "Stylophora_pistillata+Symbiodiniaceae"
## [12] "Seriatopora_hystrix"
## [13] "Ectocarpus_sp+Clodophora_sp+Lyngbya_sp+Pseudoanabaena_sp"
## [14] "Plakortis_angulospiculatus"
## [15] "+Ellisella_elongata+Octocorallia+Porifera"
## [16] "Anthozoa"
## [17] "Orbicella_spp"
## [18] "Montastraea_cavernosa+Symbiodiniaceae"
## [19] "Agaricia_lamarcki+Orbicella_franksi"
```

ROV & sample

```
rov <- subset(tropical, grepl("rov", meso_samplingPlatform) )

rov_specimen <- subset(rov,  grepl("specimen", collectedDataType) )

print(paste("Percentage of publications relying solely on ROV where specimens
 were collected:", round(nrow(rov_specimen)/nrow(rov)*100,1),"%"))
```

```
## [1] "Percentage of publications relying solely on ROV where specimens were
 collected: 60 %"
```

```
rm(rov, rov_specimen)
```

Molecular techniques in taxonomic and non-taxonomic studies

```
tropical$taxonomic_publication <- as.factor(tropical$taxonomic_publication )

molecular <- tropical %>%
  filter(molecularAnalyses != "no" &
           molecularAnalyses != "notapp" &
           molecularAnalyses != "nd")
```

```r
print(paste("# Publications that adopted molecular techniques: ",nrow(molecul
ar)))
```

```
## [1] "# Publications that adopted molecular techniques:  120"
```

```r
molecular_notaxa <- molecular %>%
  filter(is.na(taxonomic_publication))

print(paste("# Publications that adopted molecular techniques not for taxonom
y: ",nrow(molecular_notaxa)))
```

```
## [1] "# Publications that adopted molecular techniques not for taxonomy:  9
1"
```

```r
rm(molecular, molecular_notaxa)
```